Balochistan Development Profile

Statistical Comparison with Other Provinces

2023



Bureau of Statistics,
Planning & Development Department,
Government of Balochistan.

Published in 2025.

Balochistan Development Profile: Statistical Comparison with Other Provinces

2023

Bureau of Statistics,
Planning & Development Department,
Government of Balochistan,
Quetta.

Block-13, Balochistan Civil Secretariat, Quetta

Message from the Chief Minister of Balochistan

I am pleased to note that the Bureau of Statistics, Planning & Development Department, Balochistan is publishing the Balochistan Development Profile, a vital document comparing our province with others across fifteen key sectors. The inclusion of both social and economic indicators makes this publication a comprehensive reference for understanding the province's development trajectory. Such efforts play a pivotal role in guiding our policies, setting priorities, and ensuring efficient resource allocation. This profile will greatly benefit researchers, academia, and stakeholders in both government and private sectors. It provides an evidence-based foundation for inclusive planning and policy development. The initiative reflects our commitment to transparency, accountability, and good governance. I encourage all departments to make effective use of this data for improving service delivery and planning outcomes. The Government of Balochistan strongly supports the institutional growth of the Bureau of Statistics. I congratulate the BoS team for its dedication and professionalism. Let this publication be a milestone in our journey towards data-driven policy formulation and decision making in province of Balochistan.

Mir Sarfraz Ahmed Bugti

Message from the Minister of Planning & Development Department (P&DD)

The Balochistan Development Profile is a significant initiative by the Bureau of Statistics, Planning & Development Department, offering a comparative analysis of fifteen development sectors among the provinces. By covering both social and economic areas, the publication provides valuable insights for evidence-based planning. It is an essential resource for academia, researchers, policymakers, and development partners who seek accurate data for program design and impact assessment. As the Minister for Planning & Development, I see this as a powerful tool to support our planning mechanisms and improve coordination across sectors. It demonstrates our commitment to transparency, performance monitoring, and development impact. I encourage all departments to utilize the data for better policy formulation and decision-making. BoS has proven its capacity to deliver quality, reliable statistics, and we will continue to strengthen its institutional support. This document is not just a publication—it is a roadmap for sustainable development. I extend my congratulations to the entire BoS team for their excellent contribution.

Mir Zahoor Ahmed Buledi

Message from the Chief Secretary Balochistan



It gives me immense pleasure to acknowledge the publication "Development Profile: Statistical Comparison with Other Provinces" by the Bureau of Statistics, Planning & Development Department, Balochistan. This publication reflects the Bureau's continued commitment to producing credible and evidence-based data that serves as the foundation for informed decision-making. Reliable statistics are vital for effective planning, policy formulation, and resource allocation. The Bureau of Statistics plays a central role in providing factual insights into the province's socio-economic development and comparative progress at the national level. I appreciate the dedicated efforts of the Bureau in compiling this valuable document. I am confident that this publication will serve as a key reference for policymakers, researchers, and development partners in shaping future strategies for sustainable growth in Balochistan.

Shakeel Qadir Khan

Message from the Additional Chief Secretary, P&DD

Balochistan Development Profile, which presents a comparative analysis of our province in fifteen key sectors. The inclusion of both social and economic indicators makes this Profile a comprehensive and actionable document. It will greatly assist researchers, academic institutions, government departments, and private sector stakeholders in developing policies and strategies grounded in data. The Profile supports evidence-based planning, identifies sectoral gaps, and sets a benchmark for performance measurement. As the administrative head overseeing BoS, I appreciate the professionalism and commitment shown by the team in compiling this important work. All departments are encouraged to utilize this publication in their planning and evaluation processes. This initiative reflects the evolving role of BoS as a key institution in development planning. The P&DD remains committed to further enhancing the statistical capacity of the province.

Zahid Saleem

Table of Contents

EXECUTIVE SUMMARY 1
Chapter 1 POPULATION 3
Chapter 2 HEALTH.....9
Chapter 3 EDUCATION 15
Chapter 4 AGRICULTURE 49
Chapter 5 Livestock.....55
Chapter 6 FISHERIES.....63
Chapter 7 CLIMATE.....69
Chapter 8 MINES & MINERALS.....75
Chapter 9 FUEL & POWER 81
Chapter 10 LABOR.....87
Chapter 11 BANKING AND FINANCE 91
Chapter 12 ROAD 99
Chapter 13 TRANSPORT 107
Chapter 14 CRIMES AND ACCIDENTS.....113
Chapter 15 POST OFFICE 119
Chapter 16 DIGITAL DEVELOPMENT IN BALOCHISTAN.....123
Chapter 17 STATUS OF HUMAN DEVELOPMENT IN BALOCHISTAN 127
Chapter 18 MEASURING THE MULTIDIMENSIONAL POVERTY INDEX (MPI) FOR BALOCHISTAN.....139
SOURCES / REFERENCES.....143

List of Tables

Table 1.1 Annual Growth Rate & Population Statistics 2023 Census....5
Table 1.2 Annual Growth Rate from 1972 to 2023 Census 6
Table 2.1 Number of Registered Doctors for the Year 2023....12
Table 3.1 Comparison of Literacy Rate Pakistan Vs Balochistan....18
Table 3.2 Province and Gender Wise Literacy Rate for the Year 2023 19
Table 3.3 OOSR of Primary Schools by Province and Gender....20
Table 3.4 OOSR of Middle Schools by Province and Gender 21
Table 3.5 OOSR of High Schools by Province and Gender....22
Table 3.6 Dropout Statistics of Children by Sex and Province Age (5-16) for 2023....23
Table 3.7 Access of Electricity in Schools by Province and Level 2023 24
Table 3.8 Availability of Drinking Water in schools Across Provinces....25
Table 3.9 Availability of Toilets in Schools across Provinces 26
Table 3.11 Total Number of Primary Schools by Gender and Province 2023 28
Table 3.12 Total Number of Enrollments in Primary Schools 2023 29
Table 3.13 Comparison of Teaching Staff in Primary Schools 30
Table 3.14 Total Number of Middle Schools by Gender and Province 2023....31
Table 3.15 Province Wise Distribution of Total Enrollments in Middle Schools 2023....32
Table 3.16 Comparison of Teaching Staff in Middle Schools for 2023....33
Table 3.17 Total Number of High Schools by Gender and Province 2023....34
Table 3.18 Province Wise Distribution of Total Enrollments in High Schools 2023....35
Table 3.19 Comparison of Teaching Staff in high Schools for 2023 36
Table 3.20 Total Number of Inter-Colleges by Gender and Province 2023....37
Table 3.21Total Number of Enrollments in Inter-Colleges by Gender and Province 2023 38
Table 3.22 Total Number of Teaching Staff in Inter-Colleges by Gender and Province 2023 39
Table 3.23 Total Number of Degree Colleges by Gender and Province 2023 40
Table 3.24 Total Number of Enrollments in Degree Colleges by Gender and Province 2023....41
Table 3.25 Total Number of Teaching staff in Degree Colleges by Gender and Province 2023 42
Table 3.26 Total Number of Post-Graduates Colleges by Gender and Province 2023 43
Table 3.27 Total Number of Enrollments in Post-Graduates Colleges by Gender and Province 2023....44
Table 3.28 Total Number of Teaching Staff in Post-Graduates Colleges by Gender and Province....45
Table 3.29 Total Number of Universities by Gender and Province 2023 46
Table 3.30 Total Number of Enrollments in Universities by Gender and Province 2023....47
Table 3.31 Total Number of Teaching Staff in Universities by Gender and Province 2023....48
Table 4.1 Land Utilization Statistics for The Year 2022-23....52
Table 4.2 Production of Important Crops for The Year 2023 54
Table 5.1 Provincial and National Livestock Population in Pakistan Census 2024 58
Table 5.2 Provincial Percentage Share of Livestock Population Census 2024 60
Table 5.3 Provincial Comparison of Veterinary Institutions 2023....61
Table 5.4 Provincial Animal Healthcare and Slaughtering in Pakistan 2023....62
Table 5.5 Provincial Percentage Share of Animal Healthcare and Slaughtering in Pakistan....62
Table 6.1 Provincial Comparison of Fish Production 2023 66
Table 6.2 Provincial Percentage of Fish Production 2023 67
Table 6.3 Fisheries Statistics of Balochistan and Sindh Province2023....68
Table 7.1 Temperature Variations Across provinces 72
Table 7.2 Rainfall Comparison Across Provinces at Selected Station for 2023....73
Table 8.1 Pakistan's Mineral Output by Province 2023....78
Table 8.2 Percentage Share of Pakistan's Mineral Output by Province 2023 78
Table 9.1 Percentage of Consumers on WAPDA's System for 2022-23....84
Table 9.2 Percentage of Electricity Consumers in Balochistan 2022-23 85
Table 9.3 Percentage of Electricity Consumption in Balochistan 2022-23....86

Table 10. 1 Province Wise Data on Labor Force....90
Table 11.1 Comparison of Provincial Expenditures 2023....94
Table 11.2 Comparison of Estimated Current Expenditure 2022-23....95
Table 11.3 Comparison of Provincial Tax Revenue 2022-23....97
Table 12.1 Total Road Length Distribution by Province....102
Table 12.2 Distribution of High-Type Roads by Province....103
Table 12.3 Distribution of Low-Type roads by Province....104
Table 12.4 Distribution of Road Type by province in Km....105
Table 13.1 Province Wise Registered Motor Vehicles for the Year 2023....110
Table 14.1 Crime Against Person Statistics....116
Table 14.2 Crime Statistics Comparison Across provinces....117
Table 15.1 Total Number of Post Offices in Pakistan....122
Table 16.1 DDI Score (Digital Development)....124
Table 17.1 Human Development Index and its components....130

List of Figures

Figure 1.1.1 Province Wise Percentage Share of Population in Pakistan 2023 Census 5
Figure 1.1.2 Population Density per Sq.km Persons (2017 & 2023 Census) 6
Figure 1.2 Annual Growth Rate from 1972 to 2023 Census 7
Figure 2.1 Province-wise percentage share of health institutions 12
Figure 2.2 Percentage Share of Doctors and dentists 13
Figure 2.3 Population per Health Institution 13
Figure 3.1: Literacy rate comparison, Source:.....18
Figure 3.2 Province and Gender Wise Literacy Rate for the Year 2023 19
Figure 3.3 Province and Gender Wise Comparison of OOSR for Primary Schools 2023 20
Figure 3.4 Province and Gender Wise Comparison of OOSR for Middle Schools 2023.....21
Figure 3.5 Province and Gender Wise Comparison of OOSR for High Schools 2023 22
Figure 3.6 Provincial and Gender Overview of School Dropouts (Aged 5–16) For 2023 23
Figure 3.7 Province Wise Comparison of Access of Electricity in Schools for 2023 24
Figure 3.8 Availability of Drinking Water in schools Across Provinces 25
Figure 3.9 Availability of Toilets in Schools across Provinces 26
Figure 3.10 Availability of Boundary Walls in Schools across Provinces 27
Figure 3.11 Comparison of Primary Schools 28
Figure 3.12 Total Number of Enrollments in Primary Schools 2023 29
Figure 3.13 Comparison of Teaching Staff in Primary Schools 30
Figure 3.14 Comparison of Total Number of Middle Schools 2023 31
Figure 3.15 Province Wise Distribution of Total Enrollments in Middle Schools 2023.....32
Figure 3.16 Comparison of Teaching Staff in Middle Schools for 2023 33
Figure 3.17 Total Number of High Schools by Gender and Province 2023.....34
Figure 3.18 Province Wise Distribution of Total Enrollments in High Schools 2023 35
Figure 3.19 Comparison of Teaching Staff in High Schools for 2023 36
Figure 3.20 Total Number of Inter-Colleges by Gender and Province 2023.....37
Figure 3.21 Total Number of Enrollments in Inter-Colleges by Gender and Province 2023.....38
Figure 3.22 Total Number of Teaching Staff in Inter-Colleges by Gender and Province 2023.....39
Figure 3.23 Total Number of Degree Colleges by Gender and Province 2023 40
Figure 3.25 Total Number of Teaching Staff in Degree Colleges by Gender and Province 2023 42
Figure 3.26 Total Number of Post-Graduates Colleges by Gender and Province 2023 43
Figure 3.27 Total Number of Enrollments in Post-Graduates Colleges by Gender and Province 44
Figure 3.28 Total Number of Teaching Staff in Post-Graduates Colleges by Gender and Province 45
Figure 3.29 Total Number of Universities by Gender and Province 2023 46
Figure 3.30 Total Number of Enrollments in Universities by Gender and Province 2023 47
Figure 3.31 Total Number of Teaching Staff in Universities by Gender and Province 2023 48
Figure 4.1 Land utilization Comparison Across Provinces 53
Figure 4.2 Production of Important Crops for The Year 2023 54
Figure 5.1 Livestock Population 2024 Prevalence in Pakistan (In Millions) 58
Figure 5.2 Livestock Population 2024 Prevalence in Pakistan (In Millions) 60
Figure 5.3.1 Provincial comparison of Veterinary Hospitals 61
Figure 5.3.2 Provincial comparison of Veterinary Dispensaries 61
Figure 5.4 Provincial Percentage Share of Animal Healthcare and Slaughtering in Pakistan 62
Figure 6.1 Provincial Comparison of Fish Production 66
Figure 6.2 Provincial Percentage Share of Fish Production 67
Figure 7.1 Temperature Variations Across provinces 72
Figure 7.2Rainfall Comparison Across Provinces at Selected Station for 2023 73

Figure 8.1 Percentage Share of Pakistan's Mineral Output by Province 2023 79
Figure 9.1 Percentage of Consumers on WAPDA's System for 2022-23 84
Figure 9.2 Percentage of Electricity Consumers in Balochistan 2022-23 85
Figure 9.3 Percentage of Electricity Consumption in Balochistan 2022-23 86
Figure 10.1 Labor Force comparison of Pakistan 90
Figure 11.1 Comparison of Provincial Expenditures 2023 94
Figure 11.2.1 Comparison of Estimated Current Expenditure 2022-23 95
Figure 11.2.2 Comparison of Budget Estimates 2022-23 96
Figure 11.2.3 Total Expenditure 96
Figure 11.3 Comparison of Provincial Tax Revenue 2022-23 97
Figure 12.1 Total Road Length Distribution by Province 102
Figure 12.2 High Type Roads of Provinces in Km 103
Figure 12.3 Low-Type Roads in Km 104
Figure 12.4.1 Distribution of Road Type by province in Km 105
Figure 12.4.2 Distribution of Road Type by province in Km 106
Figure 13.1.1 Province Wise Number of Total Registered Vehicles in 2023 110
Figure 13.2 Province Wise Number of Vehicle Type in 2023 111
Figure 13.1.3 Province wise Lightweight Transport Vehicle (LTV) Comparison 2023 111
Figure 14.1 Crimes Against Person 116
Figure 14.2 Crimes Against Property 117
Figure 14.3 Total Crimes (Person and Property) 118
Figure 15.1 Total Number of Post Offices in Pakistan 122
Figure 16.1 DDI Score (Digital Development) 125
Figure 17.1 Human Development Index Trends (2005-2020) 129
Figure 18.1 Poverty Index 141
Figure 18.2 MPI by National, Rural/Urban and Provincial Levels, 2019-20 142
Figure 18.3 Headcount Ratio (H) by National, Rural/Urban and Province, 2019-20 142
Figure 18.4 Intensity (A) by National, Rural/Urban and Provincial Levels, 2019-20 142

EXECUTIVE SUMMARY

Demographics: In 2023, Pakistan's population reached 241.5 million, growing annually at 2.55 percent with a density of 303 persons per square kilometre. Balochistan—the country's largest province, spanning 347,190 square kilometres is home to 14.9 million people, representing 6.17 percent of the national population. Despite its vast area, the province recorded a density of only 43 persons per square kilometre but the highest provincial growth rate at 3.2 percent, which signifies challenge of service delivery across dispersed communities.

Education: The national literacy rate stood at 60.65 percent, while Balochistan's literacy rate was 42.01 percent, including 50.5 percent for males and 32.8 percent for females, reflecting persistent gender gaps but also a strong base for future improvement through targeted education investments.

Health: Balochistan hosts 56 government hospitals with 6,720 beds, 504 dispensaries, 132 rural health centers, and 770 basic health units—equating to 9,535 persons per institution, a ratio more favorable than the national average of 21,564 persons per institution.

Agriculture: Balochistan produced 1.5 million tons of wheat, 103 thousand tons of rice, 113 thousand tons of cotton, and 33 thousand tons of sugarcane, while vast underutilized cultivable land signals substantial agricultural potential. The province also holds a strong livestock base, with 4.07 million cattle, 22.9 million goats, 18.8 million sheep, and 0.77 million camels—accounting for the highest national shares in sheep (42.2%) and camels (51.1%).

Fisheries: Fisheries contributed 137,950 metric tons, equivalent to 33.39 percent of national production, supported by over 82,000 fishermen and 9,632 fishing crafts, ranking Balochistan as the second-largest contributor after Sindh. The province is also endowed with abundant mineral resources, producing 113,402 tons of chromite, 205,812 tons of iron ore, 2.56 million tons of coal, and 1.4 million tons of marble, making significant contributions to national output.

Power and Labour: electricity consumption, agriculture remained the dominant sector, accounting for 71.5 percent, while domestic consumers represented 74 percent of total users. In the labour market, Balochistan reported a labour force participation rate of 40.4 percent, an employment rate of 29.6 percent, and the lowest unemployment rate among provinces at 10.7 percent.

Infrastructure: Infrastructure indicators show 45,872 kilometres of roads, including 27,193 kilometres of high-type and 20,374 kilometres of low-type roads, along with 657,439 registered motor vehicles in 2023.

Collectively, these statistics highlight Balochistan's strengths in livestock, fisheries, minerals, and labour potential, while emphasizing its strategic importance in Pakistan's overall development landscape and the need for spatially balanced, inclusive growth investments.

Chapter 1

POPULATION

Table 1.1 Annual Growth Rate & Population Statistics 2023 Census

f	Area in Sq Km	House -Hold Size	*Population*		*Population Shares*	*Annual Growth Rate*	*Pop Density*	
			2017	*2023*			2017	2023
Pakistan	796,096	6.3	207,684,626	241,499,431	-	2.55	261	303
Balochistan	347,190	6.4	12,335,129	14,894,402	6.17	3.2	36	43
Punjab	205,345	6.4	109,989,655	127,688,982	52.87	2.53	536	622
Sindh	140,914	5.6	47,854,510	55,696,147	23.06	2.57	340	395
KPK	101,741	6.9	35,501,964	40,856,097	16.92	2.38	349	402
Islamabad	906	5.7	2,003,368	2,363,863	0.98	2.8	2211	2609

Figure 1.1.1 Province Wise Percentage Share of Population in Pakistan 2023 Census

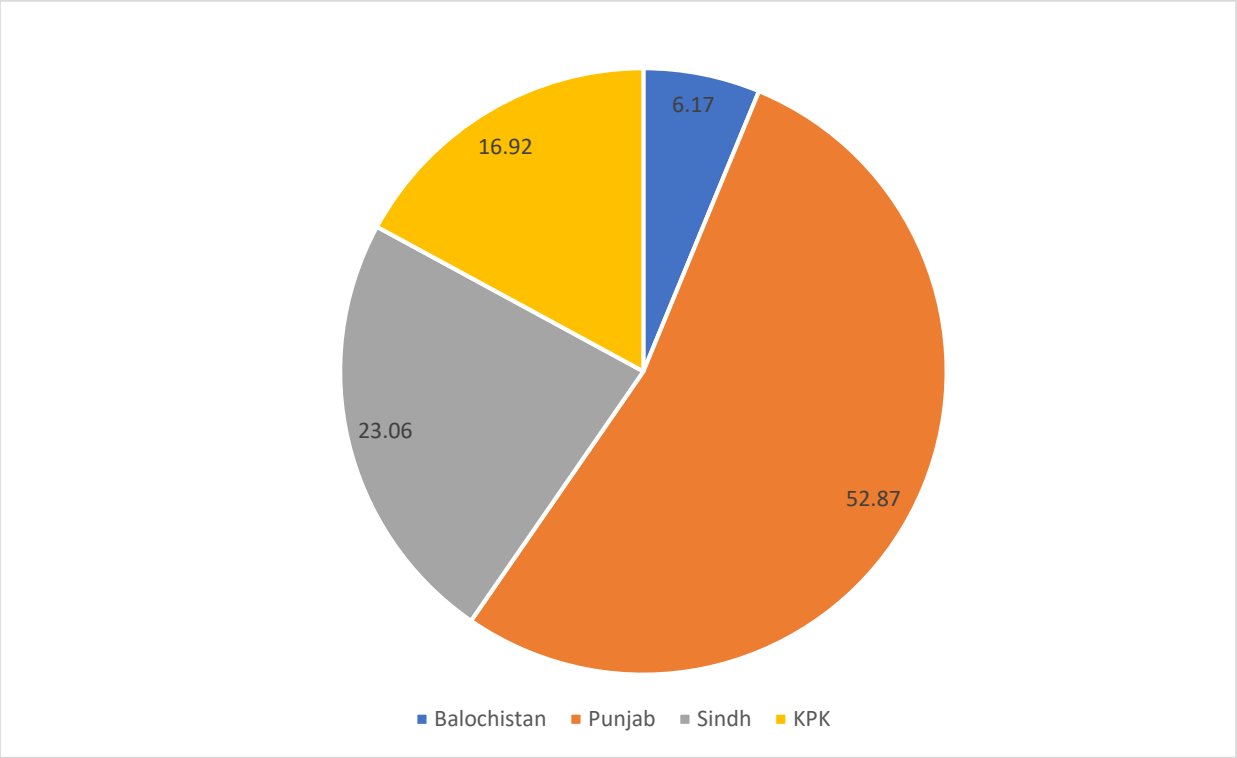

Figure 1.1.1 illustrates the province-wise percentage share of population in Pakistan according to the 2023 Census**.** The data indicate that Punjab accounts for the highest share of population (52.87%)**,** followed by Sindh (23.06%)**,** Khyber Pakhtunkhwa (16.92%)**,** and Balochistan (6.17%)**.** The distribution highlights that a significant majority of the population resides in Punjab, reflecting the province's dominant demographic position in the country.

Figure 1.1.2 Population Density per Sq.km Persons (2017 & 2023 Census)

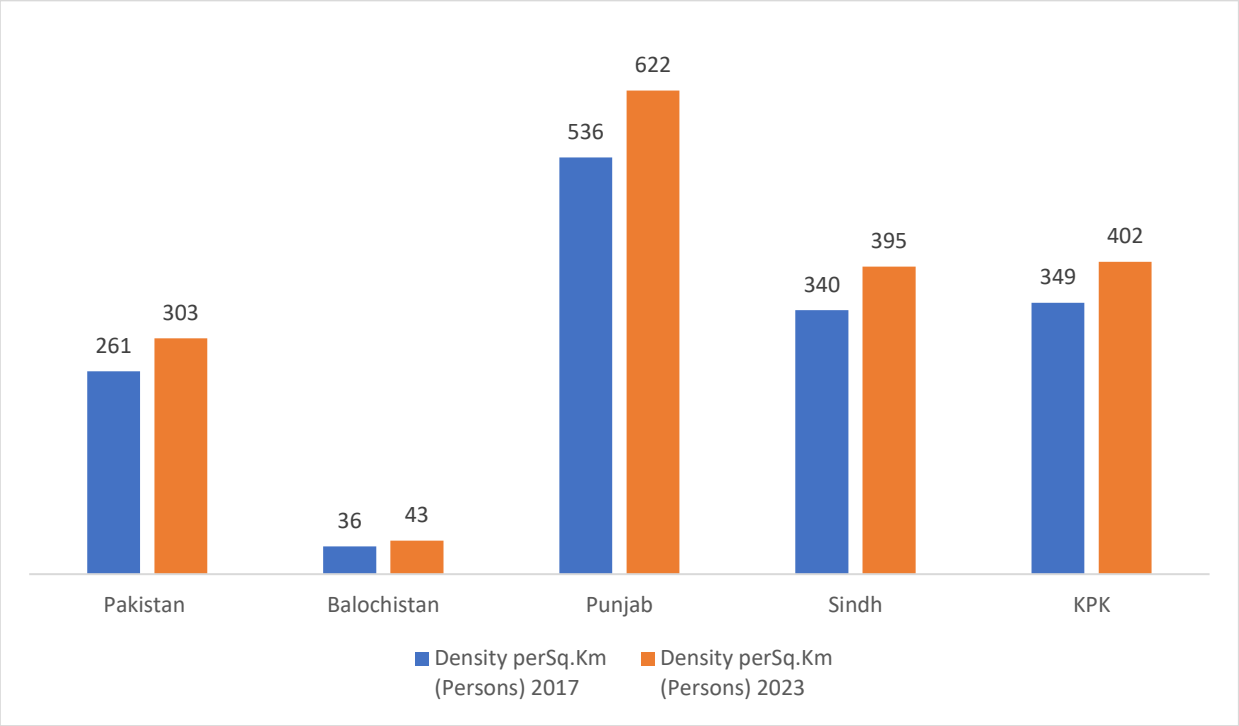

Figure 1.1.2 illustrates the population density per square kilometer across provinces for 2017 and 2023. The data reveal that Punjab has the highest population density, recorded at 536 persons per sq.km in 2017 and 622 in 2023, while Balochistan has the lowest, with 36 in 2017 and 43 in 2023**.** All provinces exhibit an increase in population density over the period. At the national level, Pakistan's overall population density rose from 261 to 303 persons per sq.km**,** reflecting continued demographic growth across the country.

Table 1.2 Annual Growth Rate from 1972 to 2023 Census

Years	Pakistan	Balochistan	Punjab	Sindh	KPK
1972	3.02	5.16	3.4	4.63	3.3
1981	2.06	7.09	2.75	3.56	3.3
1998	2.69	2.47	2.64	2.8	2.8
2017	2.4	3.37	2.13	2.41	2.89
2023	2.55	3.2	2.53	2.57	2.38
Source: Pakistan Bureau of Statistics, Islamabad					

Figures indicate long-term population growth patterns. Punjab and Sindh have consistently shown the largest increases, while Balochistan records comparatively modest growth across decades.

Figure 1.2 Annual Growth Rate from 1972 to 2023 Census

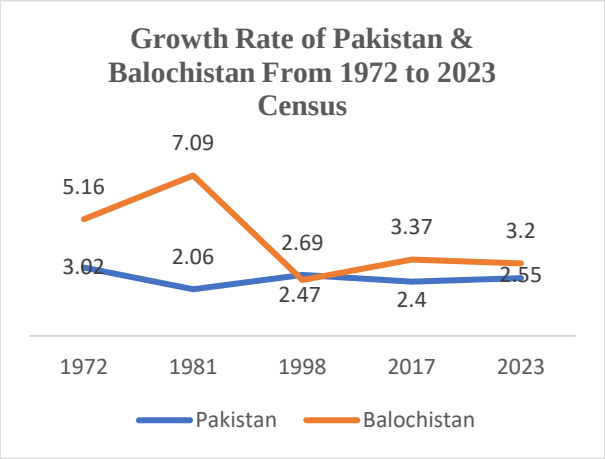

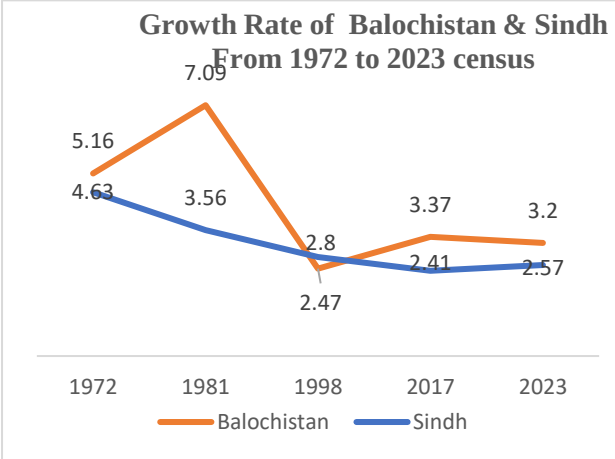

Figure 1.2 illustrates the annual population growth rates from 1972 to 2023. The data show that growth rates for Pakistan, Balochistan, and Sindh have fluctuated over time, with Balochistan recording the highest growth rate of 7.09% in 1981. Overall, growth rates have generally declined across all regions over the period. By 2023, the growth rates for Pakistan, Balochistan, and Sindh are observed to be comparable, reflecting a convergence in population growth trends across these regions.

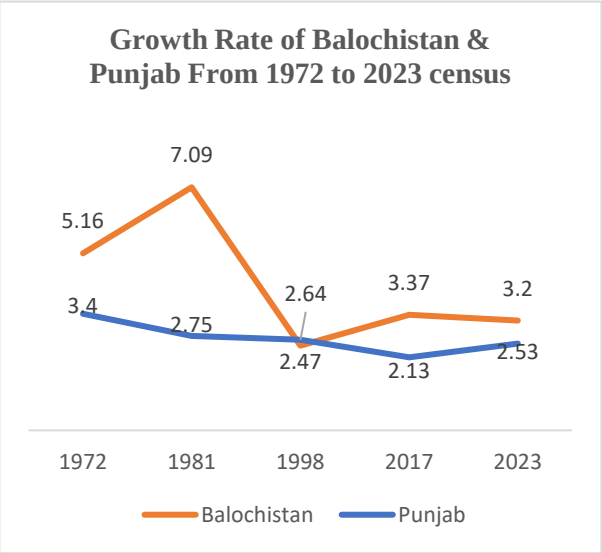

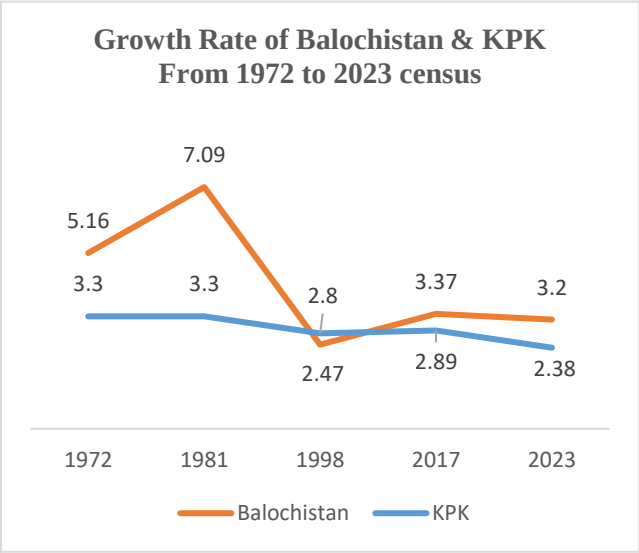

Figure presents a continuation of the population growth analysis from 1972 to 2023, focusing on Balochistan compared to Pakistan and other provinces Punjab, and Khyber Pakhtunkhwa (KPK**)**. Balochistan shows higher growth rates in earlier years, especially in 1972 and 1981.The data indicate that growth rates in Balochistan have fluctuated significantly, reaching a peak of 7.09% in 1981, while Punjab and KPK have exhibited relatively stable and lower growth rates over the same period. By 2023, the growth rates across these provinces have converged and are observed to be comparable, reflecting a moderation in population growth trends nationwide.

Chapter 2

HEALTH

OVERVIEW OF HEALTH SECTOR IN BALOCHISTAN

Balochistan's health sector reflects a combination of underdeveloped infrastructure and persistent inter-provincial disparities across healthcare indicators. As of 2023, the province operated 56 government hospitals with 6,720 beds, alongside 504 dispensaries, 132 rural health centres, and 770 basic health units (BHUs). In addition, 92 Maternal and Child Health (MCH) centres and 8 tuberculosis (T.B.) clinics supported the provincial health network. Collectively, these facilities treated over 10.06 million patients during the year.

When compared nationally, Balochistan's facility density appears relatively favourable, with 9,535 persons per health institution versus the national average of 21,564. However, this ratio primarily reflects the province's low population density rather than adequate coverage. Access remains constrained by vast geography, dispersed settlements, and limited connectivity, particularly in remote rural areas.

At the inter-provincial level, Punjab dominates health infrastructure, accounting for 41.7% of government hospitals and 53.1% of hospital beds, while Sindh leads in T.B. clinics (77.6%). In contrast, Balochistan's shares are modest—only 9.3% of hospitals and 6.7% of hospital beds—highlighting uneven spatial distribution of healthcare resources nationwide.

Human-resource disparities further reinforce these gaps. Out of 284,110 registered doctors and 34,252 dentists nationwide, Balochistan accounts for only 2.97% of doctors and 2.68% of dentists. Punjab and Sindh together employ more than 80% of Pakistan's medical professionals, underscoring the ongoing challenge of attracting and retaining skilled personnel in peripheral areas.

The province's health system remains heavily skewed toward primary care (BHUs and dispensaries) with limited secondary and tertiary coverage. While this network supports community outreach, it restricts access to specialized and emergency services. Strengthening referral linkages, expanding tele-health initiatives, and increasing budgetary allocations for human resources and equipment are critical for improving service quality and coverage.

Key Insight

Infrastructure Coverage: Balochistan hosts 1,562 health institutions for 14.9 million people—a relatively better facility ratio, but significant gaps remain in remote districts.

Provincial Disparities: Punjab leads in overall infrastructure, Sindh in disease-specific facilities (T.B. clinics), while Balochistan trails in most categories.

Workforce Imbalance: Only 3% of Pakistan's doctors are based in Balochistan, reflecting severe human-resource constraints.

Service Utilization: More than 10 million patients treated in 2023 signal heavy reliance on limited infrastructure.

Policy Implications: Future investments should emphasize rural outreach, staffing incentives, facility upgradation, and tele-health integration to achieve equitable health access across the province's vast terrain.

Progress in Health Indicators

Figure 2.1 Province-wise percentage share of health institutions

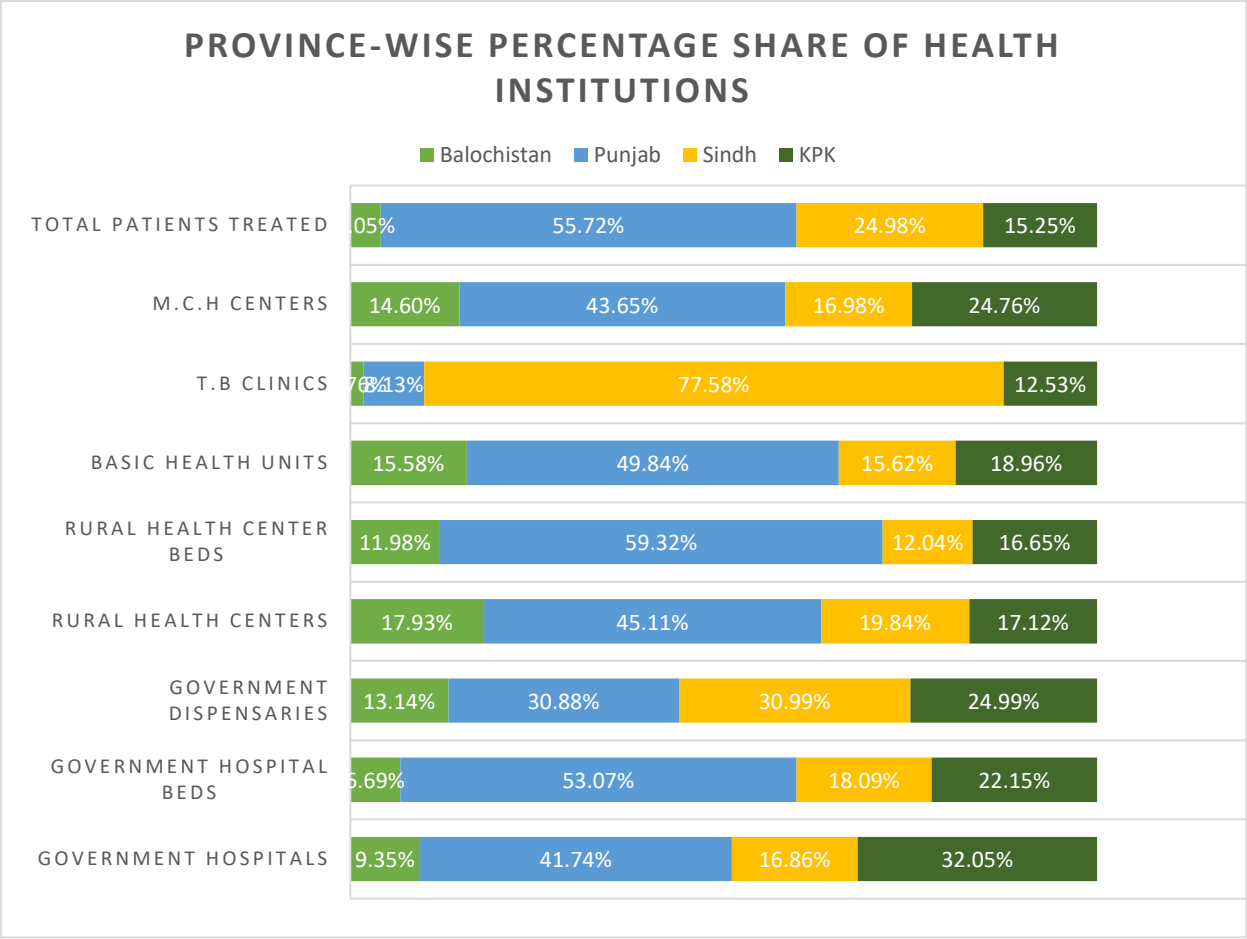

Share of Health Institutions: Figure 2.1 illustrates the province-wise percentage share of health institutions. The data indicate that Punjab holds the highest share in several categories, including M.C.H. Centers (43.65%)**,** Basic Health Units (49.84%)**,** Rural Health Center beds (59.32%)**,** and Government Hospitals (41.74%)**.** Sindh shows a significant share in T.B. Clinics (77.58%)**,** while Balochistan records the lowest shares across most institutional categories. The shares for Khyber Pakhtunkhwa (KPK) vary depending on the type of health facility. Overall, the data highlight provincial disparities in health infrastructure, with Punjab maintaining a dominant position and Balochistan lagging behind.

Table 2.1 Number of Registered Doctors for the Year 2023

Province	Doctors (MBBS) 2022-23			Dentists (BDS) 2022-23		
	Total	**Male**	**Female**	**Total**	**Male**	**Female**
Total	**284,110**	**148,366**	**135,744**	**34,252**	**11,077**	**23,175**
Punjab	141,287	71,240	70,047	14,925	4,674	10,251
Sindh	93,491	44,466	49,025	12,568	3,437	9,131
K.P.K	40,887	27,520	13,367	5,841	2,520	3,321
Balochistan	8,445	5,140	3,305	918	446	472

Figure 2.2 Percentage Share of Doctors and dentists

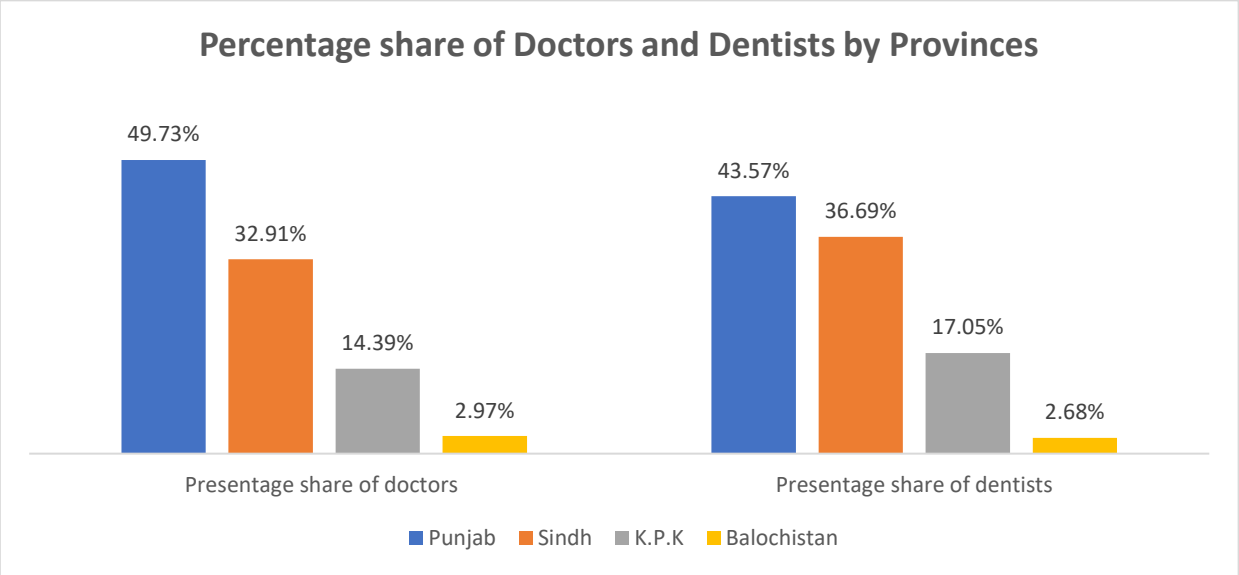

Health Human Resources: The distribution of medical professionals in Pakistan reveals pronounced regional disparities **as illustrated in figure 2.2**. **Punjab** accounts for the largest share of both **doctors (49.7%)** and **dentists (43%)**, followed by **Sindh** with **32.9% of doctors** and **37% of dentists**, **Khyber Pakhtunkhwa (KPK)** with **14.4% of doctors** and **17% of dentists**, and **Balochistan** with only **2.97% of doctors** and **3% of dentists**. This **pattern highlights** strong concentration of health professionals in Punjab and Sindh, leaving Balochistan and other peripheral regions critically underserved. The imbalance not only limits access to essential and specialized care but also highlights the need for **targeted recruitment, retention incentives, and equitable deployment strategies** to strengthen healthcare delivery nationwide.

Figure 2.3 Population per Health Institution

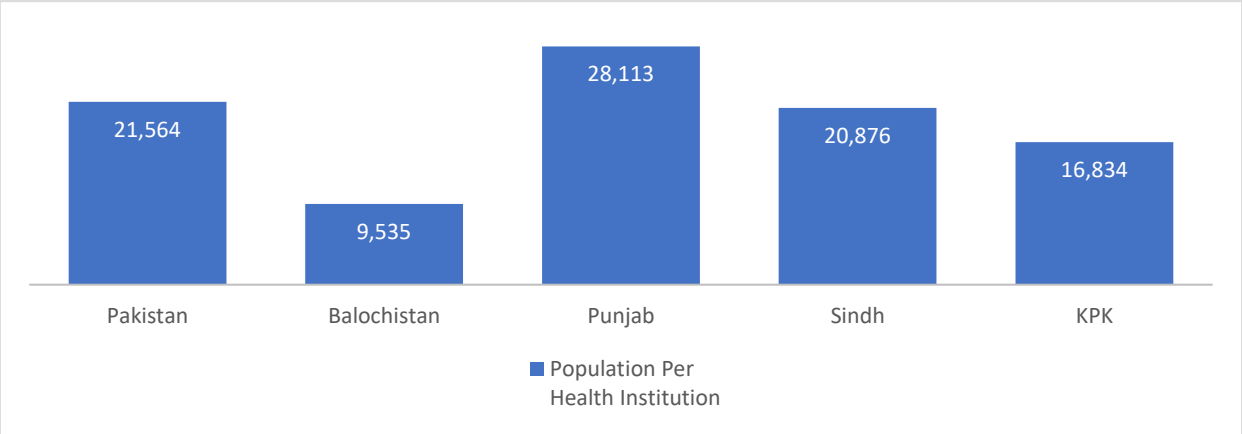

Population coverage through Health Institutions: The regional disparities signify further through population per health institutions. As illustrated in figure 2.4, **Punjab has the highest population per health institution**, with **28,113 people**, while **Balochistan records the lowest**, with **9,535 people per institution**. The figures highlight significant disparities in the distribution of health facilities, indicating a heavier burden on institutions in Punjab compared to other provinces.

Chapter 3

EDUCATION

EDUCATION CONTEXT IN BALOCHISTAN

Over time, Balochistan has improved gradually — from 10% literacy in 1972 to over 42% in 2023 but progress has plateaued since 2017, whereas other provinces have continued upward trajectories. This stagnation stems from weak school participation, as reflected in the highest Out-of-School Rates (OOSR) in Pakistan: 66% at primary, 68% at middle, and 71% at high school levels. In comparison, Punjab and Khyber Pakhtunkhwa maintain OOSR below 30–35%, while Sindh remains intermediate. Girls in Balochistan are disproportionately excluded — nearly three out of four girls of school age are not attending school — underscoring entrenched gender and socio-cultural barriers.

Infrastructure indicators reveal equally stark disparities. While Punjab and Khyber Pakhtunkhwa have achieved near-universal access to electricity, drinking water, toilets, and boundary walls in schools, Balochistan's coverage remains lowest — only 15% of primary schools have electricity, 23% drinking water, and 40% toilets. These deficits, compounded by large distances between settlements and limited road connectivity, severely limit attendance and retention, particularly for girls.

In terms of educational provision, Balochistan operates 11,546 primary schools, a fraction of Punjab's 32,294 or Sindh's 35,953, serving far smaller populations but across vast, sparsely populated terrain. Teacher availability mirrors this pattern: with 15,504 teachers at the primary level, Balochistan's teaching force is less than one-seventh that of Punjab. Across middle and high schools, teacher shortages intensify, resulting in multi-grade classrooms and limited subject specialization.

Higher and tertiary education infrastructure follows the same trajectory. Punjab leads with over 80 universities, 753-degree colleges, and 501 postgraduate institutions, while Balochistan has only 11 universities, 47-degree colleges, and 4 postgraduate colleges. Enrolments and staffing figures mirror these structural disparities: Punjab accounts for the majority of higher education enrolments and teaching staff, while Balochistan remains at the margins of national academic expansion.

Summary Insights

- Lowest literacy and highest exclusion: Balochistan trail all provinces in literacy and school participation, with extreme gender disparities.
- Severe infrastructure deficits: Basic school facilities are least available in Balochistan, contributing to low attendance and retention.
- Limited institutional footprint: The province has the fewest schools, colleges, and universities relative to population and area.
- Teacher shortages and gender gaps: Female representation in teaching is markedly lower than in Punjab and Sindh, affecting girls' education access.
- Need for spatially adaptive policy: Expanding clustered schooling models, mobile learning units, and female teacher deployment can bridge physical and social barriers unique to Balochistan's dispersed geography.

Table 3.1 Comparison of Literacy Rate Pakistan Vs Balochistan

CENSUS	Literacy Rate in Percentage (%)	
	Pakistan	Balochistan
1972	21.07	10.06
1981	26.2	10.32
1998	43.9	24.83
2017	58.92	43.58
2023	60.65	42.01

Figure 3.1: Literacy rate comparison, Source:

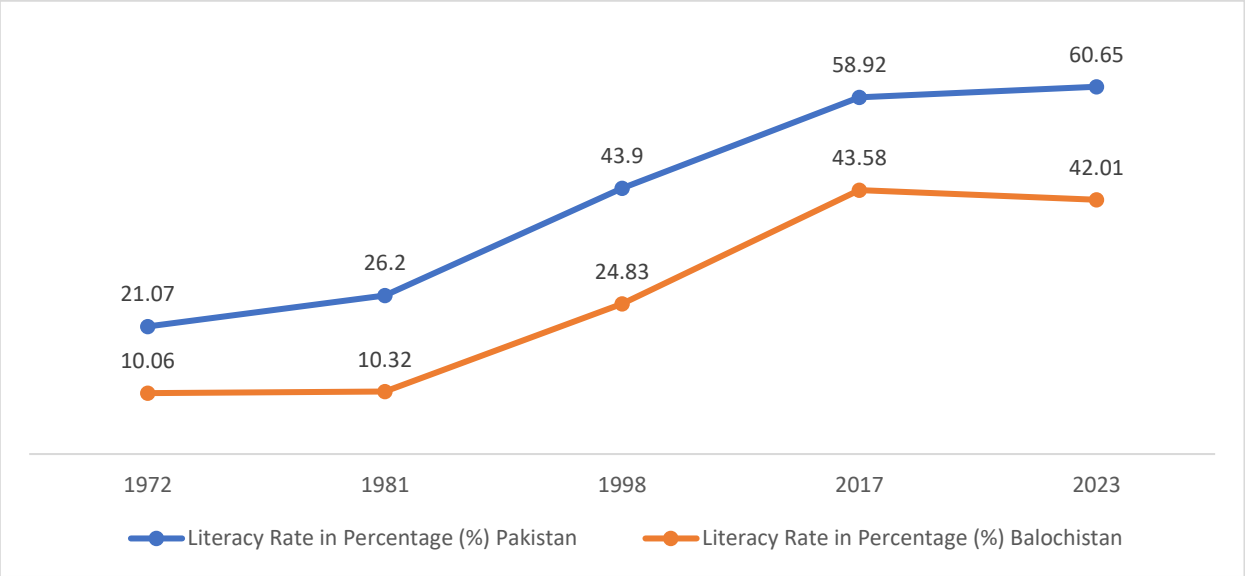

Figure 3.1 illustrates the literacy rate trend of Balochistan as compared to Pakistan from 1972 to 2023**.** The data reveals that the national literacy rate has shown a consistent upward trend, increasing from 21.07% in 1972 to 60.65% in 2023. In contrast, Balochistan's literacy rate increased from 10.06% in 1972 to a peak of 43.58% in 2017, followed by a slight decline to 42.01% in 2023.

Progress on Education Indicators

Table 3.2 Province and Gender Wise Literacy Rate for the Year 2023

	Balochistan	KPK	Sindh	Punjab	Pakistan
Total	42.01	51	57.54	66.25	60.65
Male	50.5	65	64.23	71.98	68
Female	32.8	37	50.21	60.19	52.84
Transgender	24.97	45	37.45	41.3	40.15

Figure 3.2 Province and Gender Wise Literacy Rate for the Year 2023

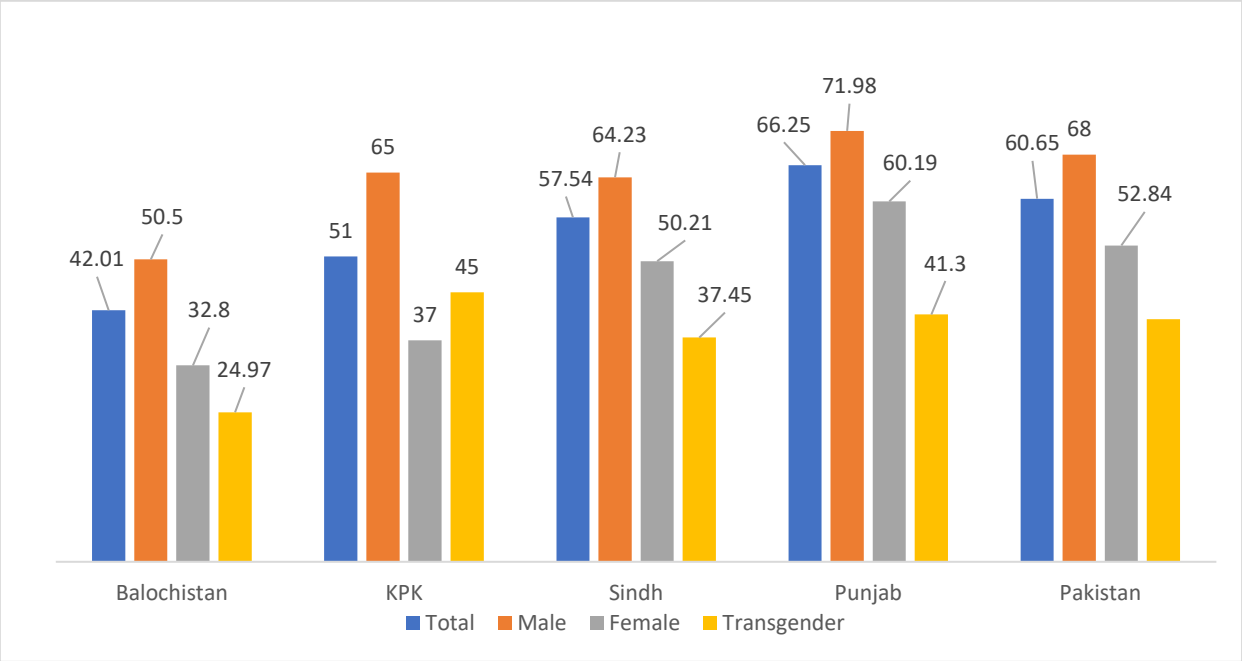

Source: Population Census (2023), Pakistan Bureau of Statistics

Balochistan's education landscape is lagging behind rest of Pakistan, with wide gap in access, quality, and gender equity. With a literacy rate of 42.0%, the province lags significantly behind Punjab (66.3%), Sindh (57.5%), and Khyber Pakhtunkhwa (51%). The literacy gender gap is especially wide — female literacy (32.8%) trails male literacy (50.5%) by nearly 18 percentage points, while transgender literacy remains the lowest nationally. In contrast, Punjab demonstrates the narrowest gender gap and the highest overall literacy, driven by better infrastructure, female teacher representation, and institutional reach.

Literacy rates: The data reveal notable disparities in literacy performance across provinces and between genders**.** As illustrated in figure 3.2, Punjab records the highest literacy rate 71% among all provinces, while Balochistan exhibits the lowest literacy rates 24.97% across both male and female groups. Khyber Pakhtunkhwa (KPK) and Sindh display moderate literacy levels in comparison. Overall, the data highlight persistent gender disparities, with female literacy rates remaining significantly lower than male literacy rates in all provinces, reflecting the continued challenge of achieving educational equity in Pakistan.

Table 3.3 OOSR of Primary Schools by Province and Gender

	Balochistan	KPK	Sindh	Punjab
Total	66.20%	24.60%	47%	28%
Male	59.60%	17.70%	41.70%	28.40%
Female	73.40%	32.00%	52.60%	29.30%

Out of school Children: Balochistan recorded the highest OOSR at 66.20% as illustrated in Figure 3.3, followed by Sindh at 47%, Punjab at 28%, and Khyber Pakhtunkhwa at 24.60%. The data highlight significant provincial disparities, with Balochistan facing the greatest challenge in primary school enrollment, while Punjab and Khyber Pakhtunkhwa show comparatively better performance.

Figure 3.3 Province and Gender Wise Comparison of OOSR for Primary Schools 2023

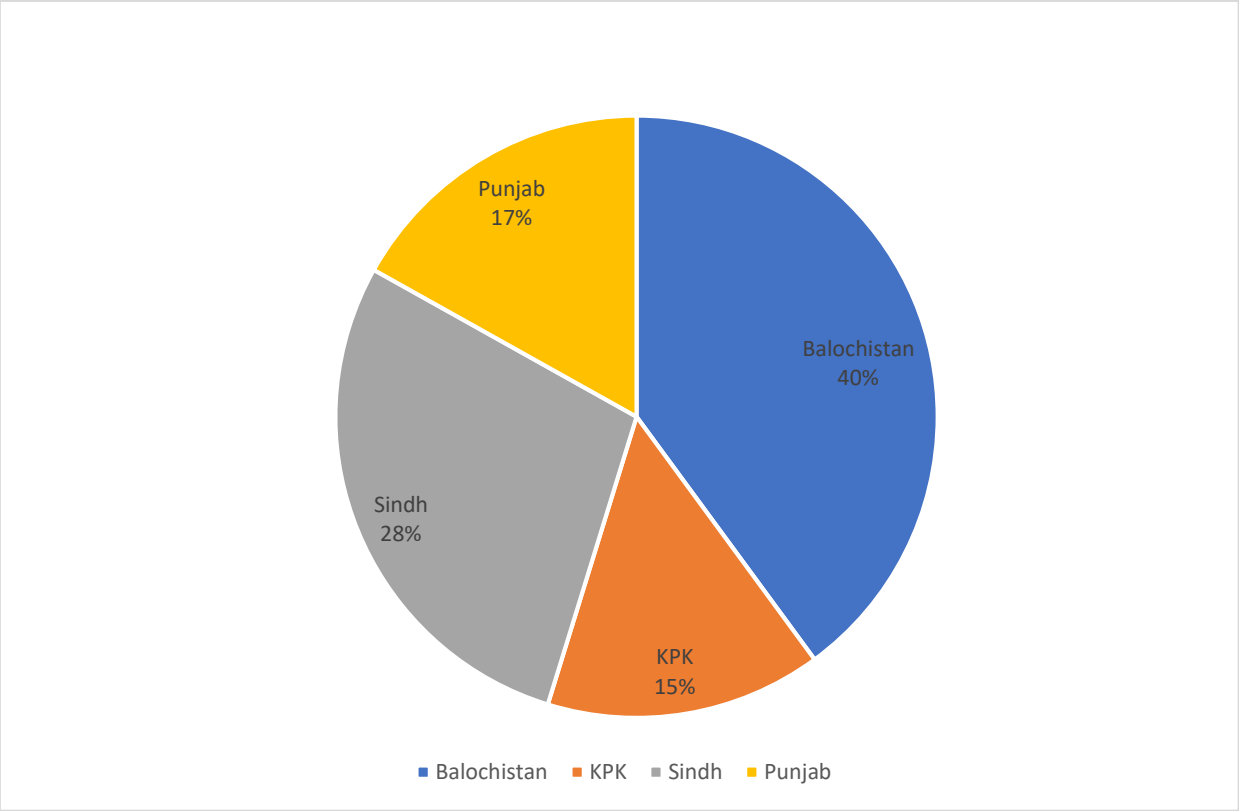

Source: Pakistan Education Statistics 2023

OOSR (Out-of-School Rate) refers to the percentage of children in a specific age group (5-16) who are not enrolled in any form of formal education (schooling) — whether primary, secondary, or high.

$$\textbf{OOSR} = \frac{(Number\ of\ out\ of\ school\ children\ in\ age\ group}{Total\ number\ of\ population\ that\ age\ group)} * 100$$

Table 3.4 OOSR of Middle Schools by Province and Gender

	Balochistan	KPK	Sindh	Punjab
Total	67.90%	23.10%	38.50%	20.10%
Male	62.40%	11.20%	29.60%	21.10%
Female	74%	36%	48.30%	19.10%

Source: Pakistan Education Statistics 2023

Figure 3.4 Province and Gender Wise Comparison of OOSR for Middle Schools 2023

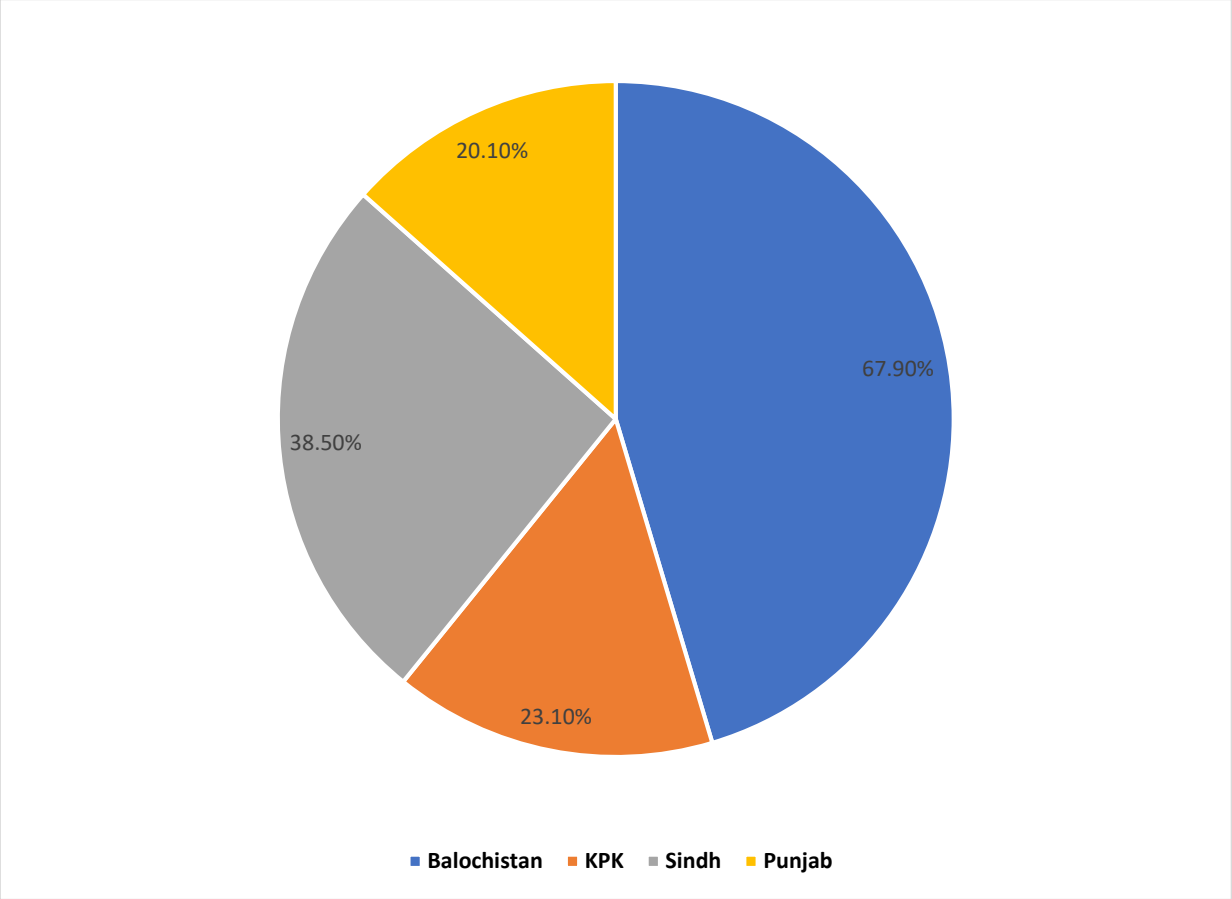

Figure 3.4 illustrates the province and gender-wise comparison of Out-of-School Rate (OOSR) for middle schools in 2023. The data reveals that Balochistan records the highest OOSR at 67.90%, followed by Sindh with 38.50%, and Khyber Pakhtunkhwa (KPK) with 23.10%, while Punjab reports the lowest OOSR at 20.10%.

Table 3.5 OOSR of High Schools by Province and Gender

	Balochistan	KPK	Sindh	Punjab
Total	71.20%	35.22%	50.30%	35.60%
Male	66.30%	24.60%	46.10%	39.70%
Female	76.80%	46.90%	54.90%	31.10%

Source: Pakistan Education Statistics 2023

Figure 3.5 Province and Gender Wise Comparison of OOSR for High Schools 2023

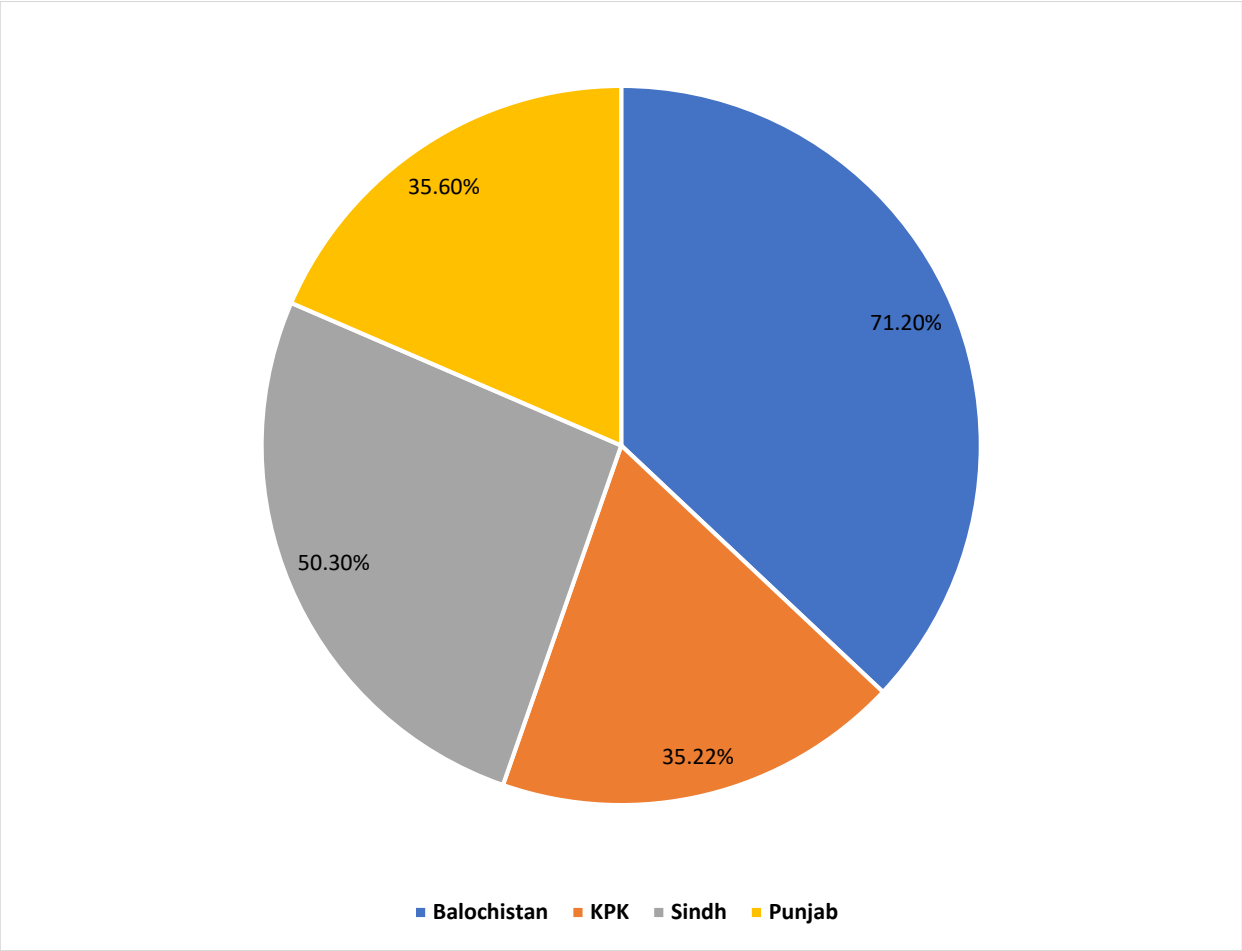

Figure 3.5 illustrates the province and gender-wise comparison of Out-of-School Rate (OOSR) for high schools in 2023. The data reveal that Balochistan has the highest OOSR at 71.20%**,** followed by Sindh with 50.30%**,** while Punjab and Khyber Pakhtunkhwa (KPK) record 35.60% and 35.22%**,** respectively.

Table 3.6 Dropout Statistics of Children by Sex and Province Age (5-16) for 2023

	Balochistan	KPK	Sindh	Punjab	Pakistan
Total	267582	664,800	1201900	3156970	5339902
Male	145282	313,210	621316	1715259	2822972
Female	122288	351,563	580519	1441470	2516584

Source: Census 2023

Figure 3.6 Provincial and Gender Overview of School Dropouts (Aged 5–16) For 2023

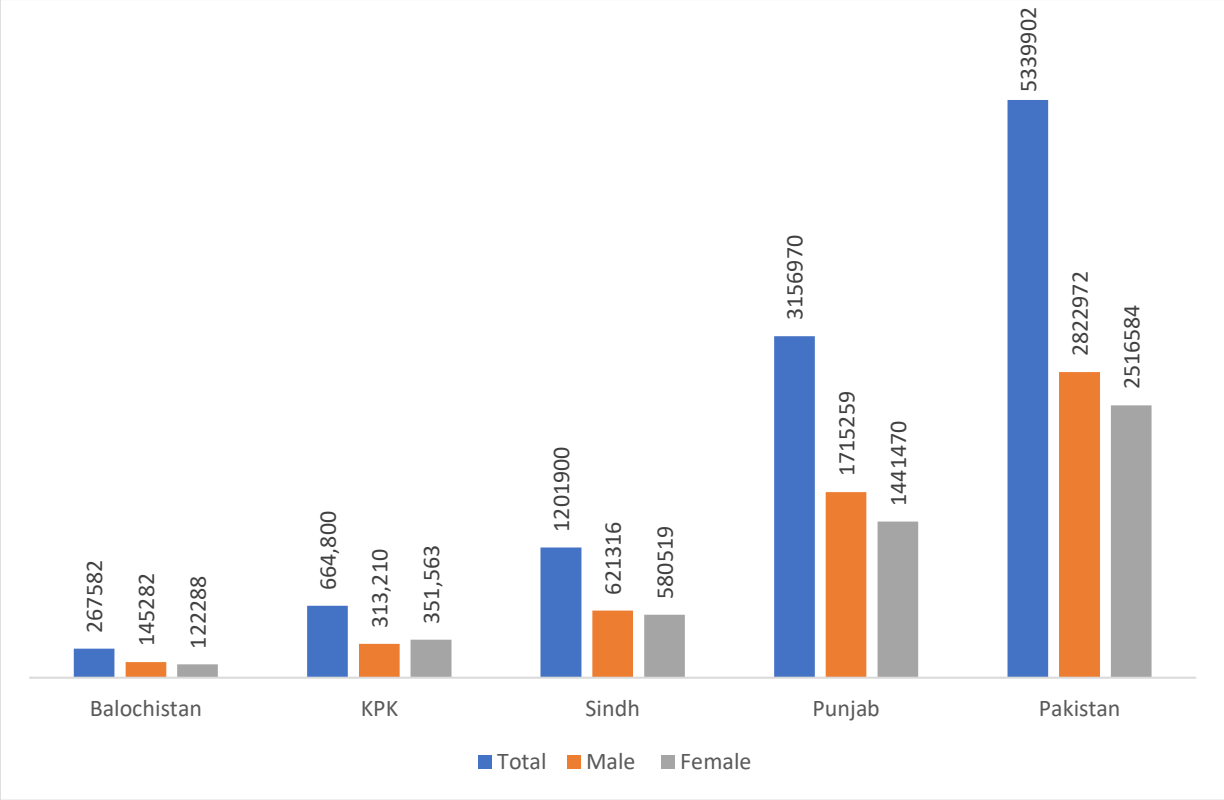

Figure 3.6 illustrates the provincial and gender-wise overview of school dropouts (aged 5–16 years) for 2023. The data indicate that Punjab recorded the highest number of total school dropouts, amounting to 3156970, followed by Sindh with 1,201,900, Khyber Pakhtunkhwa (KPK) with 664,800**,** and Balochistan with 267,582 dropouts. Overall, Pakistan reported a total of 5,339,902 school dropouts in this age group. The data further highlight gender disparities**,** with female dropouts remaining significantly higher than male dropouts across most provinces, reflecting ongoing challenges in sustaining educational participation, particularly among girls.

Table 3.7 Access of Electricity in Schools by Province and Level 2023

	Balochistan	KPK	Sindh	Punjab
Primary	15.00%	85.00%	27.00%	98.00%
Middle	30.00%	87.00%	47.00%	100.00%
High	63%	96%	79%	100%

Source: Pakistan Education Statistics 2023

Figure 3.7 Province Wise Comparison of Access of Electricity in Schools for 2023

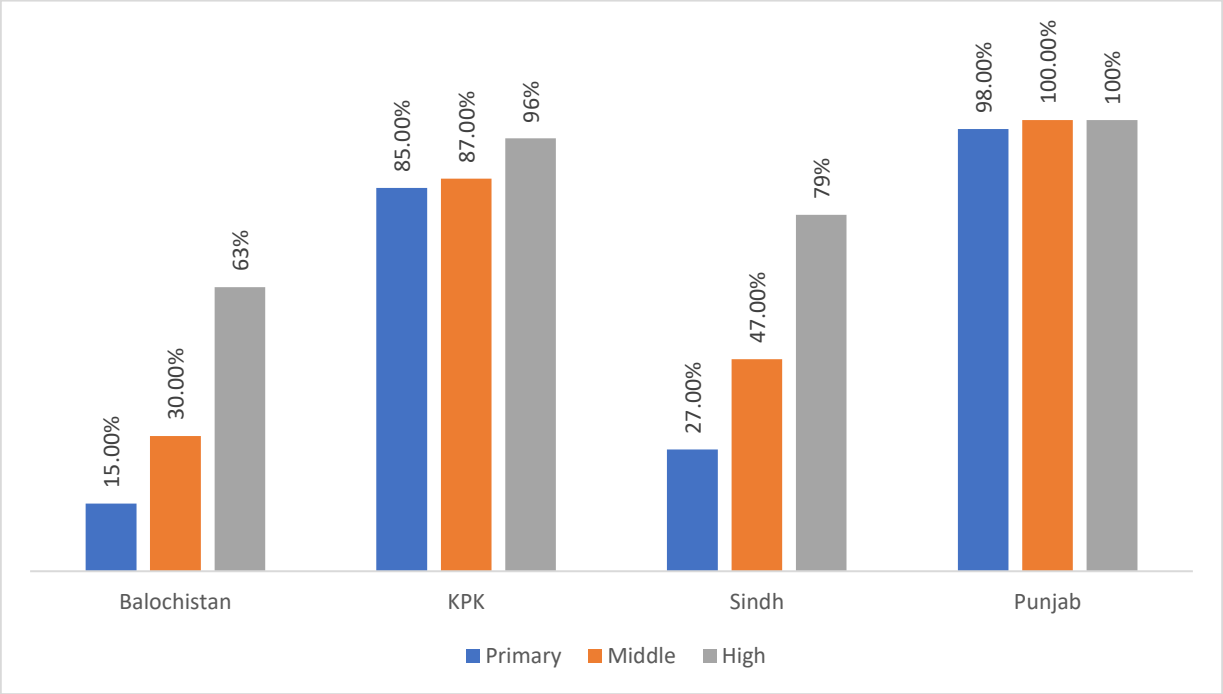

Figure 3.7 illustrates the province-wise comparison of access to electricity in schools for 2023. The data reveal that Punjab demonstrates the highest access to electricity, with 98% of primary schools, and 100% of both middle and high schools having electricity connections. In contrast, Balochistan shows the lowest access, with only 15% of primary, 30% of middle, and 63% of high schools connected to electricity. Khyber Pakhtunkhwa (KPK) reports 85% access in primary, 87% in middle, and 96% in high schools, while Sindh records 27%, 47%, and 79%, respectively. Overall, the data highlight significant provincial disparities in school infrastructure, with Punjab exhibiting near-universal access to electricity and Balochistan lagging considerably behind.

Table 3.8 Availability of Drinking Water in schools Across Provinces

	Balochistan	KPK	Sindh	Punjab
Primary	23.00%	88.00%	56.00%	99.00%
Middle	40.00%	90.00%	69.00%	100.00%
High	68%	96%	89%	100%

Source: Pakistan Education Statistics 2023

Figure 3.8 Availability of Drinking Water in schools Across Provinces

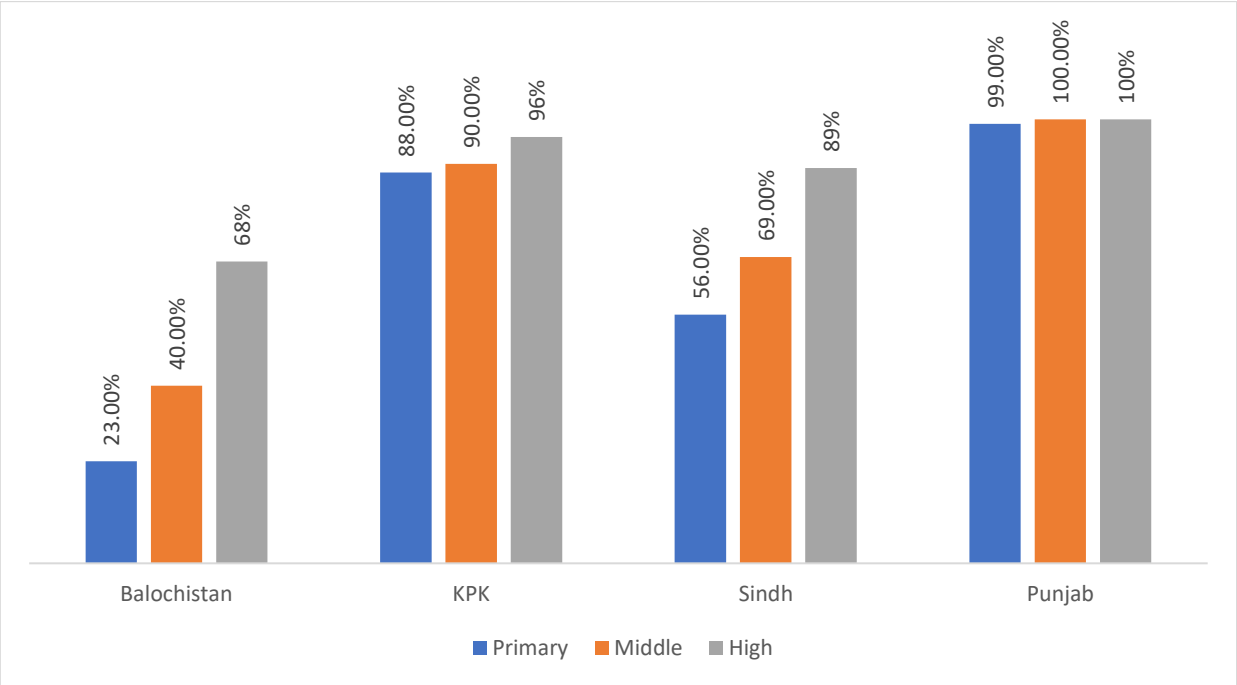

Figure 3.8 illustrates the availability of drinking water in schools across provinces. The data indicate that Punjab exhibits a high level of drinking water availability across all school levels—primary, middle, and high. In contrast, Balochistan shows lower availability, with 23% of primary schools, 40% of middle schools, and 68% of high schools having access to drinking water facilities. Khyber Pakhtunkhwa (KPK) reports 88% availability in primary schools, 90% in middle schools, and 96% in high schools. The data for Sindh suggests 56% for primary, 69% for middle and 89% for high schools with the drinking water facilities. Overall, the data highlight provincial disparities in basic school infrastructure, with Punjab performing relatively better, while Balochistan and KPK lag behind in ensuring access to safe drinking water in educational institutions.

Table 3.9 Availability of Toilets in Schools across Provinces

	Balochistan	KPK	Sindh	Punjab
Primary	40.00%	86.00%	53.00%	99.00%
Middle	72.00%	88.00%	74.00%	100.00%
High	89%	96%	93%	100%

Source: Pakistan Education Statistics 2023

Figure 3.9 Availability of Toilets in Schools across Provinces

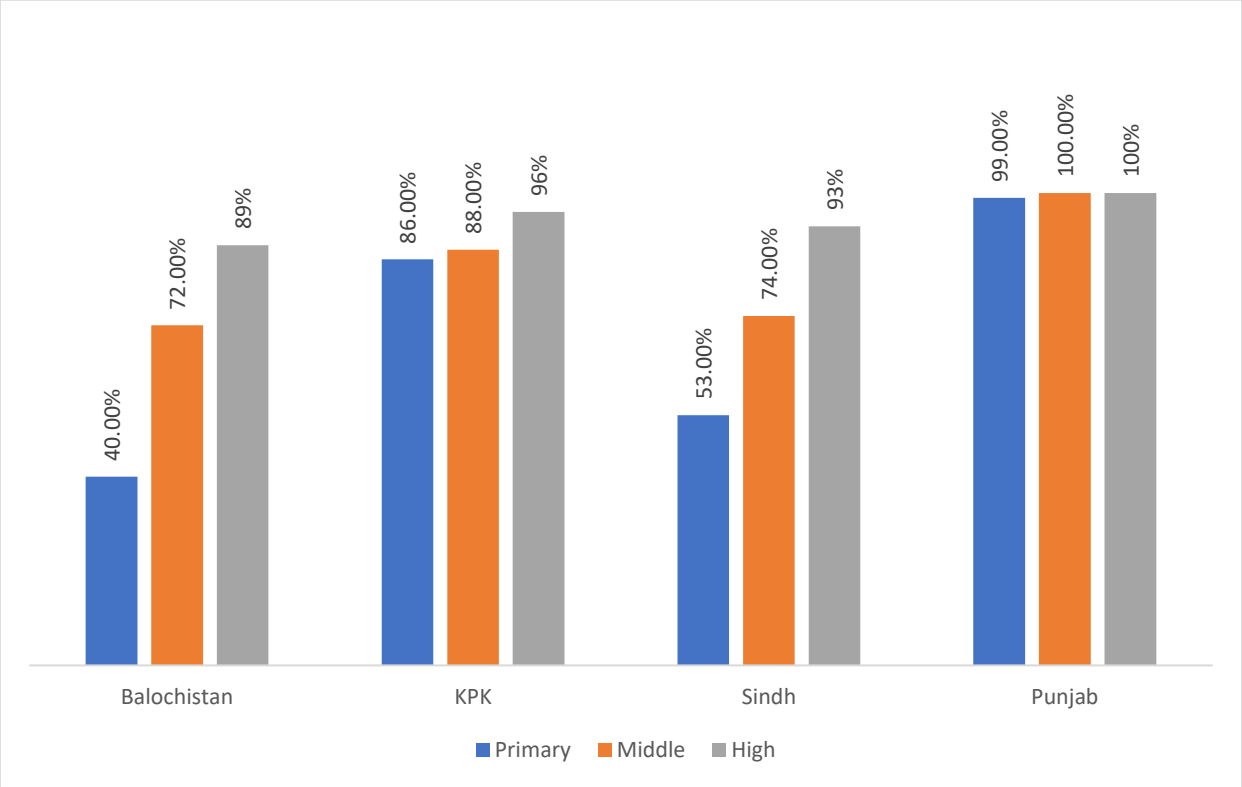

Figure 3.9: illustrates the availability of toilets in schools across provinces. The data reveal that Punjab demonstrates a very high availability of toilets, with 99% of primary schools, and 100% of both middle and high schools equipped with toilet facilities. In contrast, Balochistan shows lower availability, with 40% of primary**,** 72% of middle, and 89% of high schools having toilets. Sindh records 53% availability in primary schools, 74% in middle schools, and 93% in high schools, while Khyber Pakhtunkhwa (KPK) reports 86%**,** 88%**,** and 96% for primary, middle, and high schools, respectively. The data indicate that Punjab leads in providing adequate sanitation facilities across all educational levels, whereas Balochistan continues to face challenges, particularly at the primary school level. Overall, the analysis highlights persistent infrastructural disparities among provinces in ensuring access to basic sanitation in schools.

Table 3.10 Availability of Boundary Walls in Schools across Provinces

	Balochistan	KPK	Sindh	Punjab
Primary	40.00%	92.00%	58.00%	98.00%
Middle	74.00%	95.00%	79.00%	99.00%
High	89%	96%	93%	99%

Source: Pakistan Education Statistics 2023

Figure 3.10 Availability of Boundary Walls in Schools across Provinces

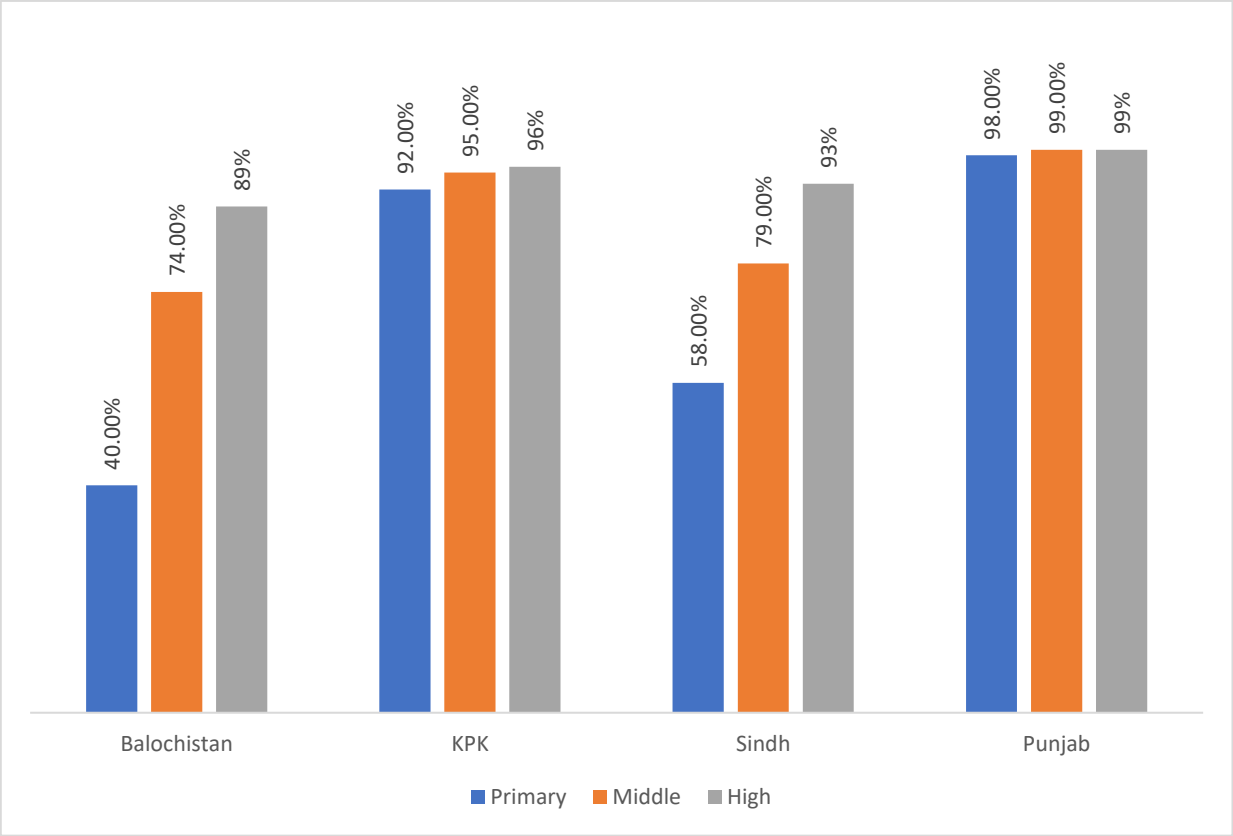

Figure 3.10 illustrates the availability of boundary walls in schools across provinces. The data show that Punjab has the highest availability, with 98% of primary schools, 99% of middle schools, and 99% of high schools equipped with boundary walls. Khyber Pakhtunkhwa (KPK) also demonstrates strong performance, with 92%, 95%, and 96% availability across primary, middle, and high schools, respectively. In comparison, Sindh records 58% availability in primary schools, 79% in middle schools, and 93% in high schools, while Balochistan lags behind, with 40%, 74%, and 89% availability across the respective school levels. The data highlight Punjab's consistent infrastructure development in education facilities, while Balochistan continues to face significant gaps, particularly at the primary level, indicating a need for focused interventions to improve school infrastructure across provinces.

Table 3.11 Total Number of Primary Schools by Gender and Province 2023

	Balochistan	KPK	Sindh	Punjab
Total	11546	28107	35953	32294
Male	8470	17101	31778	15319
Female	3076	11006	4175	16975

Sources: Provincial Development Statistics

Figure 3.11 Comparison of Primary Schools

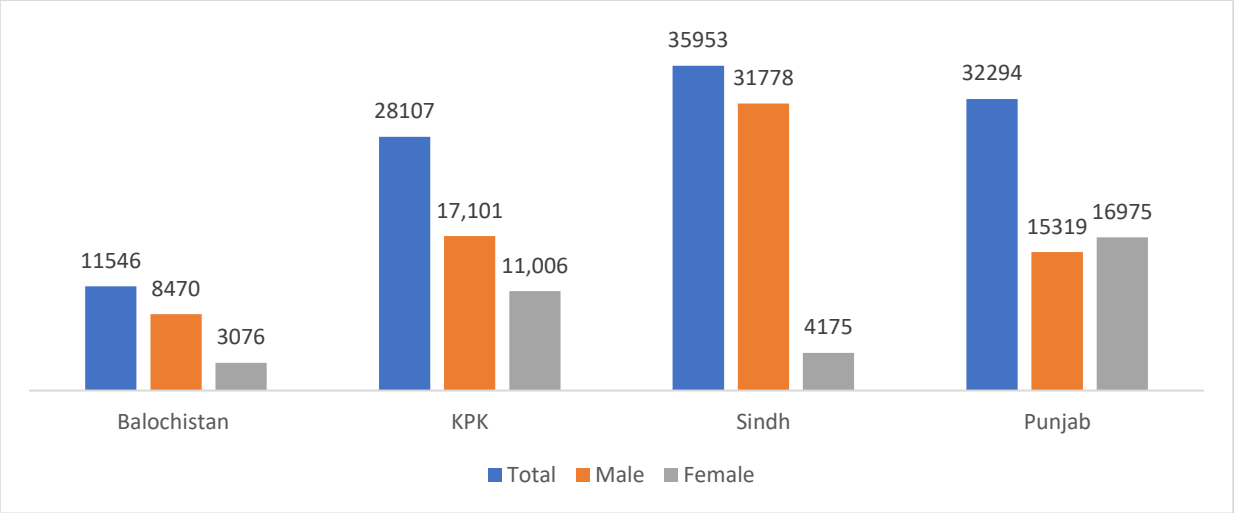

Figure 3.11 illustrates a comparison of primary schools across provinces, categorized by total, male, and female segments. Sindh has the highest total number of primary schools (35953). Punjab has 32294, KPK has 28107, and Balochistan has 11546 total primary schools. Overall, male schools are more in Balochistan, KPK, and Sindh, but female schools are more in Punjab.

Table 3.12 Total Number of Enrollments in Primary Schools 2023

	Balochistan	KPK	Sindh	Punjab
Total	406254	3906329	3042980	4072000
Male	239496	2573115	1802186	2118000
Female	166758	1333214	1240794	1954000

Sources: Provincial Development Statistics

Figure 3.12 Total Number of Enrollments in Primary Schools 2023

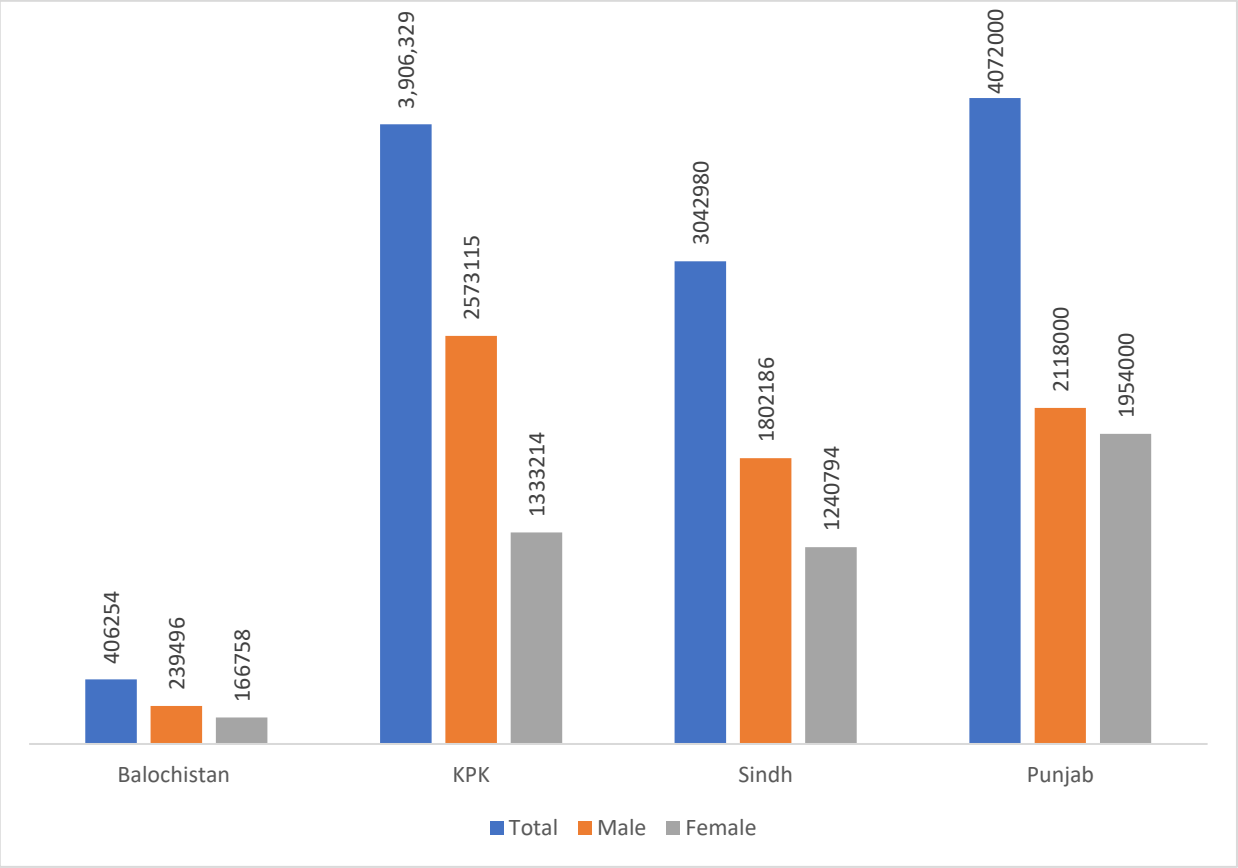

Figure 3.12 illustrates the total number of enrollments in primary schools during 2023, presenting a provincial and gender-wise comparison. The data reveals that Punjab recorded the highest total enrollment with 4,072,000 students, followed by Khyber Pakhtunkhwa (3,906,329)**,** Sindh (3,042,980)**,** and Balochistan (406,254)**.** Across all provinces**,** male enrollments remained higher than female**,** reflecting persistent gender disparities in access to primary education. The overall pattern indicates that while Punjab and Khyber Pakhtunkhwa maintain relatively strong participation rates at the primary level**,** Balochistan continues to lag behind, underscoring the need for targeted interventions to improve school participation and gender balance in education across provinces.

Table 3.13 Comparison of Teaching Staff in Primary Schools

	Balochistan	KPK	Sindh	Punjab
Total	15504	102,046	84016	112490
Male	10280	65,321	60849	47635
Female	5224	36,725	23167	64855

Sources: Provincial Development Statistics

Figure 3.13 Comparison of Teaching Staff in Primary Schools

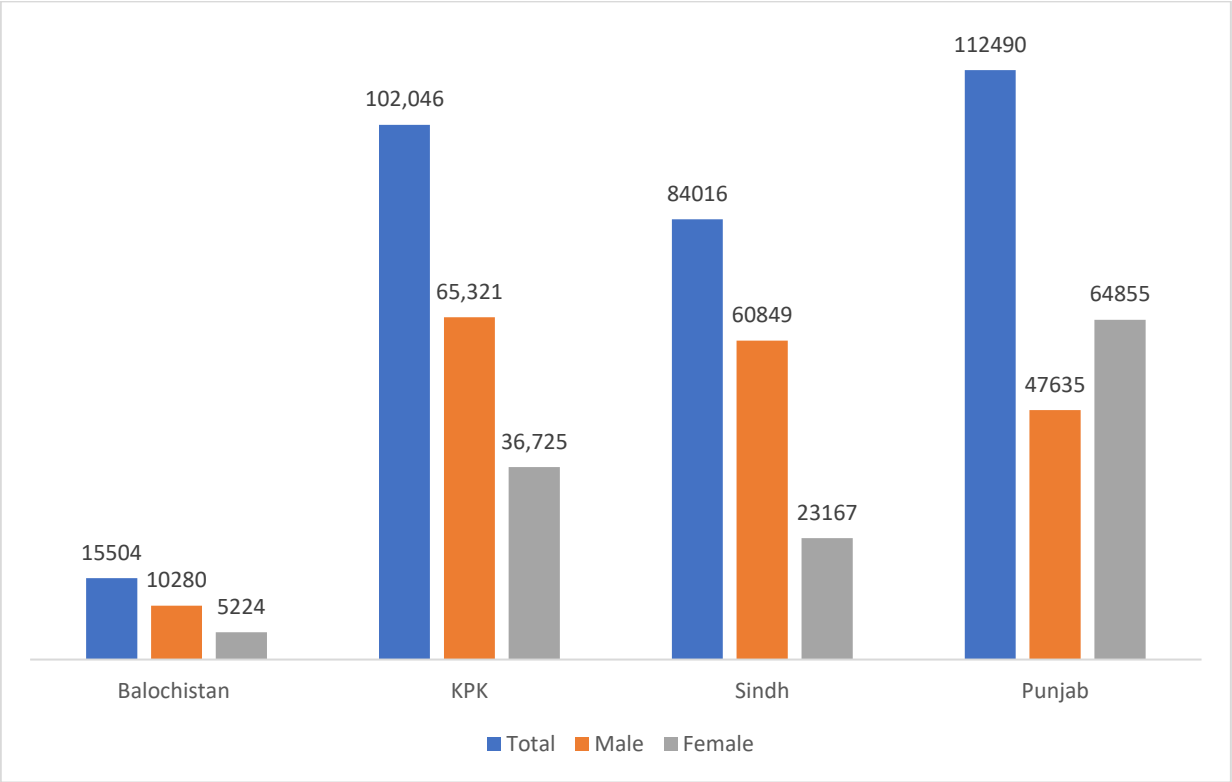

Figure 3.13 illustrates the comparison of teaching staff in primary schools across provinces for 2023**,** disaggregated by gender. The data shows that Punjab has the highest number of teaching staff with 112,490 teachers**,** followed by Khyber Pakhtunkhwa (102,046)**,** Sindh (84,016), and Balochistan (15,504)**.** Across all provinces**,** male teaching staff outnumber female teachers, though the gender gap varies by region. The overall trend indicates that Punjab and Khyber Pakhtunkhwa maintain relatively larger teaching workforces, whereas Balochistan continues to face significant shortages, highlighting the disparities in educational staffing across provinces.

Table 3.14 Total Number of Middle Schools by Gender and Province 2023

	Balochistan	KPK	Sindh	Punjab
Total	1578	3467	2478	7166
Male	868	1896	1921	2945
Female	710	1571	557	4221

Sources: Provincial Development Statistics

Figure 3.14 Comparison of Total Number of Middle Schools 2023

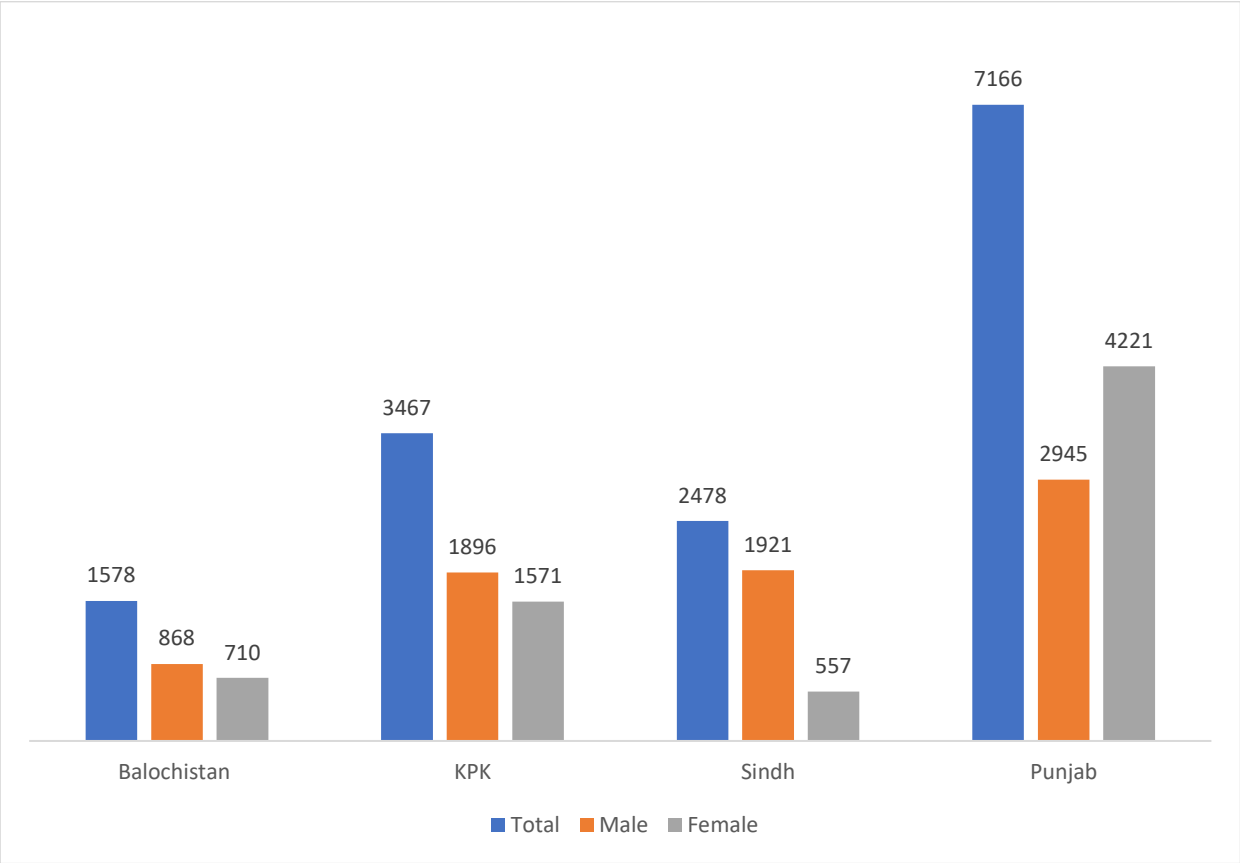

Figure 3.14 presents the comparison of the total number of middle schools across provinces for 2023**,** disaggregated by gender. The data indicates that Punjab has the highest number of middle schools with 7,166 institutions, followed by Khyber Pakhtunkhwa (3,467)**,** Sindh (2,478)**,** and Balochistan (1,578)**.** In Punjab, the number of female middle schools (4,221) exceeds that of male schools (2,945)**,** reflecting a relatively stronger focus on girls' education at this level. Conversely, in Balochistan, Khyber Pakhtunkhwa, and Sindh**,** the number of male middle schools remains higher than female schools, highlighting persistent gender disparities in educational access and infrastructure.

Table 3.15 Province Wise Distribution of Total Enrollments in Middle Schools 2023

	Balochistan	KPK	Sindh	Punjab
Total	181756	295,069	399426	1979000
Male	93684	169,182	233395	915000
Female	88072	125,887	166031	1064000

Source: Provincial Development Statistics

Figure 3.15 Province Wise Distribution of Total Enrollments in Middle Schools 2023

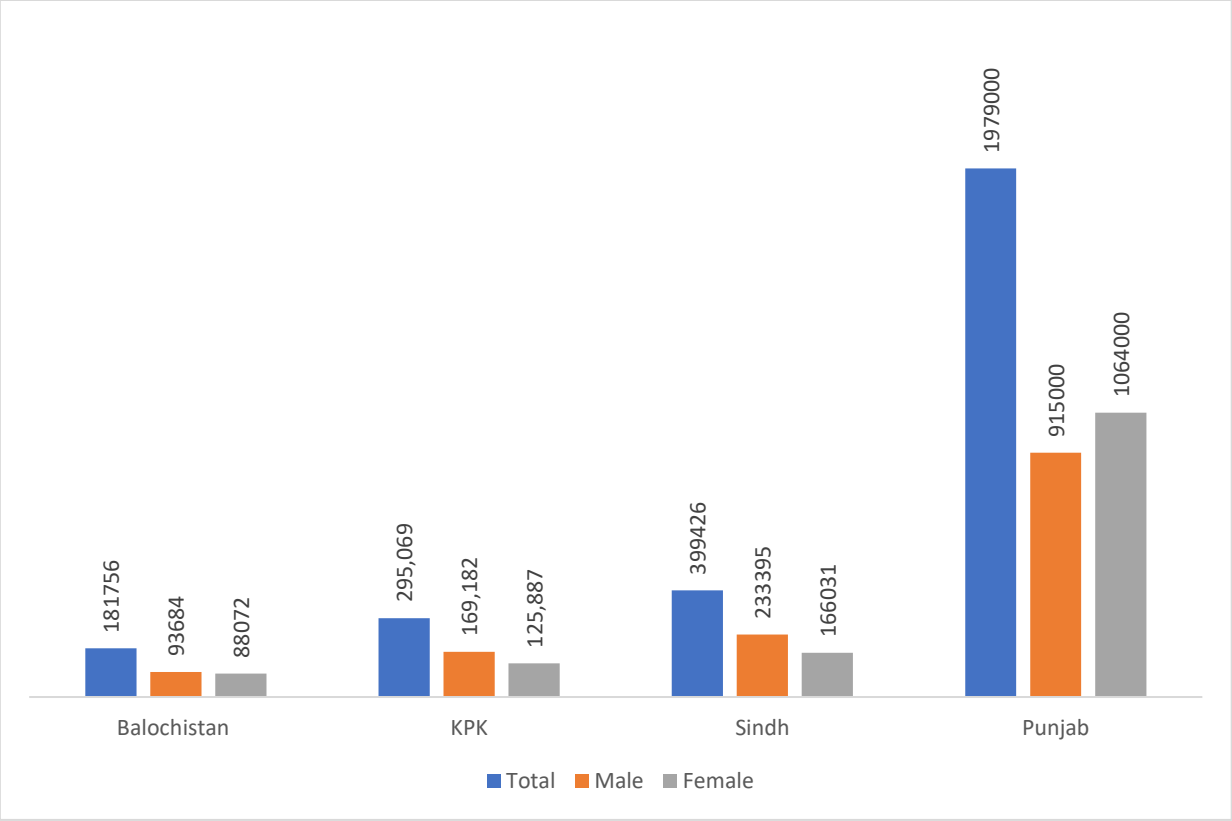

Figure 3.15 illustrates the province-wise distribution of total enrollments in middle schools for 2023, disaggregated by gender. The data reveals that Punjab recorded the highest total enrollment at 1,979,000, followed by Sindh (399,426), Khyber Pakhtunkhwa (295,069), and Balochistan (181,756). Across all provinces except Punjab, male enrollments remain higher than female enrollments, reflecting a continued gender gap in middle school participation. The overall trend indicates Punjab's dominant share in total enrollments, while comparatively lower figures in other provinces underscore regional disparities in access to middle-level education.

Table 3.16 Comparison of Teaching Staff in Middle Schools for 2023

	Balochistan	KPK	Sindh	Punjab
Total	9959	21,706	18001	66416
Male	5989	12,366	12124	24967
Female	3970	9,340	5877	41449

Source: Provincial Development Statistics

Figure 3.16 Comparison of Teaching Staff in Middle Schools for 2023

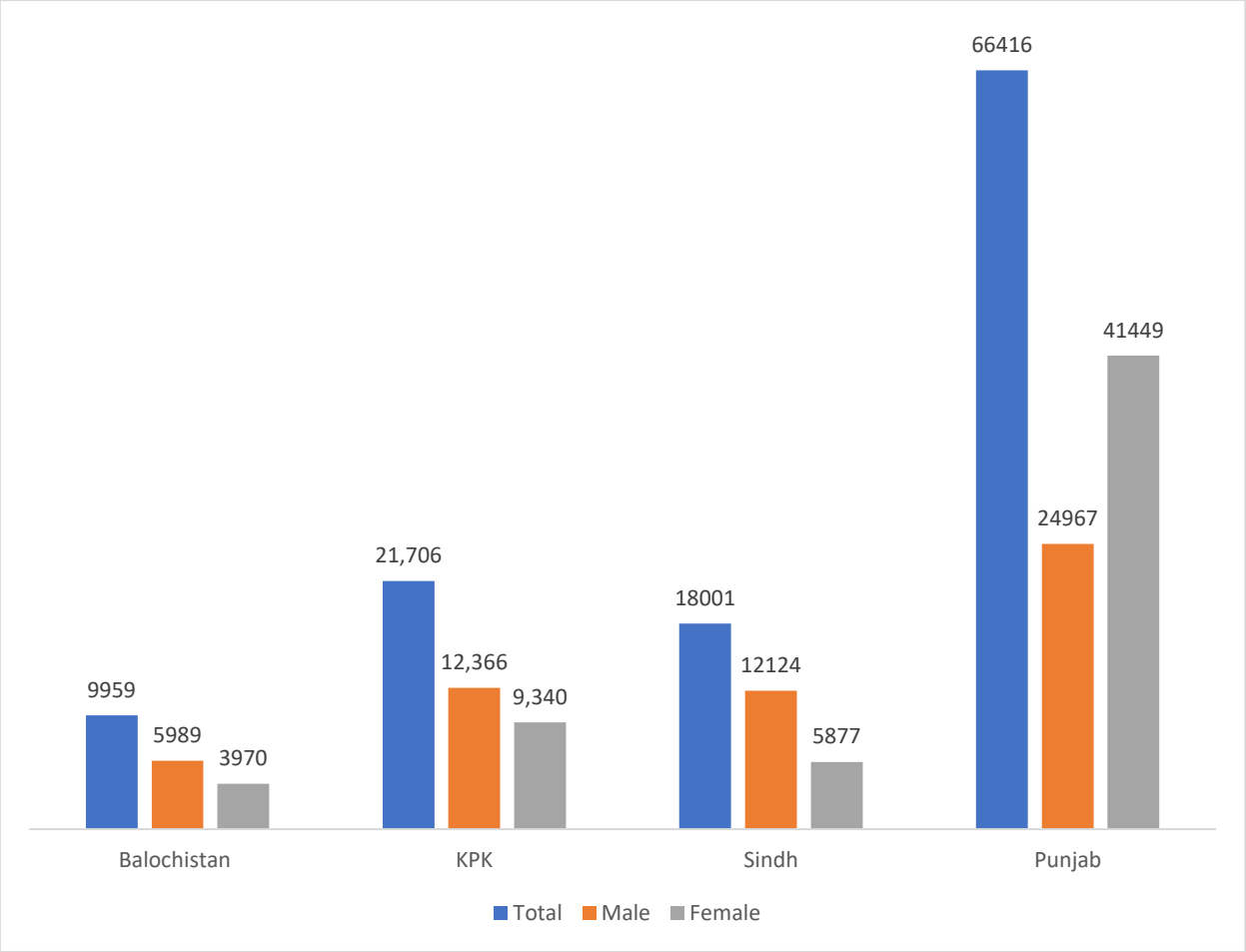

Figure 3.16 illustrates the comparison of teaching staff in middle schools for 2023 across provinces. The data indicate that Punjab has the highest total number of teaching staff at 66,416**,** followed by Khyber Pakhtunkhwa (21,706)**,** Sindh (18,001)**,** and Balochistan (9,959)**.** Male teaching staff outnumber female teachers in all provinces except Punjab, reflecting the prevailing gender imbalance in middle school education employment. Overall, the distribution highlights Punjab's dominant share in educational staffing, while other provinces exhibit comparatively smaller teaching workforces.

Table 3.17 Total Number of High Schools by Gender and Province 2023

	Balochistan	KPK	Sindh	Punjab
Total	1194	2702	2049	8046
Male	738	1750	1551	4133
Female	456	952	498	3913

Source: Provincial Development Statistics

Figure 3.17 Total Number of High Schools by Gender and Province 2023

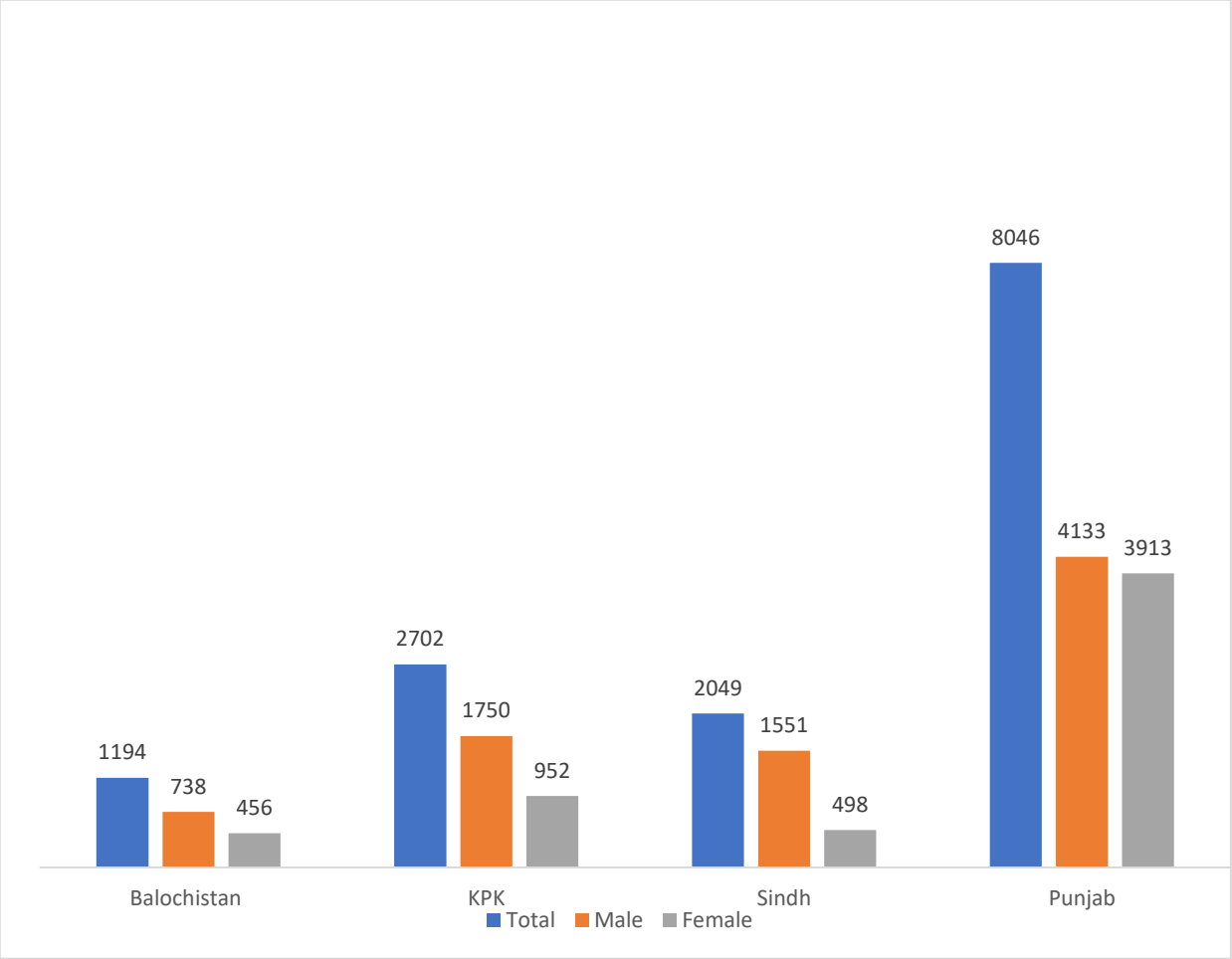

Figure 3.17illustrates the total number of high schools by gender and province for 2023. The data compare the number of high schools across Punjab, Sindh, Khyber Pakhtunkhwa, and Balochistan, disaggregated by total, male, and female institutions. Punjab appears to have the highest total number of high schools 8046**,** followed by other provinces**.** While Balochistan records the lowest, with only 1,194 high schools**.** Graphical representation highlights provincial disparities in the availability of high schools, with Punjab maintaining a leading position in educational infrastructure.

Table 3.18 Province Wise Distribution of Total Enrollments in High Schools 2023

	Balochistan	KPK	Sindh	Punjab
Total	383358	846,075	1441316	4711000
Male	219153	525,278	902622	2325000
Female	164205	320,797	538694	2386000

Source: Provincial Development Statistics

Figure 3.18 Province Wise Distribution of Total Enrollments in High Schools 2023

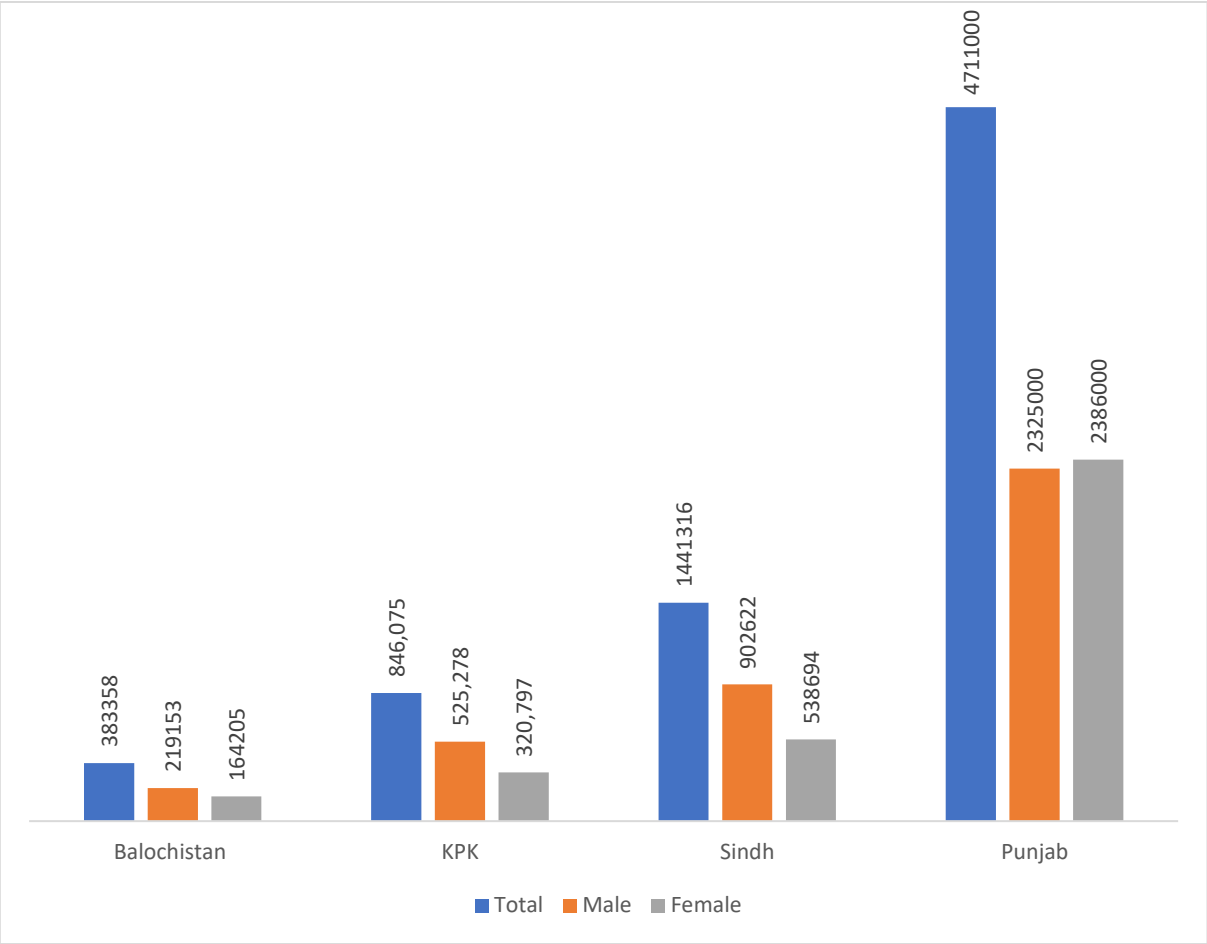

Figure 3.18 illustrates the province-wise distribution of total enrollments in high schools for 2023. The data indicate that Punjab has the highest total enrollment, reaching 4,711,000 students, followed by Sindh with 1,441,316, Khyber Pakhtunkhwa (KPK) with 846,075, and Balochistan with 383,358 total enrollments. Across provinces such as Balochistan, KPK, and Sindh, male enrollments remain higher than female, reflecting gender disparities in access to secondary education. In contrast, Punjab shows a relatively balanced gender composition, with female enrollments (2,386,000) only slightly lower than male enrollments (2,325,000). Overall, the data underscore Punjab's leading position in educational participation at the secondary level, while highlighting persistent gender and regional gaps in other provinces.

Table 3.19 Comparison of Teaching Staff in high Schools for 2023

	Balochistan	KPK	Sindh	Punjab
Total	23425	40,158	49358	141328
Male	13697	26,582	29651	67975
Female	9728	13,576	19707	73353

Source: Provincial Development Statistics

Figure 3.19 Comparison of Teaching Staff in High Schools for 2023

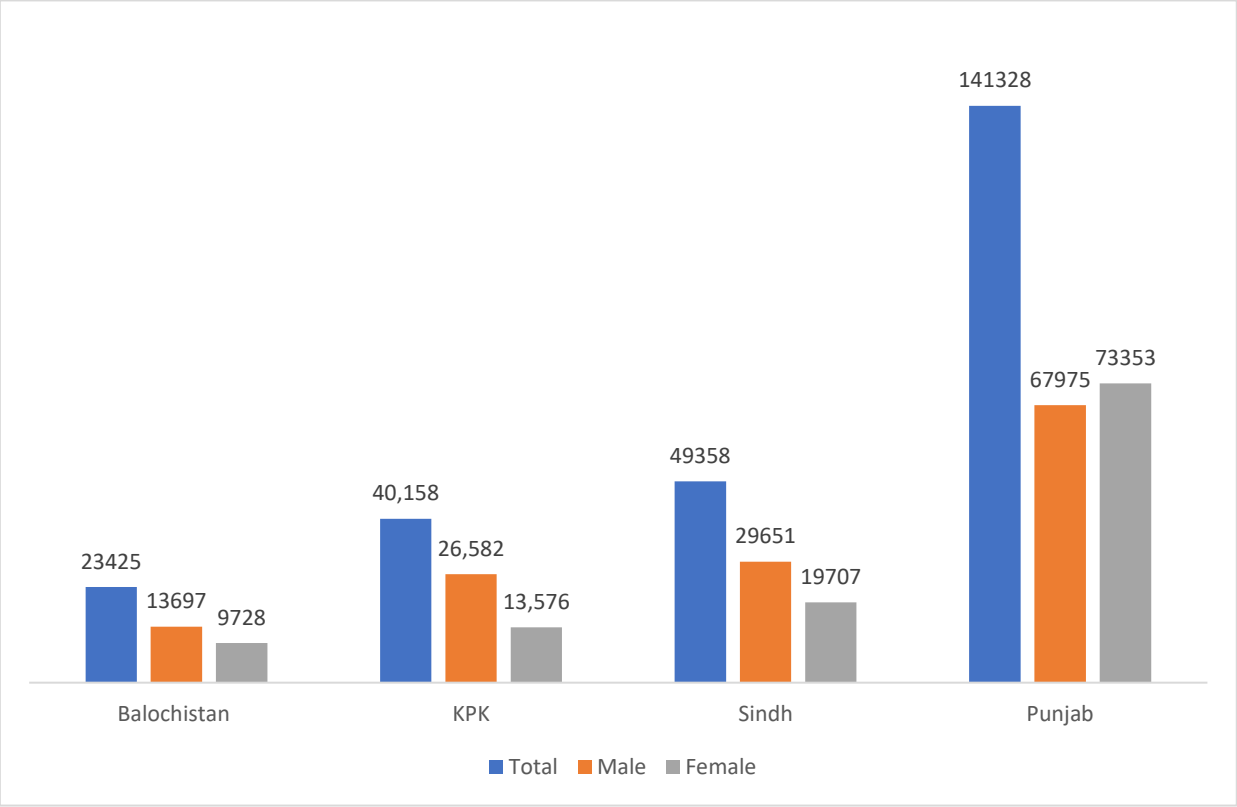

Figure 3.19 illustrates the comparison of teaching staff in high schools for 2023**.** The data reveal that Punjab has the highest total number of teaching staff**,** standing at 141,328**,** followed by Sindh with 49,358**,** Khyber Pakhtunkhwa (KPK) with 40,158**,** and Balochistan with 23,425**.** Across Balochistan, KPK, and Sindh**,** male teachers outnumber female teachers**,** reflecting gender disparities in the teaching workforce. In contrast, Punjab presents a different trend**,** where female teaching staff (73,533) slightly exceed male teaching staff (67,975)**.** This distribution highlights Punjab's comparatively stronger female representation in the teaching profession, while other provinces continue to show male dominance in high school staffing patterns**.**

Table 3.20 Total Number of Inter-Colleges by Gender and Province 2023

	Balochistan	KPK	Sindh	Punjab
Total	88	-	53	457
Male	56	-	20	261
Female	32	-	33	196

Source: Provincial Development Statistics (KPK Data Not Available)

Figure 3.20 Total Number of Inter-Colleges by Gender and Province 2023

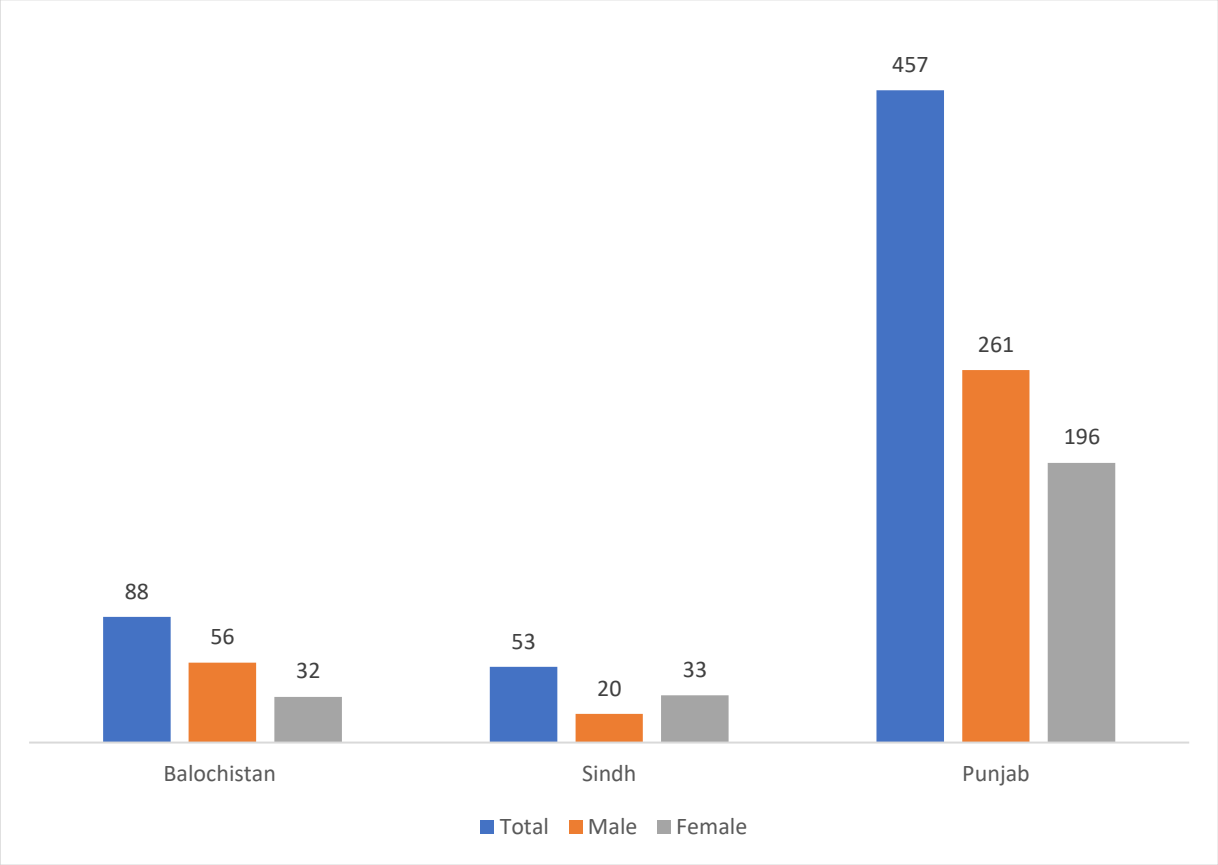

Figure 3.20 illustrates the total number of inter-colleges by gender and province for 2023**.** The data indicate that Punjab has the highest total number of inter-colleges, recorded at 457**,** followed by Balochistan with 88 and Sindh with 53 institutions. A gender-wise comparison reveals that in Balochistan**,** male inter-colleges outnumber female**,** reflecting limited access to higher secondary education for girls. Conversely, in Sindh, the trend is reversed, with female inter-colleges (33) exceeding male inter-colleges (20)**.** The provincial comparison underscores Punjab's dominance in terms of institutional availability, while also highlighting regional and gender disparities in access to intermediate-level education.

Table 3.21Total Number of Enrollments in Inter-Colleges by Gender and Province 2023

	Balochistan	KPK	Sindh	Punjab
Total	16578	-	55579	193000
Male	11564	-	24069	115000
Female	5014	-	31510	78000

Source: Provincial Development Statistics (KPK Data Not Available)

Figure 3.21 Total Number of Enrollments in Inter-Colleges by Gender and Province 2023

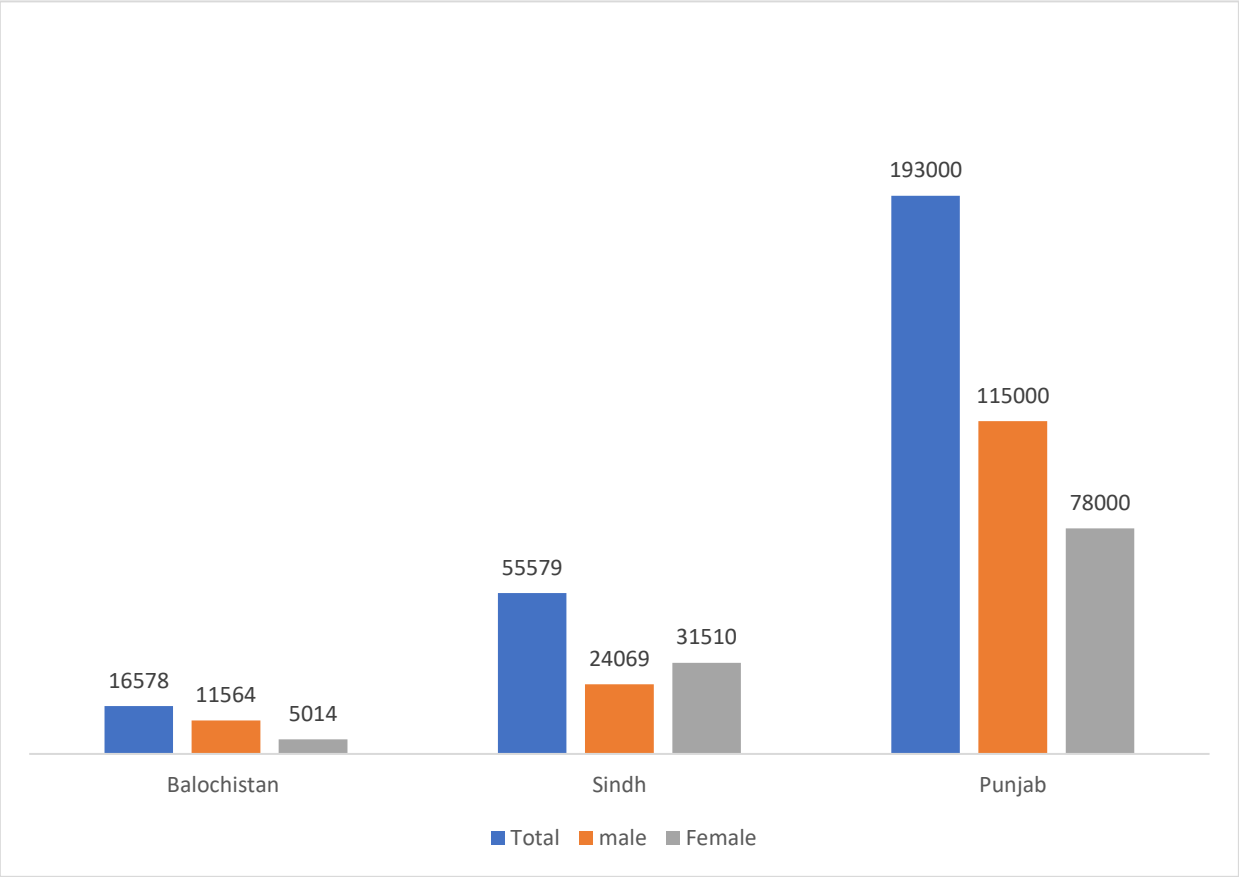

Figure 3.21 illustrates the total number of enrollments in inter-colleges by gender and province for 2023**.** The data reveal that Punjab has the highest total enrollment, recorded at 193,000, followed by Sindh with 55,579 and Balochistan with 16,578 students. A gender-wise breakdown shows that male enrollments exceed female in both Punjab and Balochistan, indicating a continued gender gap in higher secondary education participation. However, in Sindh, the trend differs, with female enrollments (31,510) surpassing male enrollments (24,069)**.** The overall pattern highlights Punjab's leading position in inter-college enrollments while underscoring regional and gender disparities in access to post-secondary education across provinces.

Table 3.22 Total Number of Teaching Staff in Inter-Colleges by Gender and Province 2023

	Balochistan	KPK	Sindh	Punjab
Total	1031	-	653	11506
Male	662	-	260	6878
Female	369	-	393	4628

Source: Provincial Development Statistics (KPK Data Not Available)

Figure 3.22 Total Number of Teaching Staff in Inter-Colleges by Gender and Province 2023

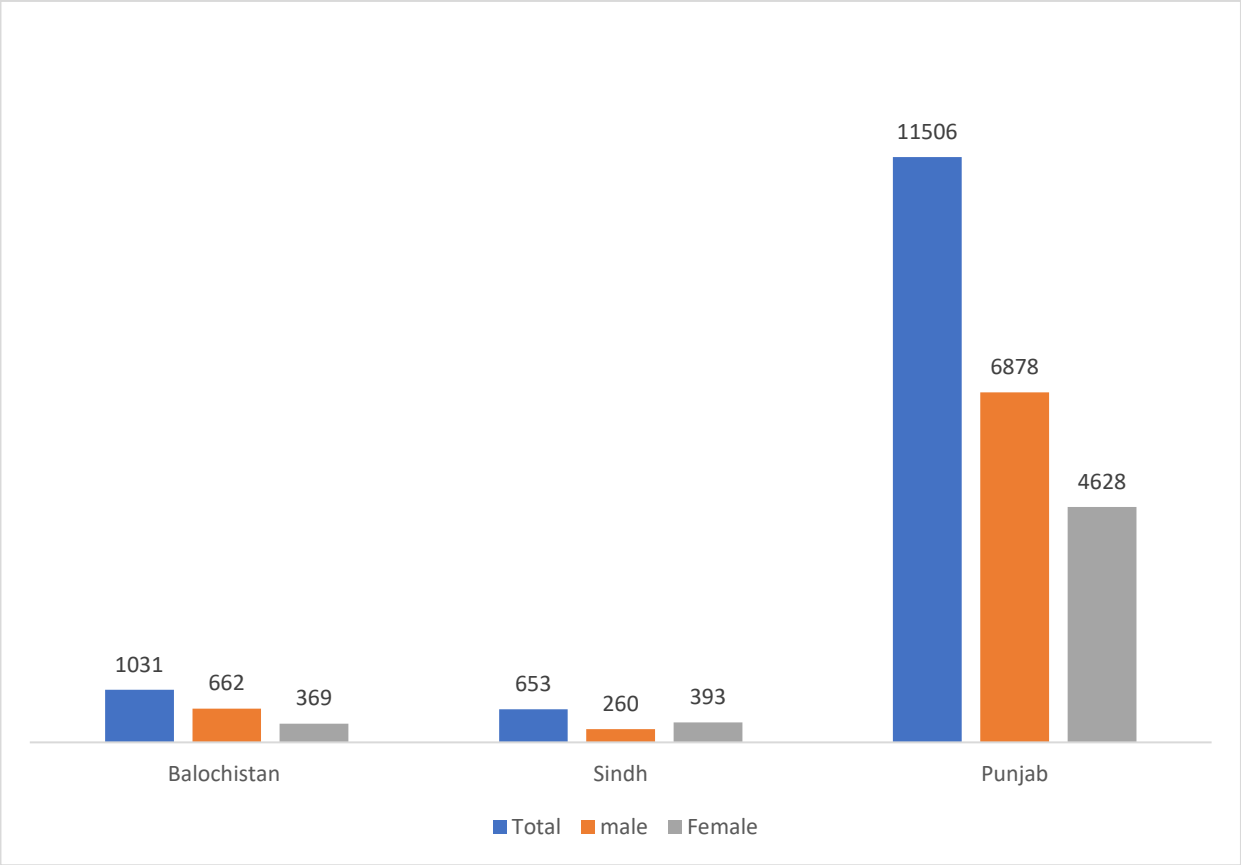

Figure 3.22 illustrates the total number of teaching staff in inter-colleges by gender and province for 2023. The data indicate that Punjab has the highest total teaching staff, recorded at 11506 followed by Balochistan with 1,031 and Sindh with 653. A gender-wise analysis shows that in Balochistan, male teaching staff outnumber female, reflecting limited female representation in higher secondary education. In contrast, in Sindh and Punjab, female teaching staff are either higher or nearly comparable to male, suggesting greater gender balance in the teaching workforce at the inter-college level. The overall pattern underscores Punjab's leading position in staffing strength while highlighting regional differences in gender representation across provinces.

Table 3.23 Total Number of Degree Colleges by Gender and Province 2023

	Balochistan	KPK	Sindh	Punjab
Total	47	294	281	753
Male	30	157	170	331
Female	17	137	111	422

Source: Provincial Development Statistics

Figure 3.23 Total Number of Degree Colleges by Gender and Province 2023

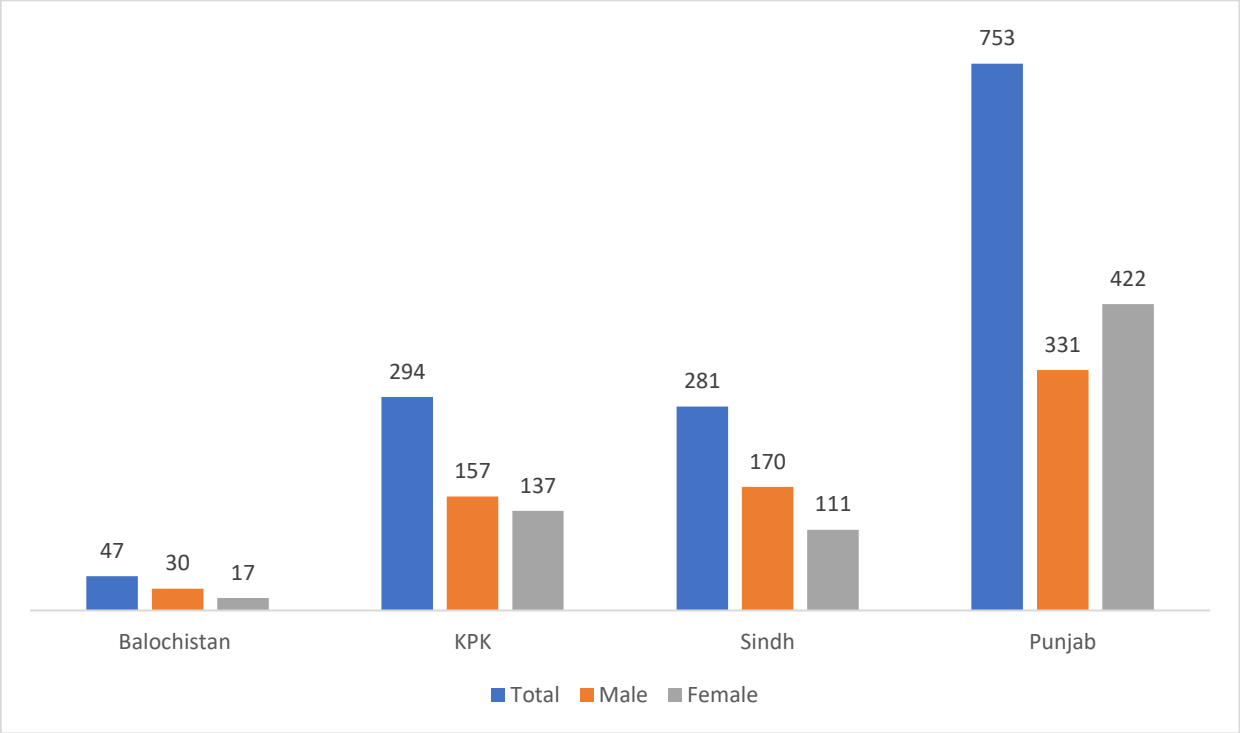

Figure 3.23 illustrates the total number of degree colleges by gender and province for 2023. The data reveal that Punjab has the highest total number of degree colleges, recorded at 753, followed by Khyber Pakhtunkhwa (KPK) with 294, Sindh with 281, and Balochistan with 47. A gender-wise analysis shows that male degree colleges outnumber female in all provinces except Punjab, where the trend is reversed female degree colleges 422 exceed male degree colleges 331. This distribution highlights Punjab's comparatively stronger institutional presence and gender inclusivity in higher education, while other provinces continue to reflect male-dominated educational infrastructure.

Table 3.24 Total Number of Enrollments in Degree Colleges by Gender and Province 2023

	Balochistan	KPK	Sindh	Punjab
Total	55115	185,602	424752	441000
Male	38043	111,522	255832	179000
Female	17072	74,080	168920	262000

Source: Provincial Development Statistics

Figure 3.24 Total Number of Enrollments in Degree Colleges by Gender and Province 2023

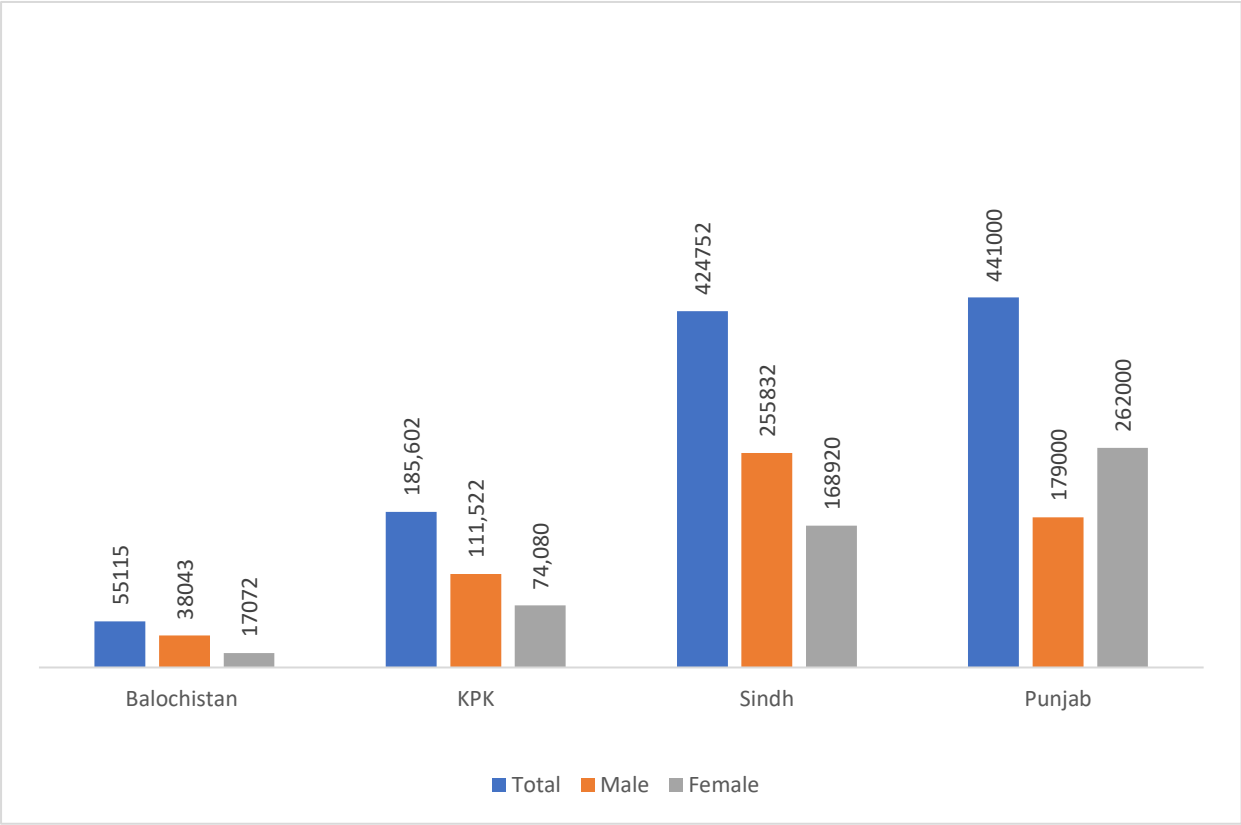

Figure 3.24 illustrates the total number of enrollments in degree colleges by gender and province for 2023. The data indicate that Punjab has the highest total enrollment, reaching 441,000, followed by Sindh with 424,752, Khyber Pakhtunkhwa (KPK) with 185,602, and Balochistan with 55,115 students. A gender-wise analysis shows that male enrollments are higher than female in Balochistan, KPK, and Sindh, reflecting persistent gender disparities in access to higher education. However, in Punjab, the trend is reversed, with female enrollments (262,000) exceeding male enrollments (179,000). The overall pattern highlights Punjab's leading role in higher education participation, alongside the need to address gender imbalances in other provinces.

Table 3.25 Total Number of Teaching staff in Degree Colleges by Gender and Province 2023

	Balochistan	KPK	Sindh	Punjab
Total	1983	6,315	5786	15580
Male	1378	3,088	3165	7347
Female	605	3,227	2621	8233

Source: Provincial Development Statistics

Figure 3.25 Total Number of Teaching Staff in Degree Colleges by Gender and Province 2023

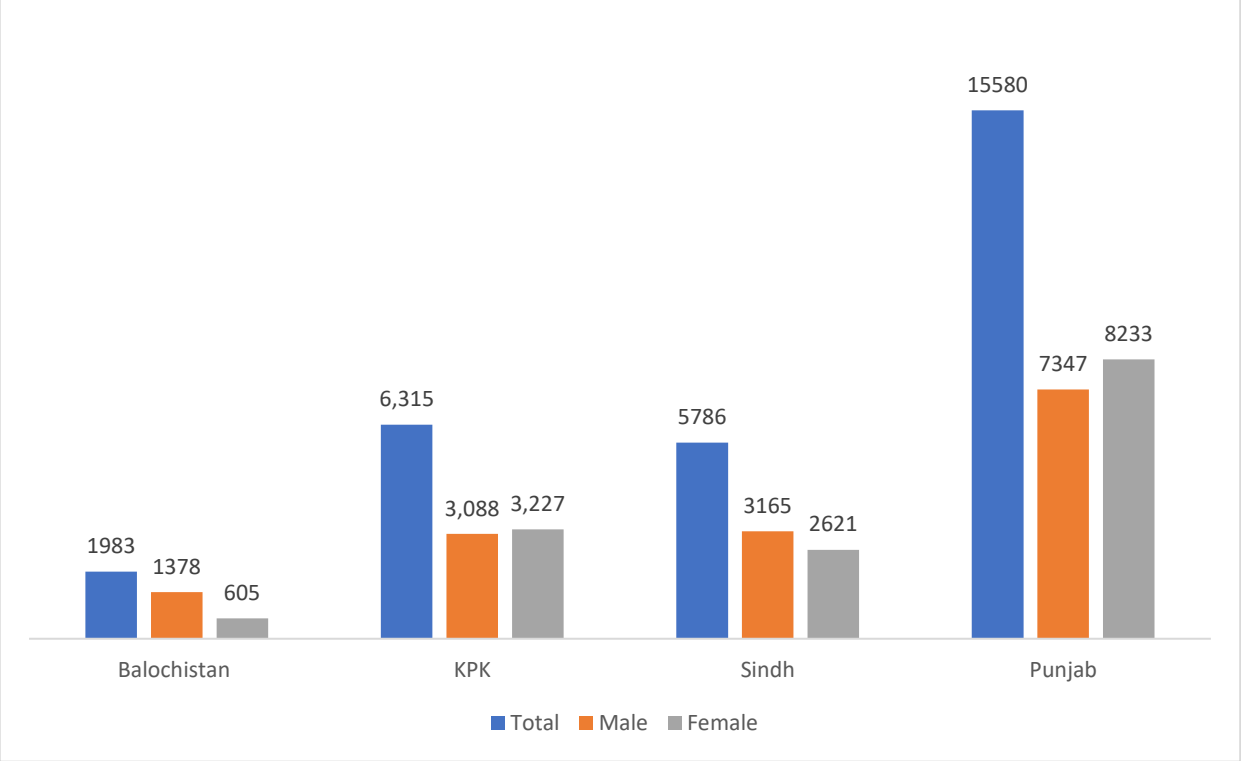

Figure 3.25 illustrates the total number of teaching staff in degree colleges by gender and province for 2023**.** The data reveal that Punjab has the highest total teaching staff, recorded at 15,580**,** followed by Khyber Pakhtunkhwa (KPK) with 6,315**,** Sindh with 5,786**,** and Balochistan with 1,983**.** A gender-wise analysis indicates that in Punjab and KPK**,** female teaching staff outnumber male, reflecting a stronger female presence in higher education institutions. Conversely, in Balochistan and Sindh**,** male teaching staff exceed female**,** highlighting regional disparities in gender representation within the teaching workforce. The overall pattern underscores Punjab's dominance in staffing strength and a gradual improvement in gender balance in certain provinces.

Table 3.26 Total Number of Post-Graduates Colleges by Gender and Province 2023

	Balochistan	KPK	Sindh	Punjab
Total	4	26	6	501
Male	3	19	5	287
Female	1	7	1	214

Source: Provincial Development Statistics

Figure 3.26 Total Number of Post-Graduates Colleges by Gender and Province 2023

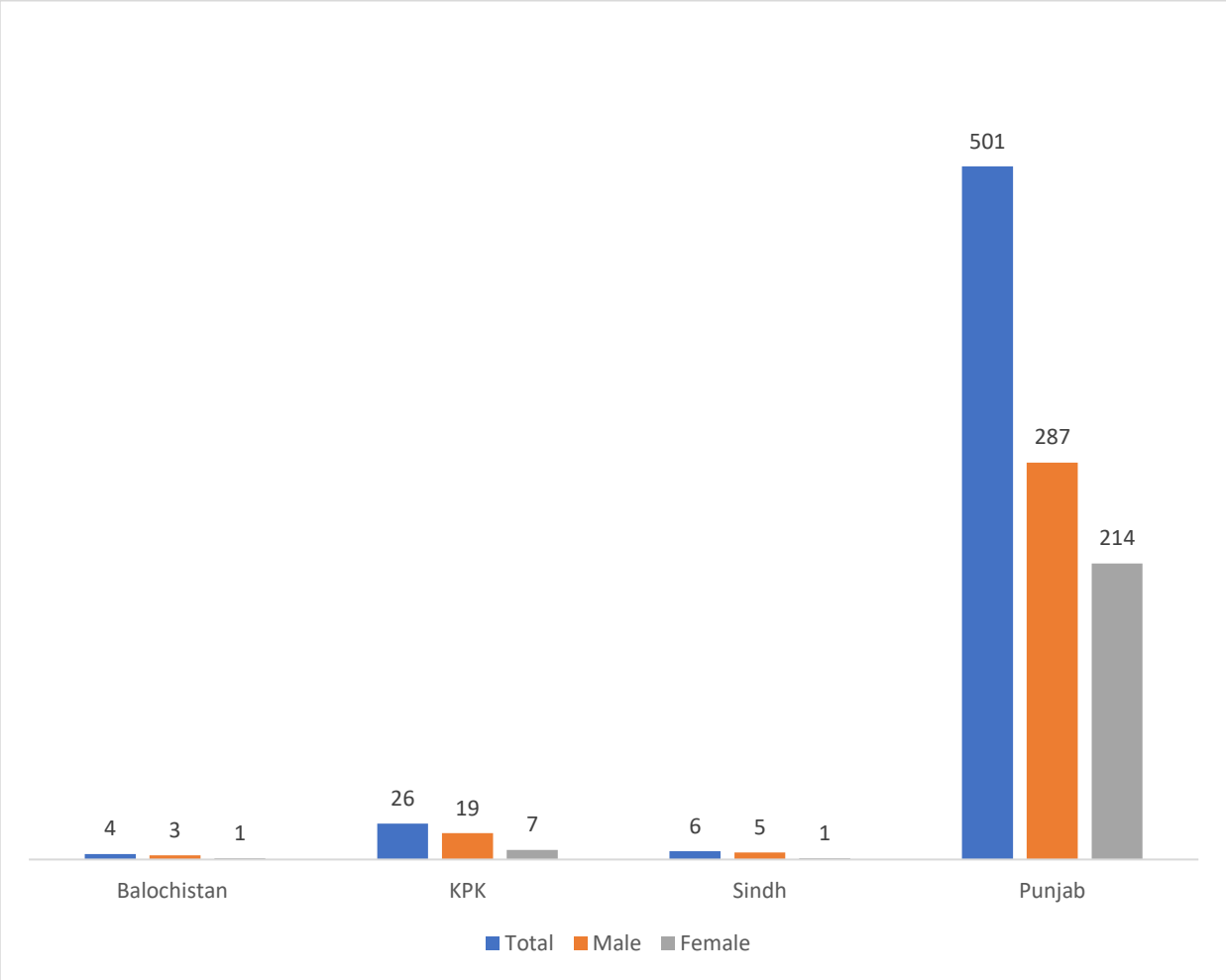

Figure 3.26 illustrates the total number of post-graduate colleges by gender and province for 2023. The data indicate that Punjab has the highest total number of post-graduate colleges, recorded at 501, followed by Khyber Pakhtunkhwa (KPK) with 26, Sindh with 6, and Balochistan with 4 institutions. Across all provinces, male post-graduate colleges outnumber female, reflecting a significant gender disparity in access to higher-level educational institutions. The overall trend underscores Punjab's dominant position in post-graduate education infrastructure, while other provinces exhibit limited institutional availability and gender imbalance at the advanced education level.

Table 3.27 Total Number of Enrollments in Post-Graduates Colleges by Gender and Province 2023

	Balochistan	KPK	Sindh	Punjab
Total	17870	64,467	12871	682000
Male	14380	50,477	10918	380000
Female	3490	13,990	1953	302000

Source: Provincial Development Statistics

Figure 3.27 Total Number of Enrollments in Post-Graduates Colleges by Gender and Province

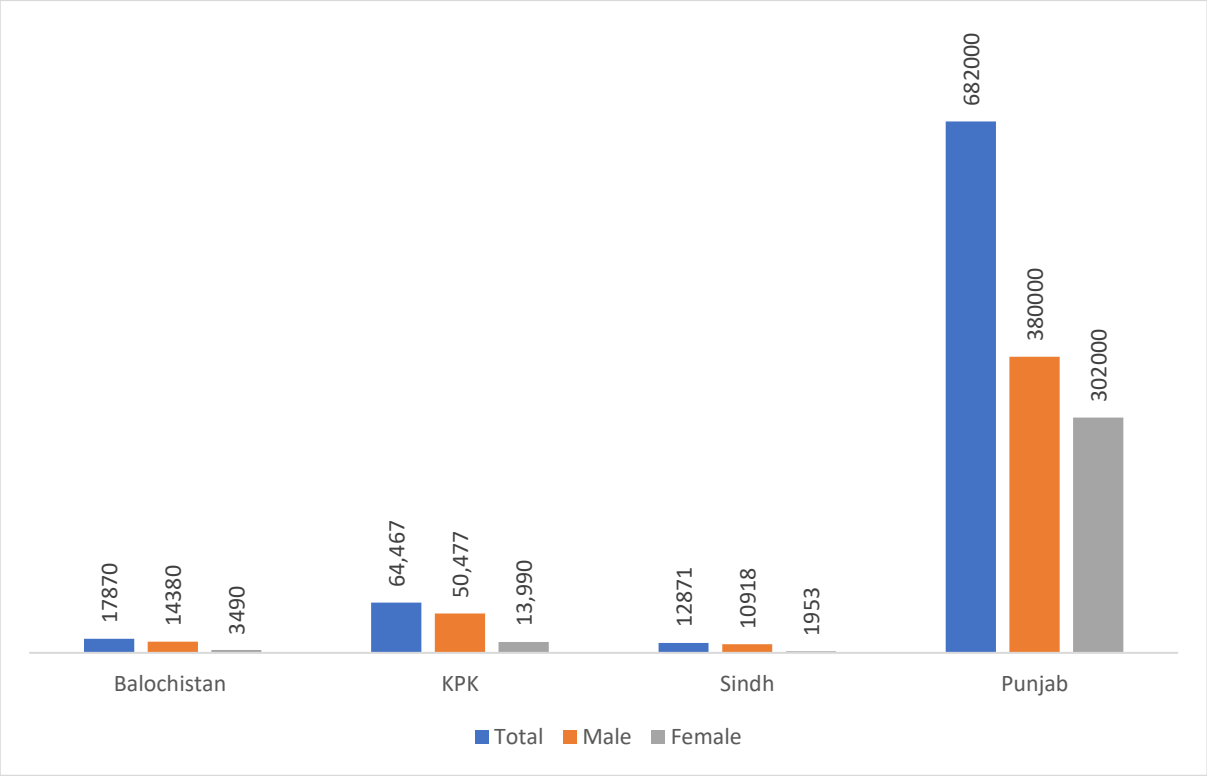

Figure 3.27 illustrates the total number of enrollments in post-graduate colleges by gender and province for 2023. The data reveal that Punjab has the highest total enrollment, recorded at 682,000, followed by Khyber Pakhtunkhwa (KPK) with 64,467, Balochistan with 17,870, and Sindh with 12,871. Across all provinces, male enrollments are higher than female, indicating a consistent gender gap in post-graduate education participation. The overall trend highlights Punjab's leading position in post-graduate enrollments, reflecting its more developed higher education infrastructure compared to other provinces.

Table 3.28 Total Number of Teaching Staff in Post-Graduates Colleges by Gender and Province

	Balochistan	KPK	Sindh	Punjab
Total	557	2,051	380	20222
Male	415	1,618	256	12069
Female	142	433	124	8153

Source: Provincial Development Statistics

Figure 3.28 Total Number of Teaching Staff in Post-Graduates Colleges by Gender and Province

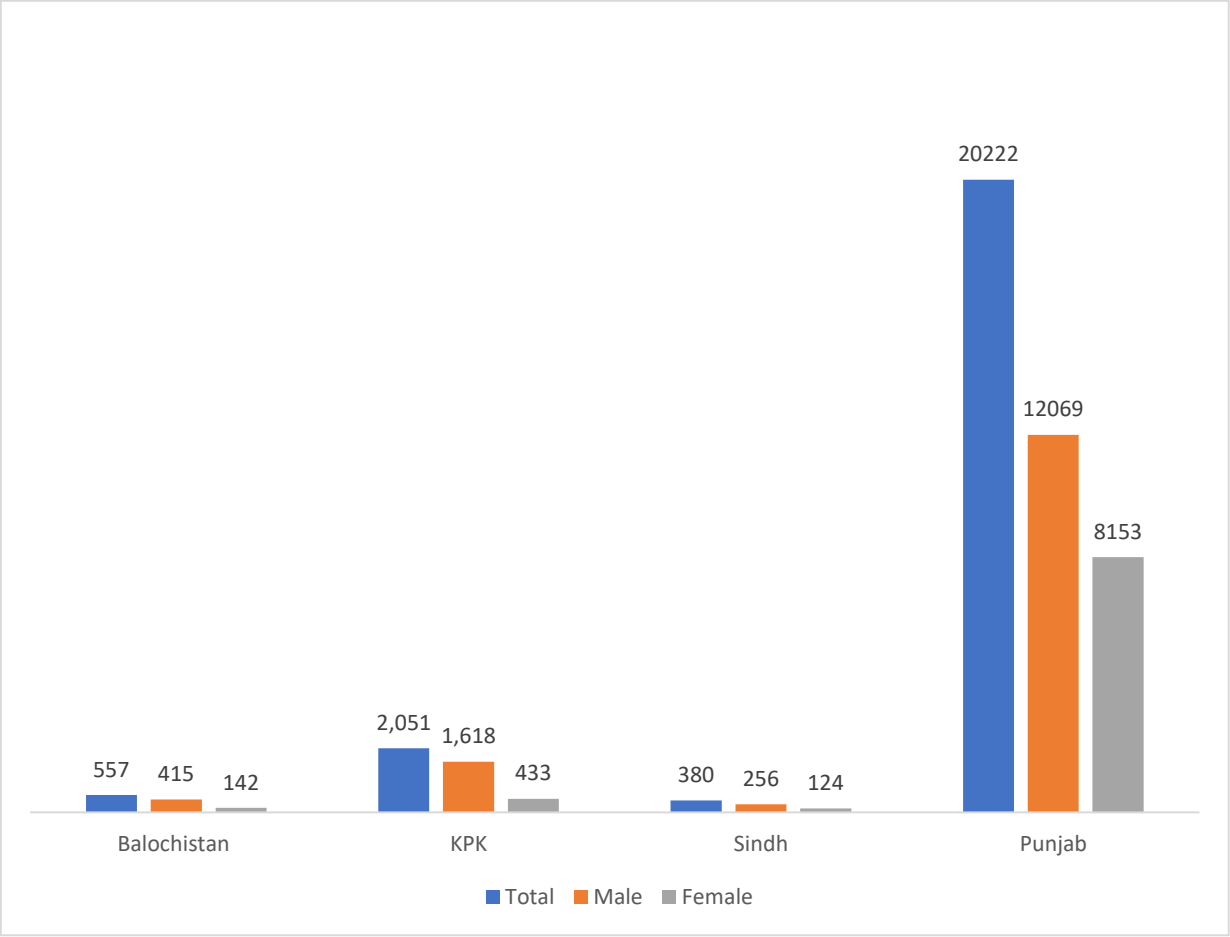

Figure 3.28 illustrates the total number of teaching staff in post-graduate colleges by gender and province for 2023**.** The data show that Punjab has the highest total teaching staff, recorded at 20,222, followed by Khyber Pakhtunkhwa (KPK) with 2,051**,** Balochistan with 557, and Sindh with 380. Across all provinces, male teaching staff outnumber female, reflecting a significant gender imbalance in post-graduate teaching positions. The overall trend underscores Punjab's dominant position in staffing strength, while highlighting the limited representation of female educators in higher education institutions nationwide.

Table 3.29 Total Number of Universities by Gender and Province 2023

	Balochistan	KPK	Sindh	Punjab
Total	11	43	71	88
Public	10	32	30	51
Private	1	11	41	37

Source: Pakistan Education Statistics 2022-23

Figure 3.29 Total Number of Universities by Gender and Province 2023

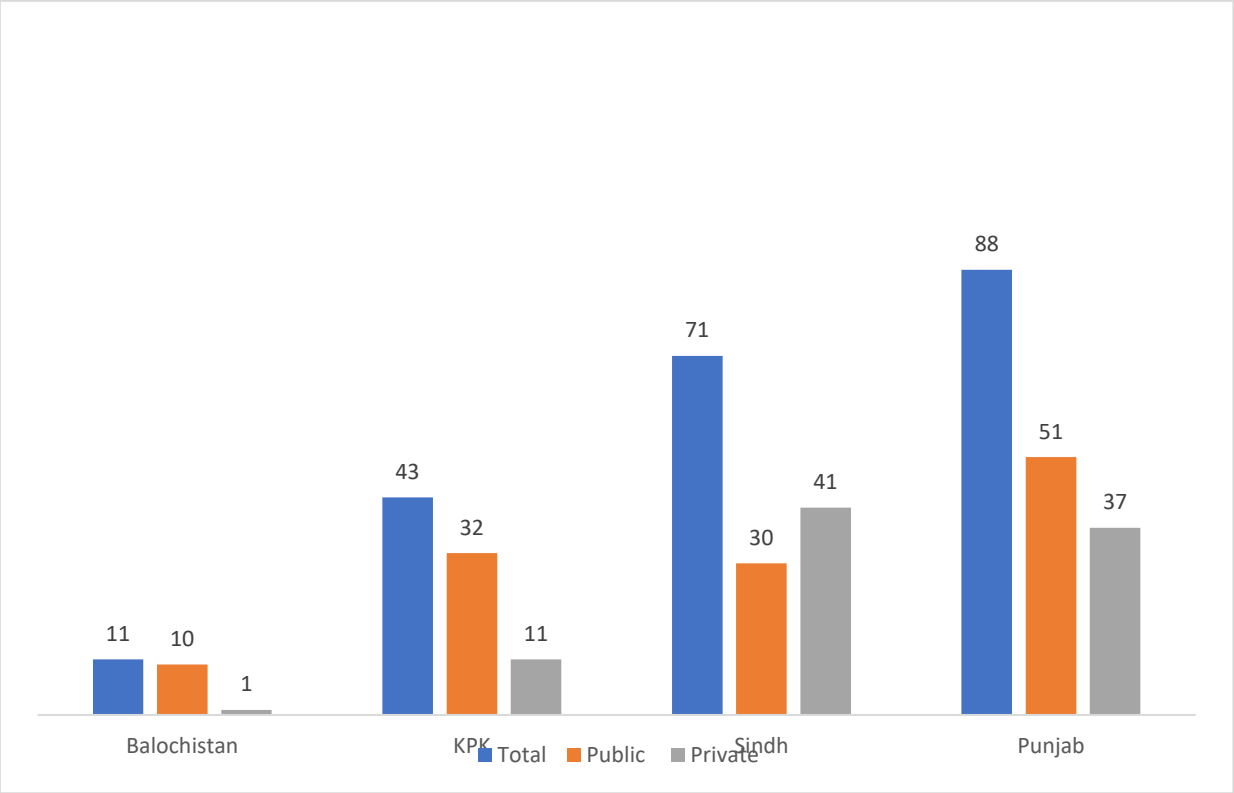

Figure 3.29 illustrates the total number of universities by province for 2023. The data indicate that Punjab has the highest total number of universities, recorded at 88, followed by Sindh with 71**,** Khyber Pakhtunkhwa (KPK) with 43**,** and Balochistan with 11. A sector-wise breakdown reveals that in Sindh**,** private universities (41) outnumber public universities (30)**,** reflecting strong private sector participation in higher education. In contrast, in Punjab, KPK, and Balochistan**,** public universities are either greater in number or nearly comparable to private institutions. The overall distribution highlights Punjab's leading position in university education and the growing contribution of the private sector, particularly in Sindh.

Table 3.30 Total Number of Enrollments in Universities by Gender and Province 2023

	Balochistan	KPK	Sindh	Punjab
Total	39169	150,162	243965	260331
Male	26951	101,260	137447	130386
Female	12218	48,902	106518	129945

Source: Pakistan Education Statistics 2022-23

Figure 3.30 Total Number of Enrollments in Universities ***by Gender and Province 2023***

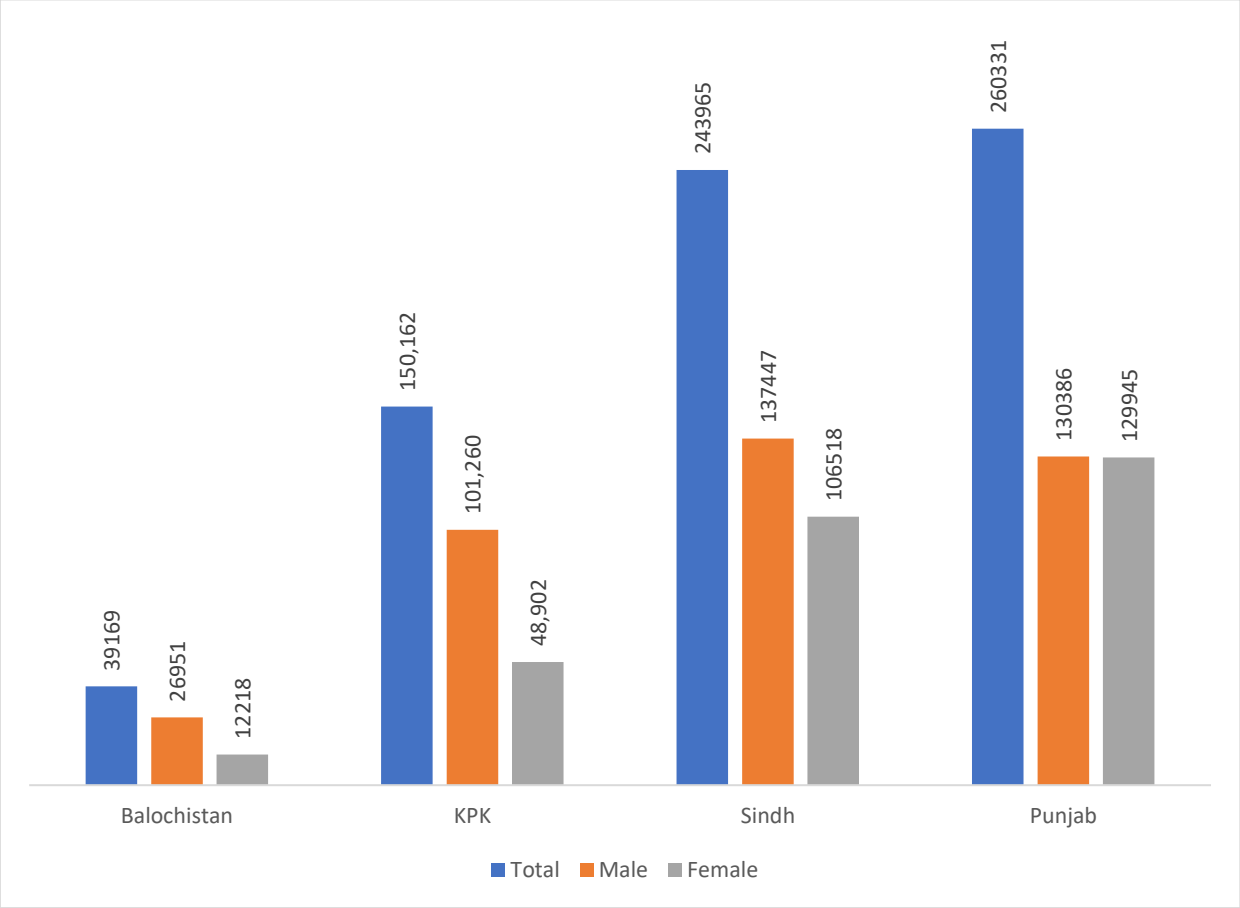

Figure 3.30 illustrates the total number of enrollments in universities by gender and province for 2023**.** The data reveal that Punjab has the highest total enrollment, recorded at 260,331, followed by Sindh with 243,965**,** Khyber Pakhtunkhwa (KPK) with 150,162, and Balochistan with 39,169**.** Gender-wise analysis indicates that male enrollments exceed female enrollments in Balochistan, KPK, and Sindh, reflecting a continuing gender gap in higher education participation in these provinces. However, in Punjab**,** female enrollments (129,945) are almost at par with male enrollments (130,386), indicating significant female participation in university education.

Table 3.31 Total Number of Teaching Staff in Universities by Gender and Province 2023

	Balochistan	KPK	Sindh	Punjab
Total	2303	5,235	14679	7618
Male	1549	3,903	8342	4426
Female	754	1332	6337	3192

Source: Pakistan Education Statistics 2022-23

Figure 3.31 Total Number of Teaching Staff in Universities ***by Gender and Province 2023***

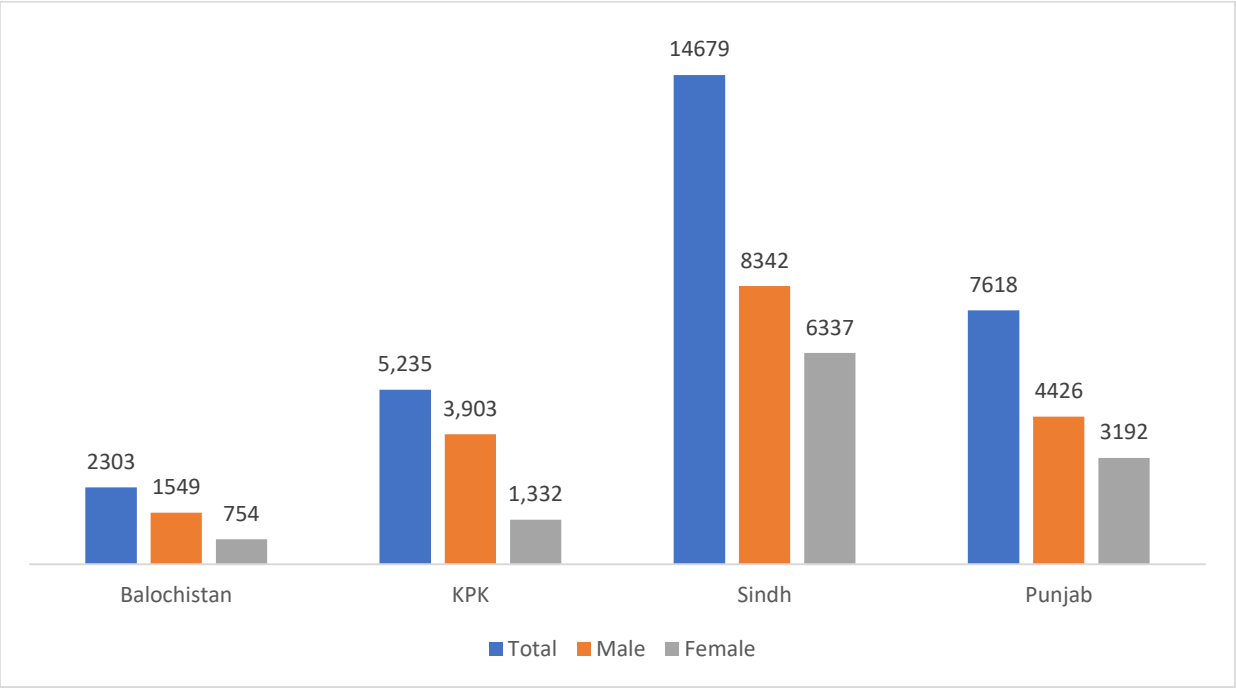

Figure 3.31 illustrates the total number of teaching staff in universities by gender and province for 2023**.** The data reveal that Sindh has the highest total teaching staff, recorded at 14,679, followed by Punjab with 7,618**,** Khyber Pakhtunkhwa (KPK) with 5,235**,** and Balochistan with 2,303. Across all provinces, male teaching staff outnumber female, reflecting a persistent gender imbalance in the university teaching workforce. The overall distribution highlights Sindh's leading position in staffing strength, while emphasizing the need to enhance female representation in higher education faculty nationwide.

Tables 3.1–3.31 (Schools, Enrollments, Teachers across Primary, Middle, High, Colleges, Universities) consistently illustrate Punjab's dominance in the number of schools, enrollments, and teaching staff. Sindh follows, while Balochistan shows the lowest availability of educational infrastructure at every level, resulting in persistent gaps in access and quality.

Figure 3.1 to 3.31 (Literacy, OOSR, Dropouts, Facilities, No. of institution) collectively underscore regional inequalities. Punjab leads in literacy and educational institutions, while Balochistan lags significantly, with limited facilities, higher dropout rates, and sharp gender disparities.

Chapter 4

AGRICULTURE

AGRICULTURE OVERVIEW: COMPARATIVE PROVINCIAL ANALYSIS

Balochistan's agriculture sector remains underdeveloped relative to its vast land area. Despite being the largest province by land area (347,190 sq. km), its share in national crop production remains minimal. In 2023, Balochistan contributed modestly to national crop production—around 5% of wheat, 1% of rice, and 2% of cotton despite its extensive cultivable land. In contrast, Punjab produces over three-fourths of wheat and sugarcane of the country's total yield. Sindh made notable contributions in rice (27%) and cotton (32%). Khyber Pakhtunkhwa (KPK) played a smaller yet regionally important role, particularly in maize cultivation. These trends highlight that while Balochistan has vast agriculture potential, productivity remains constrained by limited irrigation, arid conditions, and weak market connectivity.

The province's low crop yields stem largely from water scarcity, limited irrigation coverage, poor soil management, and weak market linkages, rather than lack of area. Balochistan's reported area constitutes only 53% of its total geographical area, nearly 47% remains unreported or underutilized. Within the reported area, only 4% is under net sown cultivation, while 28% is classified as non-cultivable and 11% as culturable waste. This imbalance illustrates that the province's agricultural base is narrow, dependent on localized oases, flood-fed zones, and tube-well irrigation, leaving vast tracts barren.

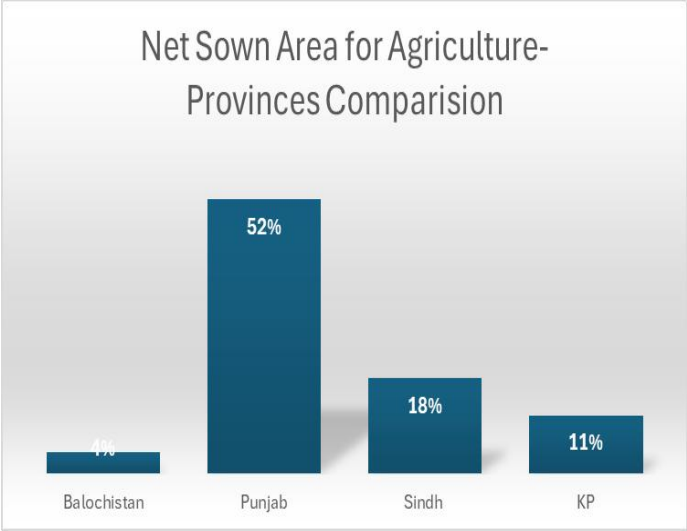

By contrast, Punjab and Sindh exhibit high land utilization efficiency — with over 50% of Punjab's and 18% of Sindh's total land under cultivation. Their extensive irrigation networks, mechanized farming, and agricultural support systems enable sustained productivity, particularly in water-intensive crops like sugarcane and rice. Khyber Pakhtunkhwa, though geographically smaller, utilizes 11% of its land for cultivation, aided by better rainfall and diversified cropping.

For Balochistan, the agriculture potential lies in horizontal expansion and diversification rather than intensification. The province's arid climate favours high-value crops such as orchards, pulses, oilseeds, and off-season vegetables, as well as livestock integration. However, realizing this potential requires investment in irrigation infrastructure, water-efficient technologies (e.g., drip systems), improved seed distribution, and climate-adaptive cropping systems.

Key Observations:

- Low agricultural contribution: Despite large land area, Balochistan contributes less than 5% to national production in any major crop.
- Underutilized land: Nearly half the province's area remains unreported or uncultivated, with only 4% under net sown cultivation.
- Water and infrastructure constraints: Dependence on tube-wells, limited canal systems, and drought cycles restrict productivity.
- Provincial contrast: Punjab and Sindh drive national agricultural output; Balochistan and KPK remain marginal contributors.
- Strategic potential: Expanding irrigation, promoting drought-resistant crops, and improving market access can transform Balochistan into a regional hub for resilient, high-value agriculture.

Table 4.1 Land Utilization Statistics for The Year 2022-23

(Milionis Hectors)

	Geographical area	Reported area	Not-reported area	Forest area	Not available for cultivation	culturable waste	Current fallow	Net sown area
Balochistan	34.72	18.36	16.36	1.79	9.83	3.78	1.59	1.37
%	-	53%	47%	5%	28%	11%	5%	4%
Punjab	20.63	17.43	3.2	0.48	3.1	1.4	1.7	10.75
%	-	84%	16%	2%	15%	7%	8%	52%
Sindh	14.09	14.08	0.01	1.04	6.49	1.61	2.37	2.57
%	-	1%	0%	7%	46%	11%	17%	18%
KPk	10.17	8.36	1.81	1.2	3.97	1.37	0.67	1.15
%	-	82%	18%	12%	39%	13%	7%	11%

- **GEOGRAPHICAL AREA** is that area which has been surveyed and calculated by the Survey of Pakistan.
- **TOTAL REPORTED AREA** is the total physical area of the village/deh, tehsil or district etc.
- **FOREST AREA** is the area of any land classed or administered as forest under any legal enactment dealing with forests.
- **AREA NOT AVAILABLE FOR CULTIVATION** is that uncultivated area of the farm which is under farm home-steads, farm roads and other connected purposes and therefore not available for cultivation.
- **CULTURABLE WASTE** is that uncultivated farm area which is fit for cultivation but was not cropped during the year under reference nor in the year before that.
- **CURRENT FALLOW** is that area which is vacant during the year under reference but sown at least once during previous year.
- **NET SOWN AREA** is that area which is sown at least once during (Kharif & Rabi) the year under reference.

Figure 4.1 Land utilization Comparison Across Provinces

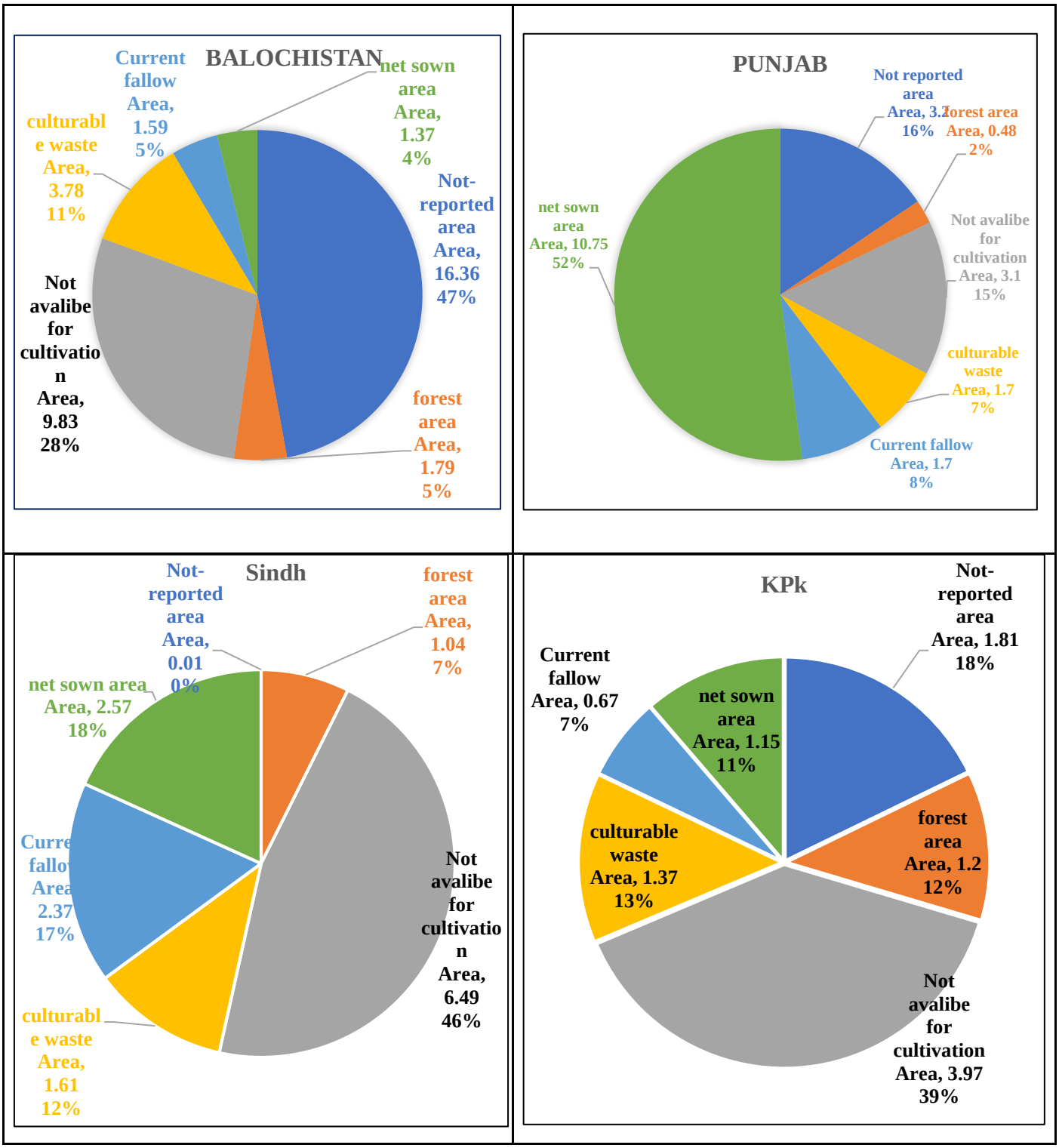

Figures suggest Punjab and Sindh have better land utilization. Balochistan has vast uncultivated land, showing potential if irrigation and infrastructure improve.

Table 4.2 Production of Important Crops for The Year 2023

The data highlights Punjab and Sindh as the main crop producers, whereas Balochistan contributes modestly despite its land potential.

(000 Tonnes)

*Cotton production (000 bales)

	Wheat	Rice	*Cotton	Sugar cane	Maize
Balochistan	1516.2	103.2	112.7	33.2	3.2
Balochistan %	5%	1%	2%	0%	0%
Punjab	21225.0	5070.0	3210	66932	10055
Punjab %	75%	69%	65%	76%	92%
Sindh	3940.2	2011.8	1586.3	16171.7	3.1
Sindh %	14%	27%	32%	18%	0%
KPk	1479.1	137.3	0.5	4844.2	923.8
KPK %	5%	2%	0%	6%	8%
Pakistan	28160.5	7322.3	4909.5	87981.1	10985.1

Figure 4.2 Production of Important Crops for The Year 2023

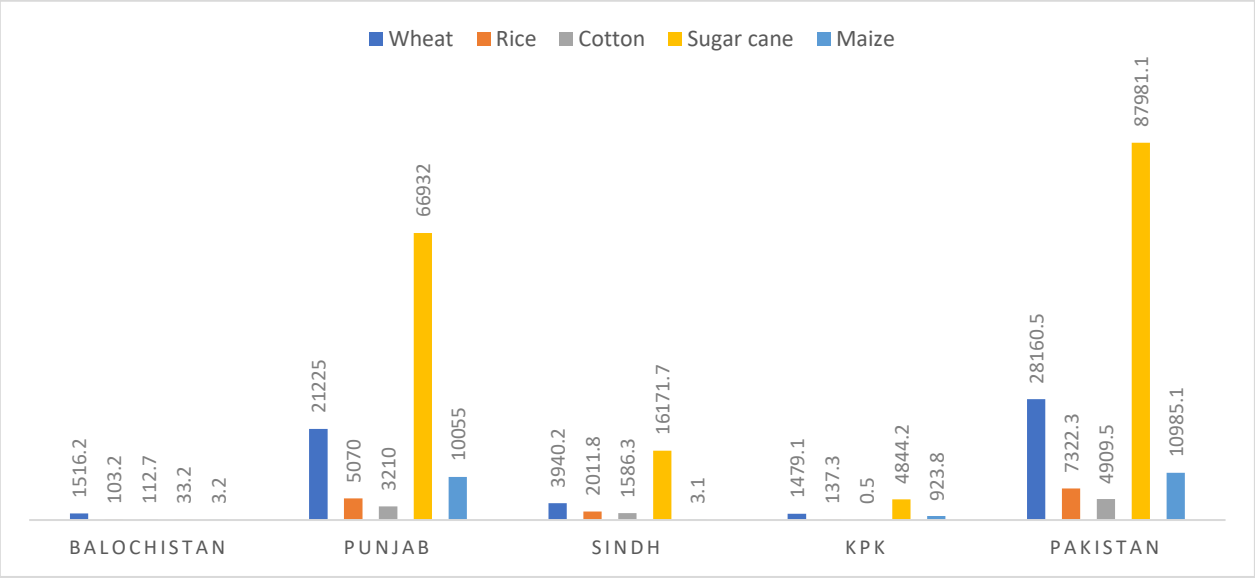

Figure 4.2 illustrates the production of major crops for the year 2023. The data reveal that Punjab and Sindh dominate agricultural output, with sugarcane being the highest produced crop in Punjab (66,932), Wheat remains a significant crop in Punjab, Sindh. In contrast, Balochistan records comparatively lower production across all major crops. The figures highlight the provincial disparities in crop production, underscoring Punjab and Sindh's leading role in the country's agricultural sector.

Chapter 5

Livestock

LIVESTOCK OVERVIEW: COMPARATIVE PROVINCIAL ANALYSIS

Balochistan has a critical role in Pakistan's livestock economy, particularly in small ruminants' animals. According to the 2024 Livestock Census, the province hosts 18.8 million sheep (42% of national total), 22.9 million goats (24%), 4.1 million cattle (7%), and 0.77 million camels (51%), giving it the highest share of sheep and camels among provinces. By contrast, Punjab dominates overall livestock with the largest numbers of cattle, goats, and buffaloes, while Sindh follows strongly in buffaloes and goats. Khyber Pakhtunkhwa contributes significantly in horses and mules, reflecting its reliance on draft and transporting animals.

The livestock system in the province remains primarily pastoral and extensive, with vast grazing lands but limited access to veterinary services. Despite hosting 999 veterinary dispensaries and 130 hospitals, the province faces challenges in vaccination coverage, disease control, and market access. Still, its 66% share of animals treated nationally highlights its large herd base and potential for value addition in meat, wool, and dairy products.

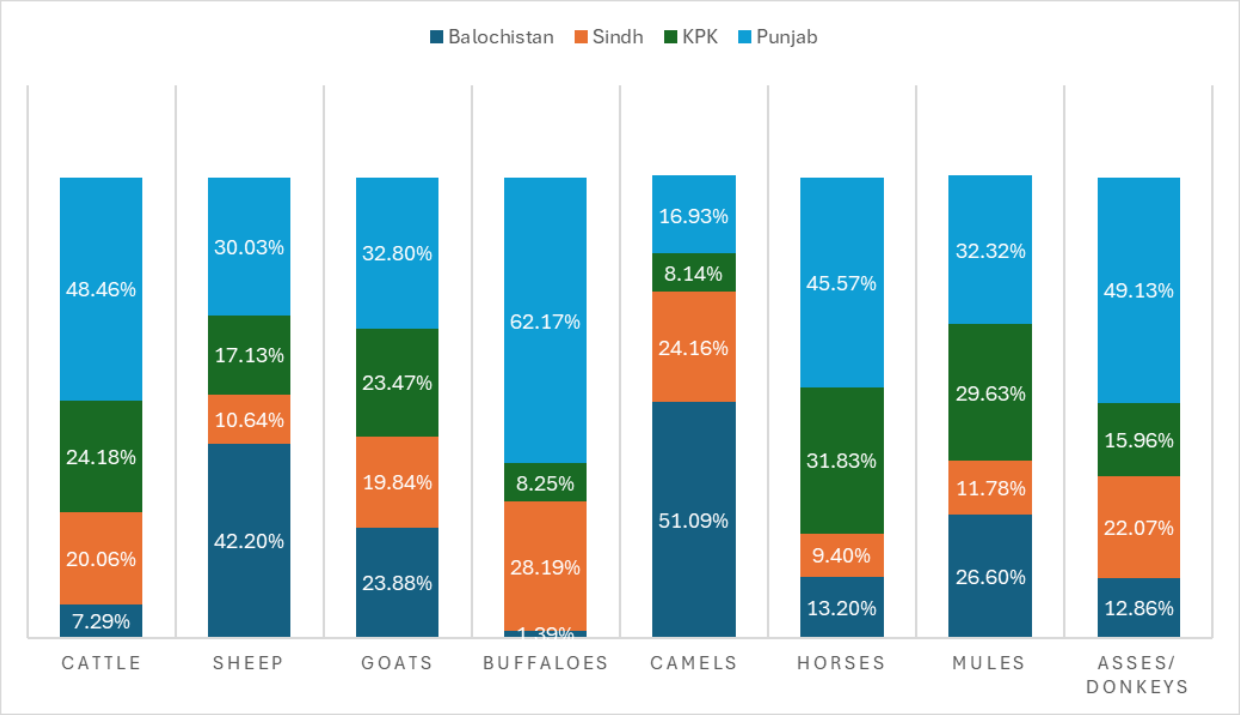

Key Insights

- **Balochistan's livestock potential:** The province leads in sheep (42%) and camels (51%), reflecting its suitability for small ruminants and arid-adapted species.
- **Veterinary Services:** Punjab has the strongest veterinary infrastructure, while Balochistan maintains a large network of dispensaries but limited hospitals.
- **Animal Health:** Balochistan accounts for **66% of all animals treated nationally**, highlighting ts large herd base and potential for value addition in **meat, wool, and dairy** sectors.
- **Overall Trend:** Livestock remains a cornerstone of rural livelihoods in Balochistan, yet service gaps, low vaccination rates, and infrastructure constraints limit productivity growth.

Table 5.1 Provincial and National Livestock Population in Pakistan Census 2024

Livestock	Balochistan	Sindh	KPK	Punjab	Pakistan
Cattle	4.075	11.206	13.509	27.073	55.863
Sheep	18.814	4.742	7.639	13.39	44.585
Goats	22.887	19.013	22.492	31.436	95.827
Buffaloes	0.664	13.458	3.936	29.681	47.738
Camels	0.772	0.365	0.123	0.2558	1.511
Horses	0.073	0.052	0.176	0.252	0.553
Mules	0.079	0.035	0.088	0.096	0.297
Asses/ Donkeys	0.63	1.081	0.782	2.407	4.899

Source: Pakistan Bureau of Statistics 7th Agricultural Census of Pakistan 2024 Integrated Digital Count Main Findings Report

Figure 5.1 Livestock Population 2024 Prevalence in Pakistan (In Millions)

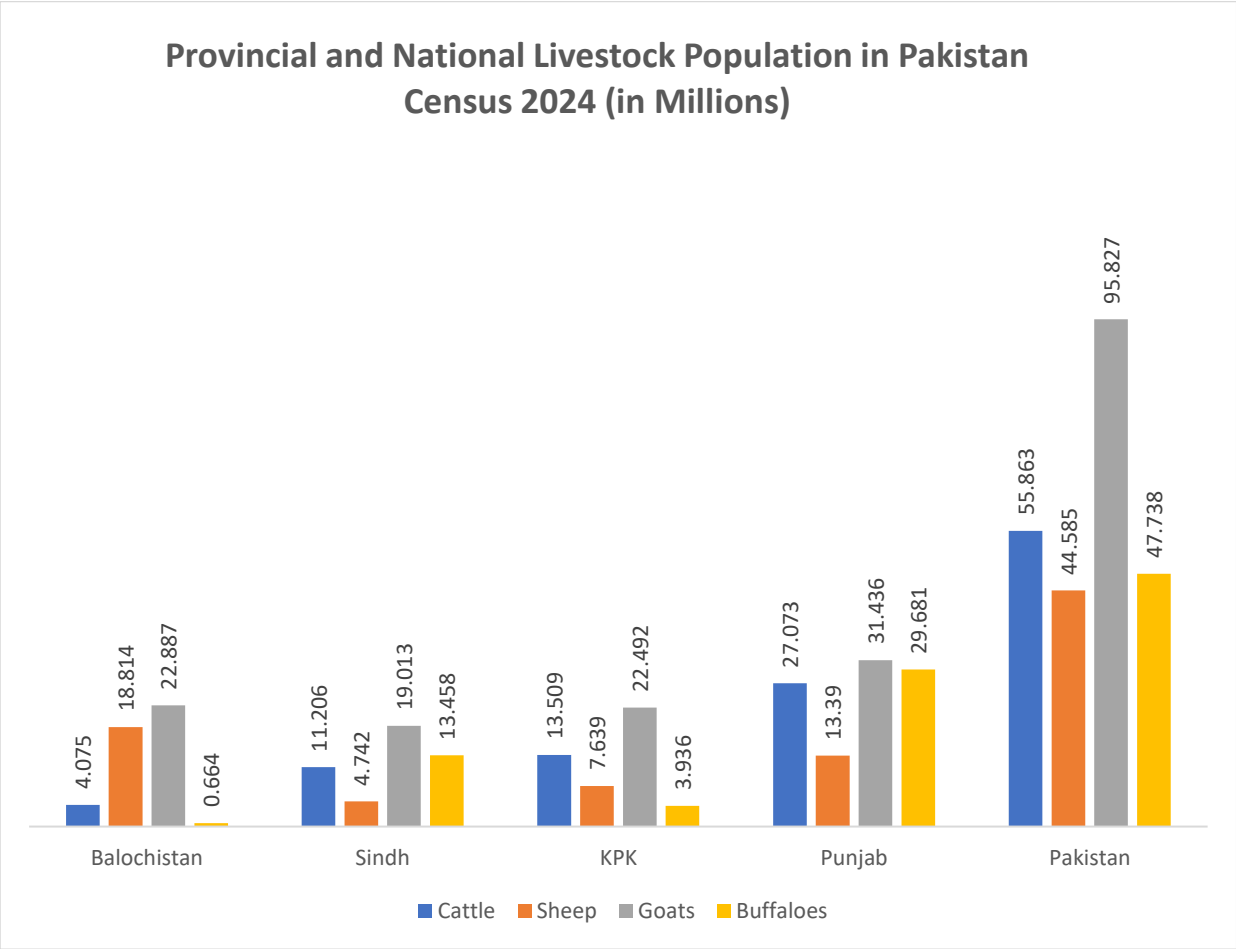

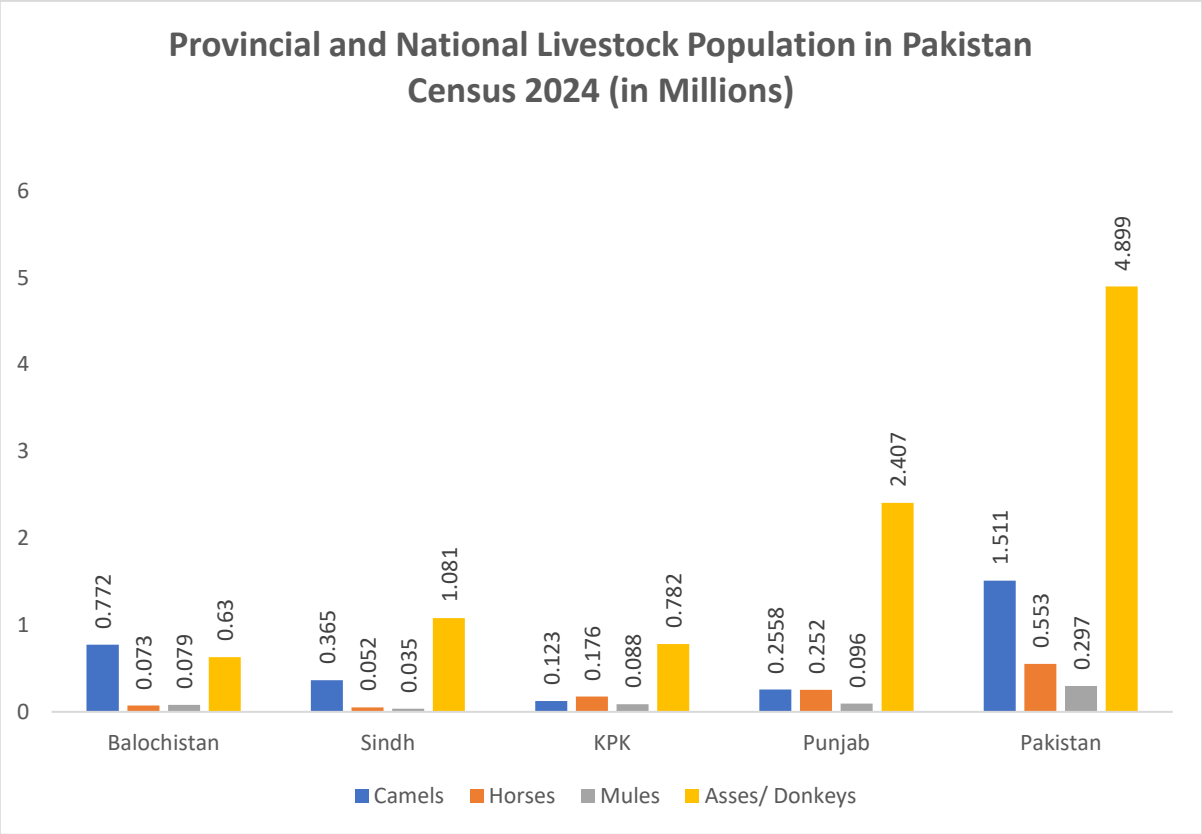

The above graphs show the distribution of major livestock across Pakistan's provinces, showing significant variation by animal type and region. Punjab dominates in cattle (27.07 million), goats (31.44 million), and buffaloes (29.68 million), making it the leading province in overall livestock numbers. Balochistan stands out with the highest number of sheep (18.81 million), while Sindh has a strong presence of buffaloes (13.46 million) and goats (19.01 million). Khyber Pakhtunkhwa (KPK) also contributes notably to cattle and goats but on a smaller scale compared to Punjab. Animals with relatively smaller populations, such as camels, horses, mules, and donkeys, are distributed more evenly, with Punjab again leading in absolute numbers. Nationally, goats (95.83 million) are the most abundant species, followed by cattle (55.86 million), sheep (44.59 million), and buffaloes (47.74 million), highlighting their critical role in Pakistan's livestock sector.

Table 5.2 Provincial Percentage Share of Livestock Population Census 2024

Livestock	Balochistan	Sindh	KPK	Punjab	Pakistan
Cattle	7.29%	20.06%	24.18%	48.46%	100%
Sheep	42.20%	10.64%	17.13%	30.03%	100%
Goats	23.88%	19.84%	23.47%	32.80%	100%
Buffaloes	1.39%	28.19%	8.25%	62.17%	100%
Camels	51.09%	24.16%	8.14%	16.93%	100%
Horses	13.20%	9.40%	31.83%	45.57%	100%
Mules	26.60%	11.78%	29.63%	32.32%	100%
Asses/ Donkeys	12.86%	22.07%	15.96%	49.13%	100%

Source: Pakistan Bureau of Statistics 7th Agricultural Census of Pakistan 2024 Integrated Digital Count Main Findings Report

Figure 5.2 Livestock Population 2024 Prevalence in Pakistan (In Millions)

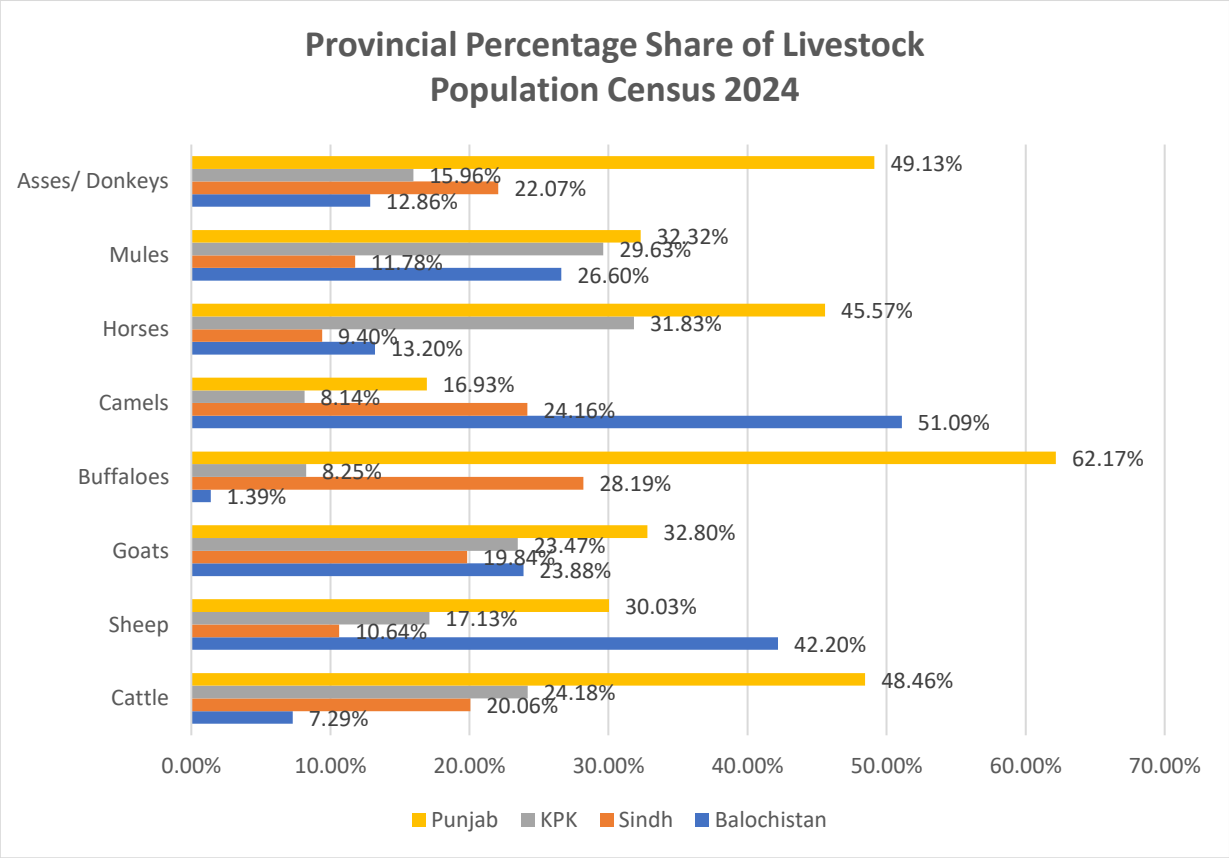

The percentage share of livestock across provinces highlights Punjab as the dominant contributor in most major categories, particularly cattle (48.46%), goats (32.80%), buffaloes (62.17%), and donkeys (49.13%). Balochistan leads in sheep (42.20%) and camels (51.09%),

showing its strength in small ruminants and desert-adapted animals. Khyber Pakhtunkhwa contributes notably to horses (31.83%) and mules (29.63%), reflecting its reliance on draft and transport animals. Sindh stands out for its significant share of buffaloes (28.19%) and goats (19.84%). Overall, the distribution illustrates Punjab's dominance in mainstream livestock, while Balochistan and KPK hold comparative advantages in specialized animals like sheep, camels, and equines.

Table 5.3 Provincial Comparison of Veterinary Institutions 2023

Description	Balochistan	Sindh	KPK	Punjab
Veterinary Hospitals	130	26	145	564
Veterinary Dispensaries	999	148	788	1652
Insemination Centers	62	---	852	---

Figure 5.3.1 Provincial comparison of Veterinary Hospitals

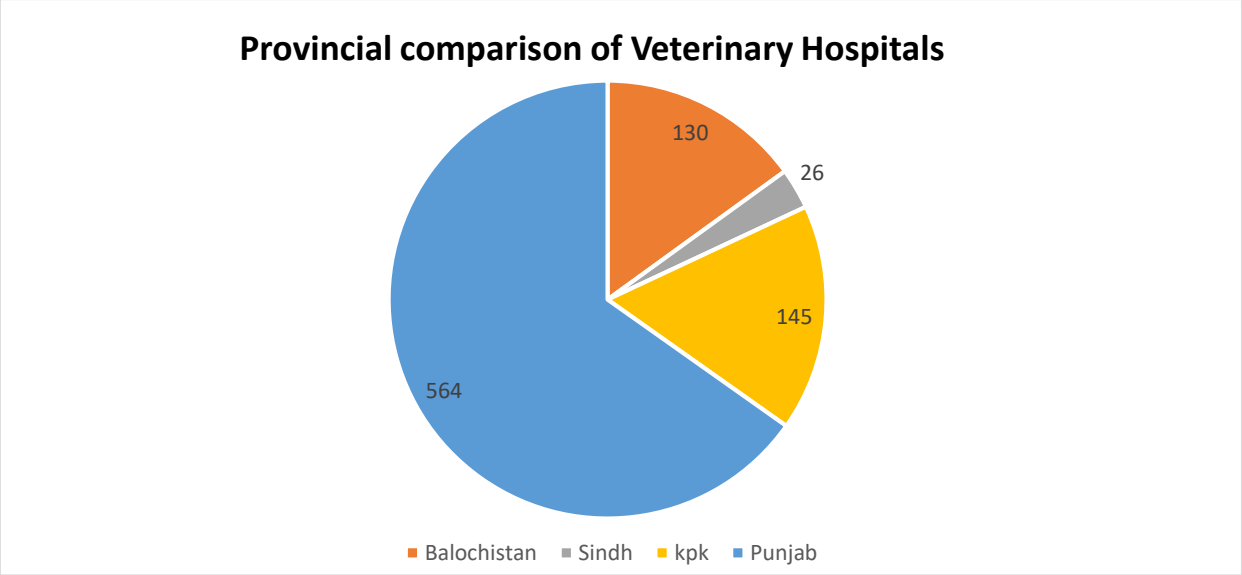

In the pie chart shown in Figure 5.3, Punjab has the highest 564 number of hospitals highlighting its strong veterinary infrastructure, while Sindh has the lowest number with only **26 hospitals**, indicating limited access to veterinary healthcare in the province.

Figure 5.3.2 Provincial comparison of Veterinary Dispensaries

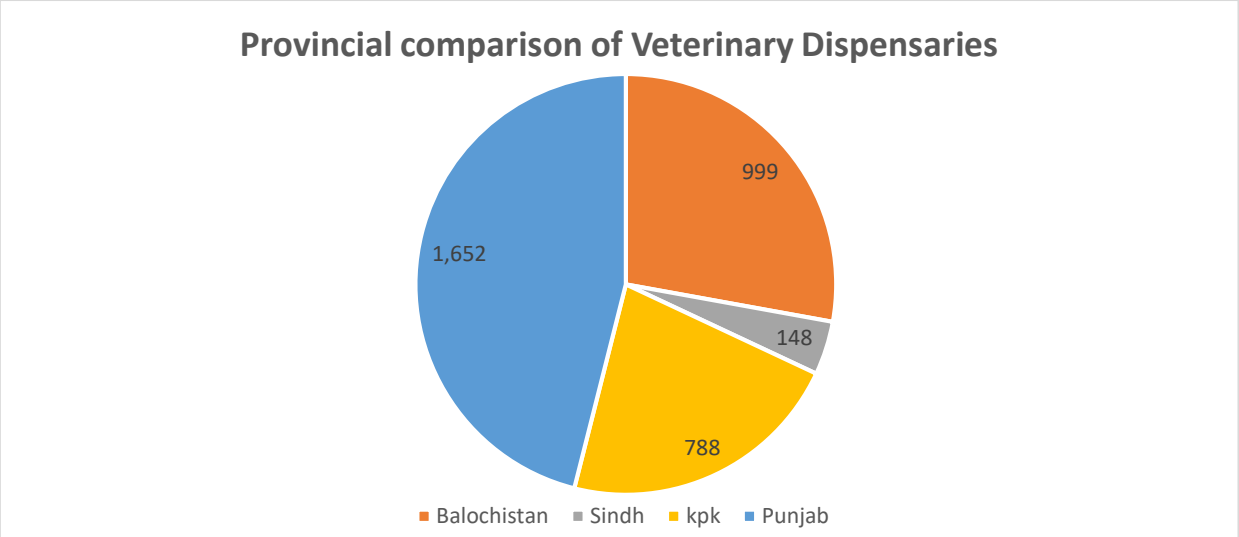

The pie chart in the above Figure 5.3.2 shows that the Punjab has the highest number of veterinary dispensaries with 1,652, indicates strong concentration of veterinary facilities in Punjab, Balochistan follows with 999 dispensaries, indicating significant infrastructure. KPK has 788 dispensaries, showing moderate coverage. Sindh has the fewest dispensaries at 148, highlighting a gap in veterinary services in the province.

Table 5.4 Provincial Animal Healthcare and Slaughtering in Pakistan 2023

Description	Balochistan	Sindh	KPK	Punjab	Pakistan
Animals treated	26,858,074	2,153,807	229,518	11,196,000	40,437,399
Animals vaccinated	29,424,640	22,945,798	352,652	104,683,000	157,406,090
Animals castrated	98,231	99,204	…	224,000	421,435
Animals slaughtered	5,067,791	...	803,033	3,306,700	9,177,524

Source: Provincial Development Statistics

Table 5.5 Provincial Percentage Share of Animal Healthcare and Slaughtering in Pakistan

Description	Balochistan	Sindh	KPK	Punjab	Pakistan
Animals treated	66.42%	5.33%	0.57%	27.69%	100.00%
Animals vaccinated	18.69%	14.58%	0.22%	66.51%	100.00%
Animals castrated	23.31%	23.54%	-	53.15%	100.00%
Animals slaughtered	55.22%	-	8.75%	36.03%	100.00%

Source: Provincial Development Statistics

Figure 5.4 Provincial Percentage Share of Animal Healthcare and Slaughtering in Pakistan

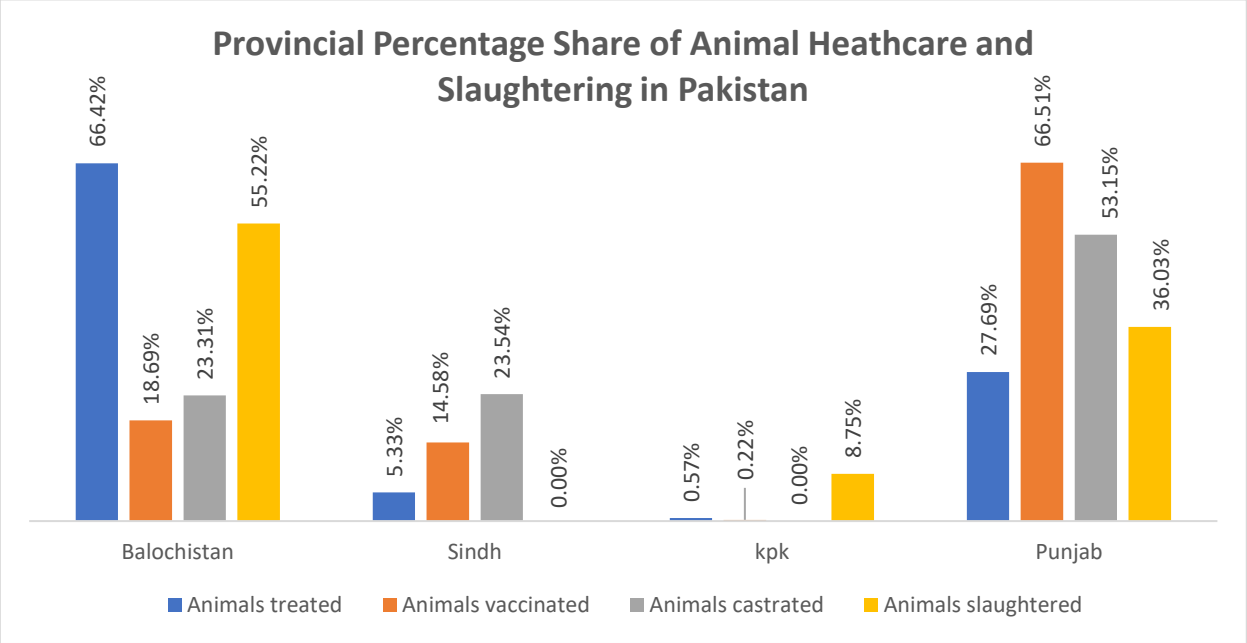

The graph in Figure 5.4 above shows the percentage share of each Pakistani province in various animal healthcare and slaughtering activities. **Balochistan** dominates (66.42%), suggesting it has the highest number of animals receiving medical treatment, possibly due to disease prevalence or large livestock populations. **Punjab** leads (66.51%), reflecting strong veterinary vaccination programs or a larger livestock population. **Sindh and KPK have comparatively low shares across all categories,** possibly due to limited vaccination efforts or data gaps.

Chapter 6

FISHERIES

FISHERIES OVERVIEW: COMPARATIVE PROVINCIAL ANALYSIS

Balochistan ranks as Pakistan's second-largest fish-producing province, contributing 137,950 metric tons (33.4%) of national output in 2023, after Sindh, which dominates with 65%. The province's long coastline along the Arabian Sea supports a thriving marine fishery sector, employing over 82,000 fishermen and operating 9,632 fishing crafts and 9,457 sailboats. While Sindh benefits from the Indus Delta and strong inland fisheries, Balochistan's production is primarily marine based, so there is significant potential for tapping on to natural endowment and underdeveloped infrastructure. The province's higher number of full-time fishermen and greater fleet size underline its potential for scaling sustainable fisheries, seafood processing, and export development.

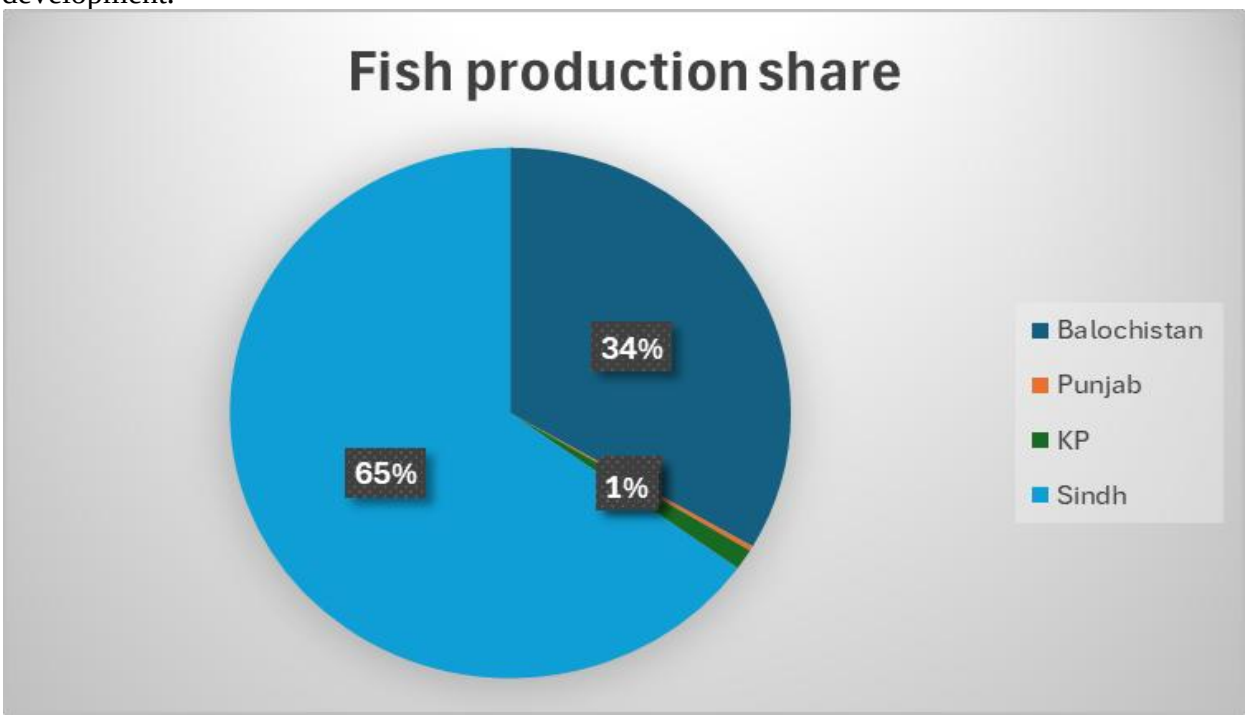

Key Insights

- **Balochistan's fisheries potential:** The province contributes **33% of total fish production**, ranking second nationally, supported by its 770 km coastline and large marine fishing base.
- **Inland vs. Marine:** Punjab and KPK contribute less than 2% collectively, primarily through inland fisheries.
- **Fisheries livelihood:** Balochistan hosts the **largest fishermen population (82,000)** and more fishing crafts than Sindh, reflecting untapped potential for marine industry development.
- **Key Challenge:** Despite resource richness, weak processing infrastructure, cold chain gaps, and market linkages constrain sectoral growth.

Table 6.1 Provincial Comparison of Fish Production 2023

Sources: Provincial Development Statistics

Fish Production	Quantity (metric tons)	Value (Million Rupees	Percentage share of Fish Production
Balochistan	137,950	29,424,796	33.39%
Punjab	1,230	28,290	0.29%
KPK	5,230	2,301	1.27%
Sindh	268,689	28,569,025	65.04%

Figure 6.1 Provincial Comparison of Fish Production

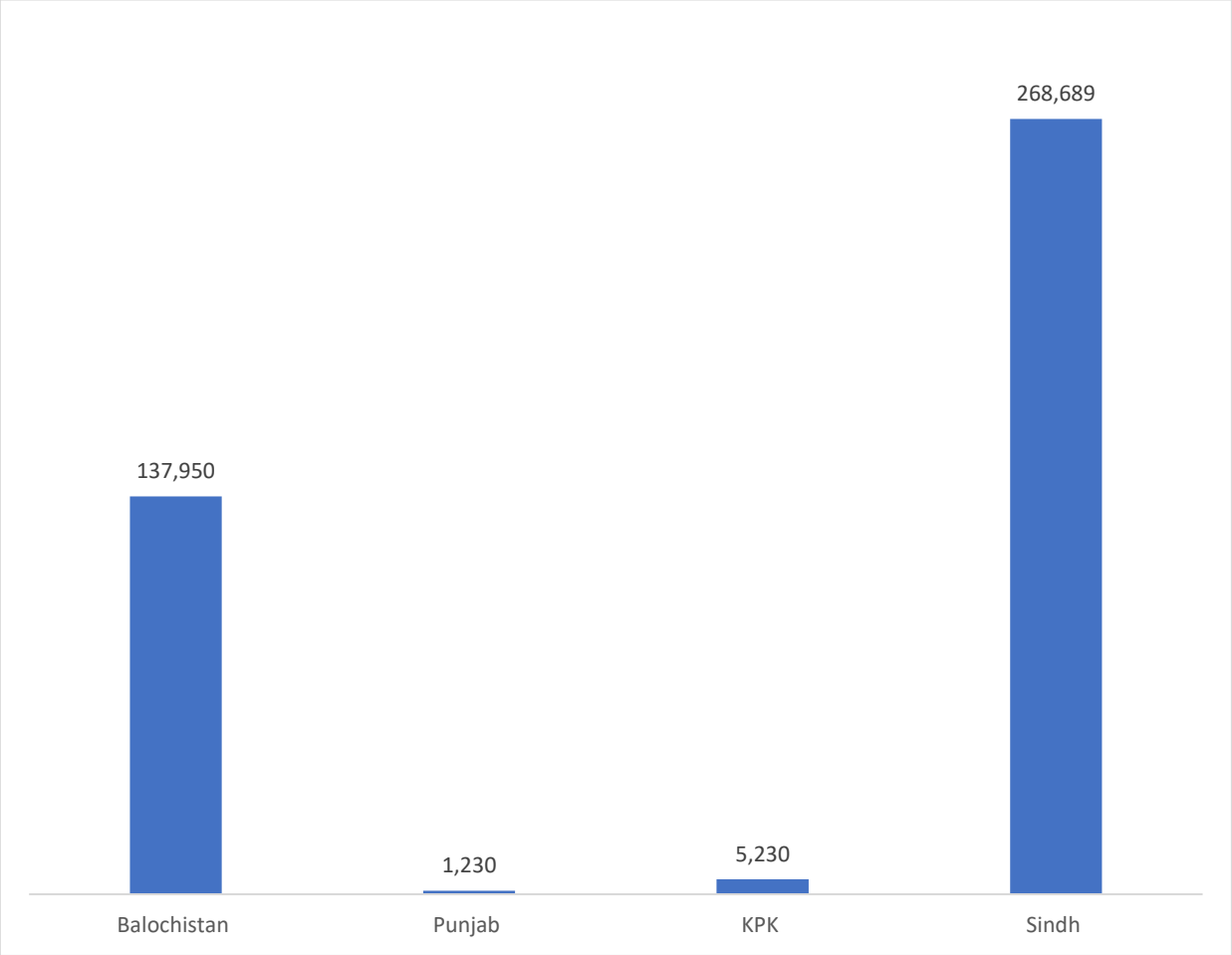

Figure 6.1 illustrates the provincial comparison of fish production in Pakistan. The data reveal that Sindh has the highest fish production, recorded at 268,689 metric tons, followed by Balochistan with 137,950 metric tons, Khyber Pakhtunkhwa (KPK) with 5,230 metric tons, and Punjab with 1,230 metric tons. The figures highlight significant provincial disparities in fish production, with Sindh dominating the sector, while other provinces contribute comparatively lower quantities.

Table 6.2 Provincial Percentage of Fish Production 2023

Fish Production	PERCENTAGE SHARE
Balochistan	33.39%
Punjab	0.29%
KPK	1.27%
Sindh	65.04%

Figure 6.2 Provincial Percentage Share of Fish Production

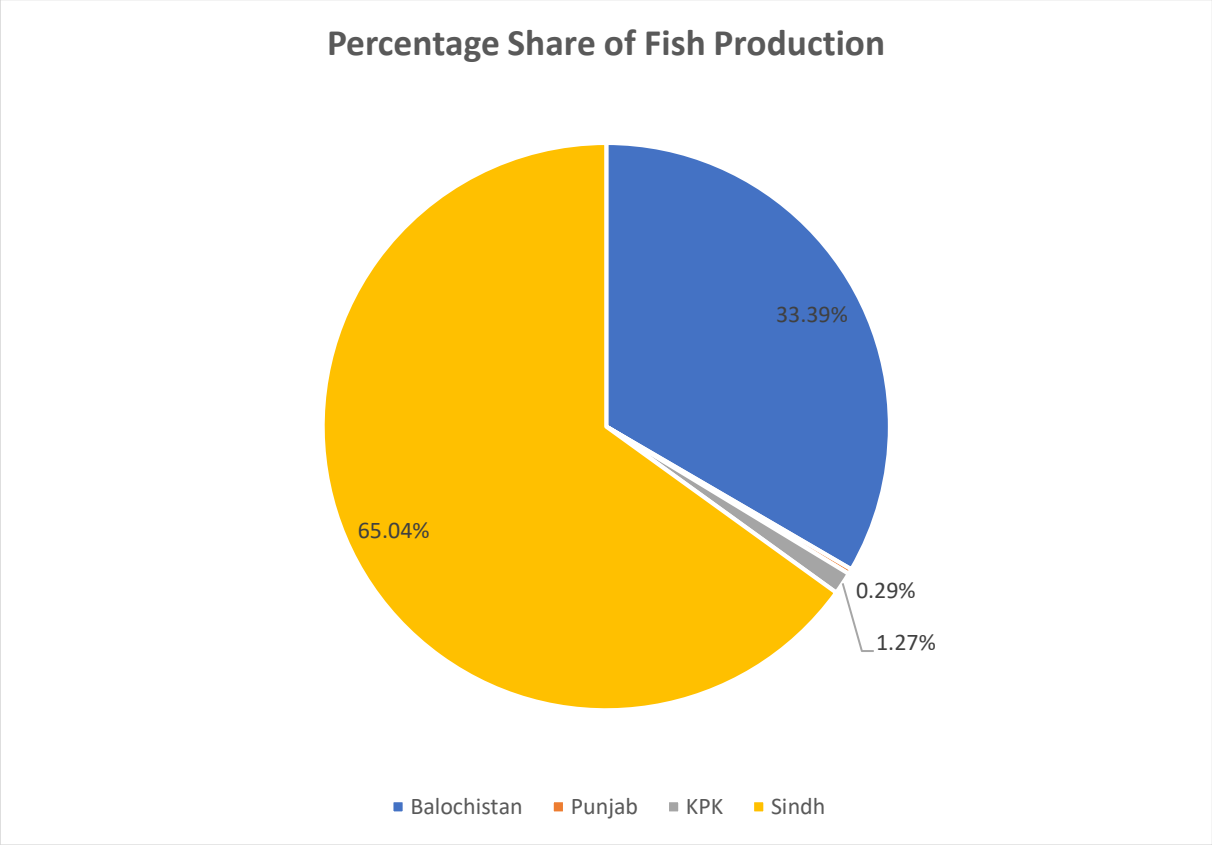

Figure 6.2 illustrates the provincial percentage share of fish production in Pakistan. Sindh (65. 04%) dominates Pakistan's fish production due to its coastline with Arabian Sea and Indus Delta, which supports marine and inland fisheries. Balochistan (33. 39%) contributes significantly through marine fishing, making it the second-largest producer after Sindh, primarily due to its extensive coastline and marine fishing activities. While KPK (1. 27%) and Punjab (0. 29%) have minimal shares from inland sources. The data illustrates Sindh's dominance in inland and coastal fisheries. Balochistan, with its long coastline, contributes significantly but remains underdeveloped compared to Sindh. Punjab and KPK have minimal shares.

Table 6.3 Fisheries Statistics of Balochistan and Sindh Province2023

Description	Balochistan	Sindh
Fishermen population	82453	36647
Full time fishermen	55082	17693
Part time fishermen	24128	18954
Occasional fishermen	3333	…
Total fishing crafts	9632	8212
Life boats	175	…
Sail boats	9457	4793
Row boats	...	3419

Source: Provincial Development statistics

Figure 6.3 Fisheries Statistics of Balochistan and Sindh Province2023

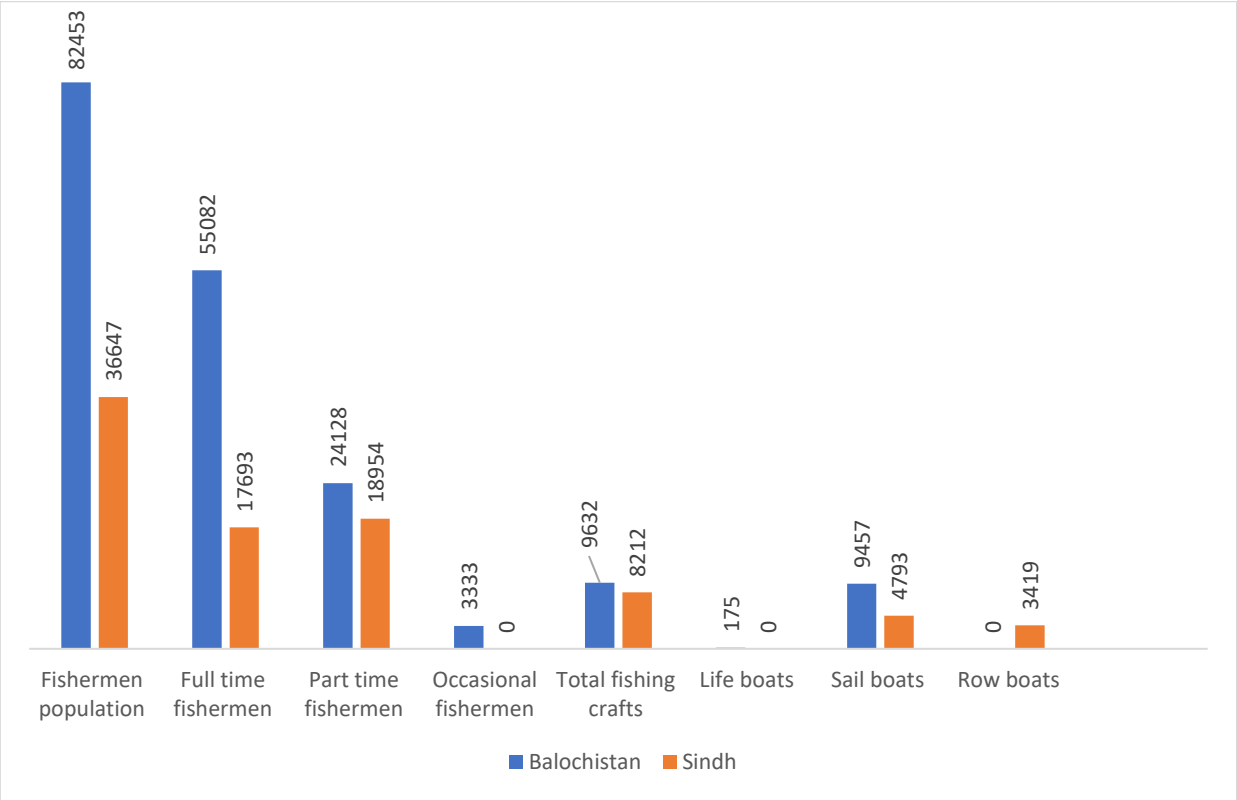

Figure 6.3 illustrates the fisheries statistics of Balochistan and Sindh for 2023**.** The data reveal that Balochistan has a higher fishermen population (82,453) compared to Sindh (66,447), and also a greater number of full-time fishermen (55,082) versus Sindh's 17,9693**.** In contrast, Sindh has part-time fishermen (18,954) while has Balochistan (24128)**.** Additionally**,** Balochistan leads in total fishing crafts (9,632) and sail boats (9,457)**.** The figures highlight the provincial differences in fisheries resources and manpower, with Balochistan dominating in both active workforce and fishing assets.

Chapter 7

CLIMATE

CLIMATE OVERVIEW: COMPARATIVE PROVINCIAL ANALYSIS

Balochistan's climate profile is highly variable, shaped by arid and semi-arid conditions with moderate average temperatures. In 2023, the province recorded an average maximum temperature of 30.3°C and a minimum of 16.5°C, placing it between Sindh (hottest at 33.9°C) and KPK (coolest at 12.3°C). Rainfall levels in Balochistan (5,983.9 mm) were below Punjab (7,128 mm) and KPK (6,518 mm) but higher than Sindh (3,796 mm), reflecting its diverse topography that includes both coastal and highland zones.

- **Balochistan's Climate:** Experiences moderate temperatures but faces wide seasonal variations due to its topography.
- **Rainfall Patterns:** Punjab receives the **highest rainfall (7,128 mm)**, driven by monsoon influence, while **Sindh records the lowest (3,796 mm)**.
- **Regional Variation:** Balochistan's rainfall (5,983 mm) exceeds Sindh's but remains unevenly distributed—higher in northern highlands and scarce in southern arid zones.
- **Implication:** Increasing climate variability poses water management challenges, affecting agriculture and livestock productivity across Balochistan.

Table 7.1 Temperature Variations Across provinces

	Punjab	KPK	Sindh	Balochistan
Maximum	30.89	26.58	33.86	30.33
Minimum	18	12.29	20.58	16.53

Source: Provincial Development Statistics

Figure 7.1 Temperature Variations Across provinces

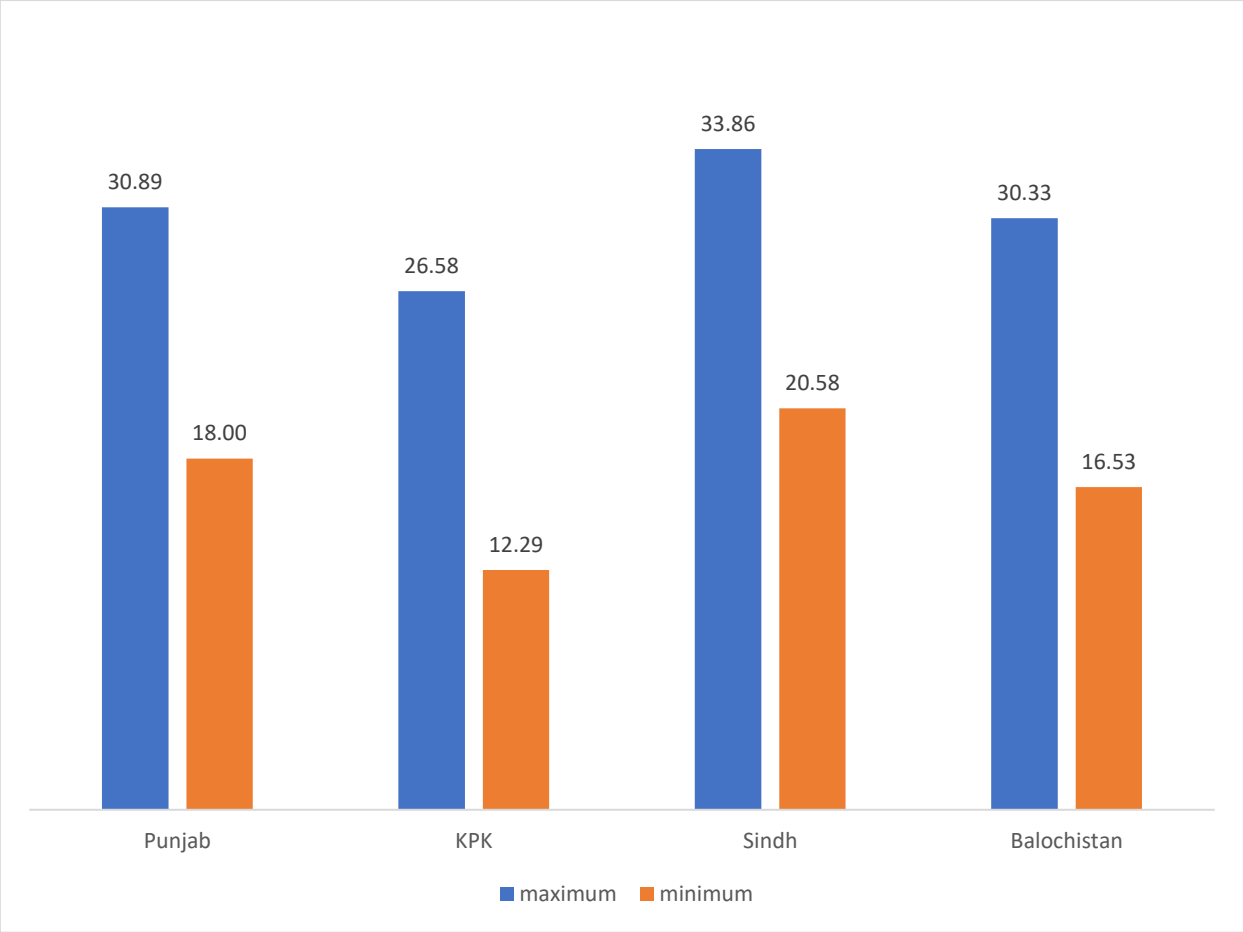

Figure 7.1 illustrates the temperature variations across provinces during 2023. The data reveals a comparison of maximum and minimum average temperate across four provinces. Sindh has the highest average maximum average temperature (33. 86 °C), and KPK has the lowest minimum average temperature (12. 29 °C). Sindh is the hottest province overall, both in terms of maximum and minimum temperatures. KPK is the coolest province overall.

Table 7.2 Rainfall Comparison Across Provinces at Selected Station for 2023

Rainfall(mm)	Punjab	KPK	Balochistan	Sindh
2023	7128	6518	5983.9	3796.3

Source: Provincial Development Statistics

Figure 7.2Rainfall Comparison Across Provinces at Selected Station for 2023

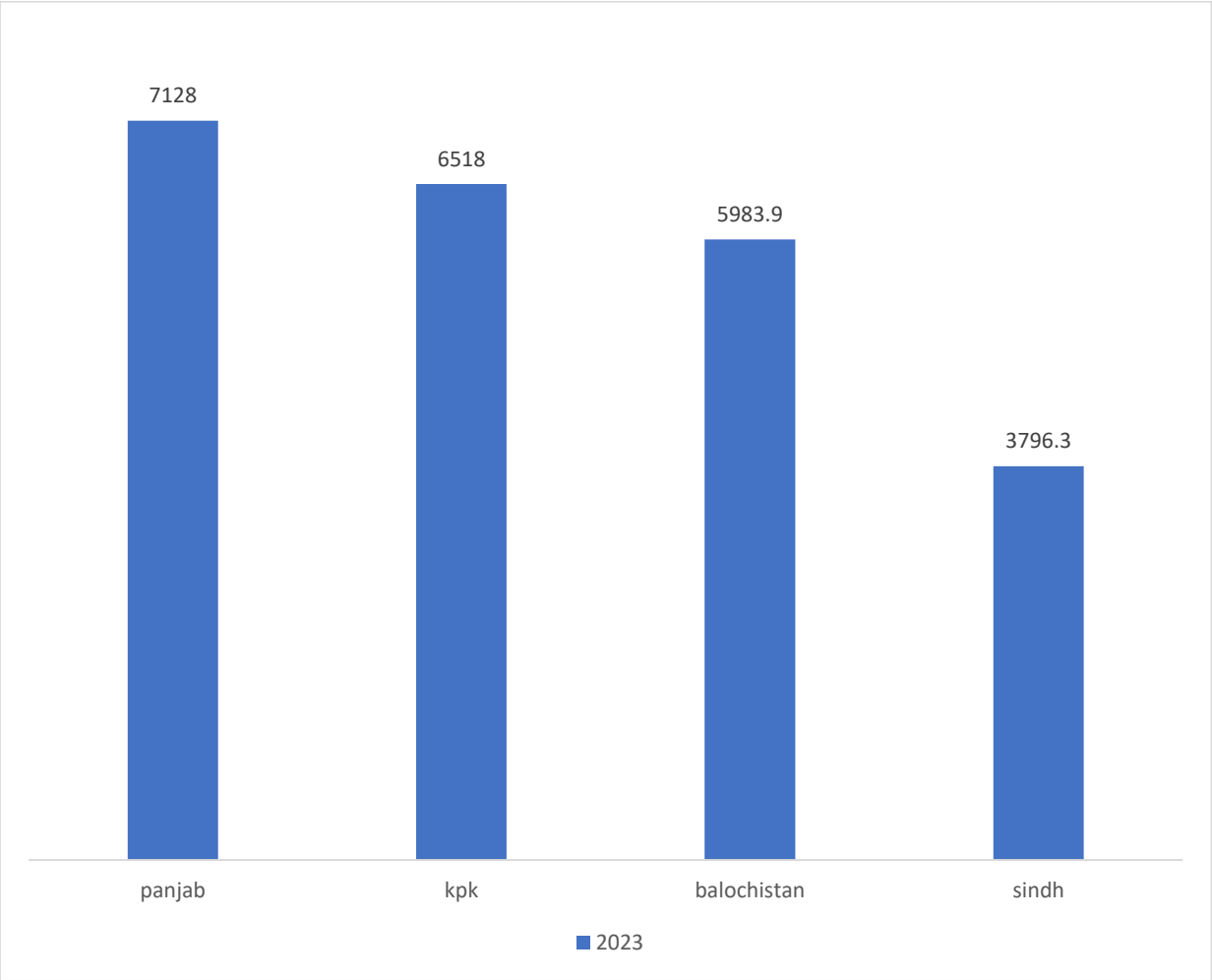

Figure 7.2 illustrate the rainfall comparison across provinces at selected stations during 2023**.** Punjab has highest rainfall (7128mm) among all provinces, indicating strong monsoon activity. And the lowest rainfall was recorded in Sindh (3796.3mm), where rain is often seasonal and sparse. This may lead to water scarcity, affecting agriculture, especially in rural and desert areas. Balochistan received (5983.9mm) units of rainfall. Sindh received (3796.3mm) units of rainfall. Balochistan experienced greater rainfall compared to Sindh. Rainfall patterns can be influenced by geographical features like mountains, coastal areas, or deserts. Provinces like Panjab and KP might have more rainfall due to monsoon patterns or mountainous regions. Balochistan and Sindh, being more arid or having different geography, show lower rainfall.

Chapter 8

MINES & MINERALS

MINERAL OVERVIEW: COMPARATIVE PROVINCIAL ANALYSIS

Balochistan accounts for dominant shares in several key minerals: barite (99%), basalt (100%), iron ore (80%), and chromite (71%). The province also contributes substantially to limestone (23%) and marble (26%), highlighting geological diversity and economic potential. In contrast, Sindh leads in coal (77%), while Punjab and KPK show strength in limestone, gypsum, and marble production. Despite this resource of wealth, value addition and industrial linkages in Balochistan remain limited due to infrastructure constraints, energy shortages, and low private-sector investment.

Key Insights

- **Resource Concentration:** Balochistan dominates in **barite (99%)**, **basalt (100%)**, **iron ore (80%)**, and **chromite (71%)**, confirming its mineral richness.
- **Balochistan's Potential:** Despite its resource advantage, limited processing, transport, and investment infrastructure hinder industrial-scale mining and export development.

Table 8.1 Pakistan's Mineral Output by Province 2023

S.No	Minerals	Pakistan	Balochistan	Punjab	Sindh	KPK
1	Barite	141000	139,655	-	-	1,165
2	Basalt	35084	35,084	-	-	-
3	Chromite	155600	113,402	-	-	46,212
4	Coals	15069000	2,564,015	6,776	11,013,904	810,274
5	Dolomite	544223	-	-	-	544,223
6	Gypsum	1639700	-	8,363	-	806,118
7	Iron Ore	377000	205,812	1,352	-	48,942
8	Limestone	58941300	4,378,579	254,458	7,989,448	6,249,857
9	Marble	5714400	1,400,695	-	1,646	4,084,816
10	Rock Salt	2907400	-	27,827		133,018
11	Shale	2126610	1,418,360	-	643,396	64,854

Source: Provincial Development Statistics

Table 8.2 Percentage Share of Pakistan's Mineral Output by Province 2023

S.No	Minerals	%age Share of Balochistan	%age Share of Punajb	%age Share of Sindh	%age Share of KPK
1	Barite	99.17%	0.00%	0.00%	0.83%
2	Basalt	100.00%	0.00%	0.00%	0.00%
3	Chromite	71.05%	0.00%	0.00%	28.95%
4	Coals	17.81%	0.05%	76.51%	5.63%
5	Dolomite	0.00%	0.00%	0.00%	100.00%
6	Gypsum	0.00%	1.03%	0.00%	98.97%
7	Iron Ore	80.36%	0.53%	0.00%	19.11%
8	Limestone	23.20%	1.35%	42.33%	33.12%
9	Marble	25.53%	0.00%	0.03%	74.44%
10	Rock Salt	0.00%	17.30%	0.00%	82.70%
11	Shale	66.70%	0.00%	30.25%	3.05%

Figure 8.1 Percentage Share of Pakistan's Mineral Output by Province 2023

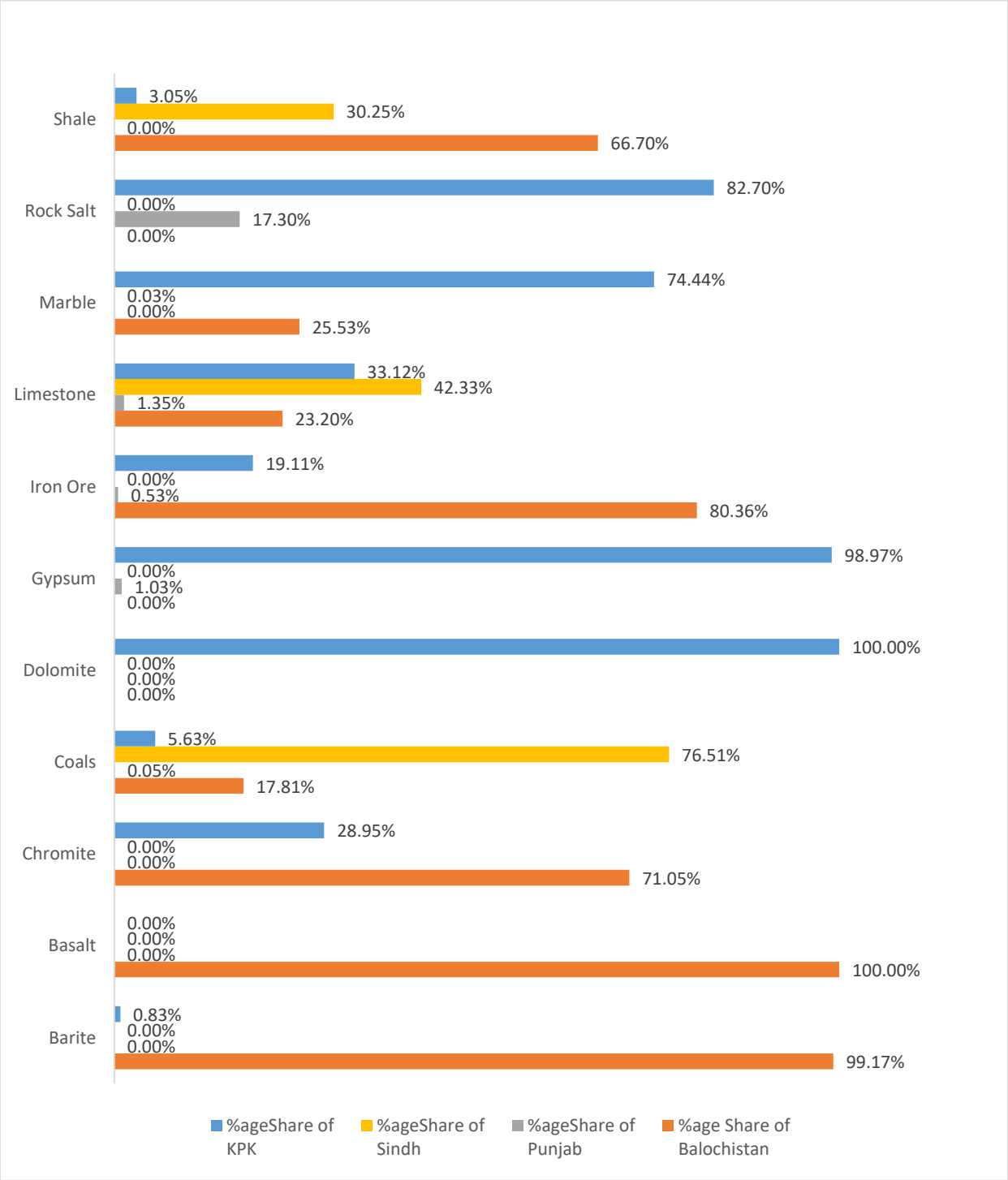

Figure 8.1 illustrates the percentage share of Pakistan's mineral output by province in 2023**,** The data reveal that Balochistan holds a dominant position in the production of several key minerals, including barite (99.17%)**,** basalt (100%)**,** iron ore (80%)**,** and chromite (71%)**,** reflecting its mineral richness and geological diversity. Sindh leads in coal production**,** contributing 76.51% to the national output. Meanwhile, Punjab and Khyber Pakhtunkhwa (KPK) show notable shares in the production of limestone**,** gypsum**,** and marble, indicating their significance in the non-metallic mineral sector. Overall, the data emphasize the regional specialization of mineral resources across Pakistan's provinces.

Chapter 9

FUEL & POWER

FUEL AND POWER: COMPARATIVE PROVINCIAL ANALYSIS

Balochistan's electricity consumption patterns reflect its predominantly agricultural economy. In 2022–23, the agriculture sector consumed 71.5% of total electricity, followed by domestic users (12.7%), while industrial and commercial sectors accounted for 3.6% and 2.4%, respectively. Though Balochistan represents only 2% of WAPDA's national consumer base, its 74% domestic users indicate strong household dependence on grid electricity for basic needs.

Key Insights

- **Energy Access:** Punjab accounts for nearly **79% of WAPDA's consumers**,
- **Balochistan's Share:** Only **2% of total consumers**, indicating limited grid coverage across vast rural areas.
- **Electricity Use:** In Balochistan, **71% of power consumption is in agriculture**, highlighting irrigation dependence, while industry accounts for less than 4%.
- **Consumer Profile:** Domestic consumers make up **74%** of all users in Balochistan, showing high reliance on electricity for households but limited commercial and industrial base.
- **Key Challenge:** Expanding electrification and balancing agricultural load are essential for inclusive growth and energy sustainability in the province.

Table 9.1 Percentage of Consumers on WAPDA's System for 2022-23

YEAR	PAKISTAN	PUNJAB	SINDH(EX: KESC)	KPK	BALOCHISTAN
2022-23	100	78.72	5.88	13.39	2

Figure 9.1 Percentage of Consumers on WAPDA's System for 2022-23

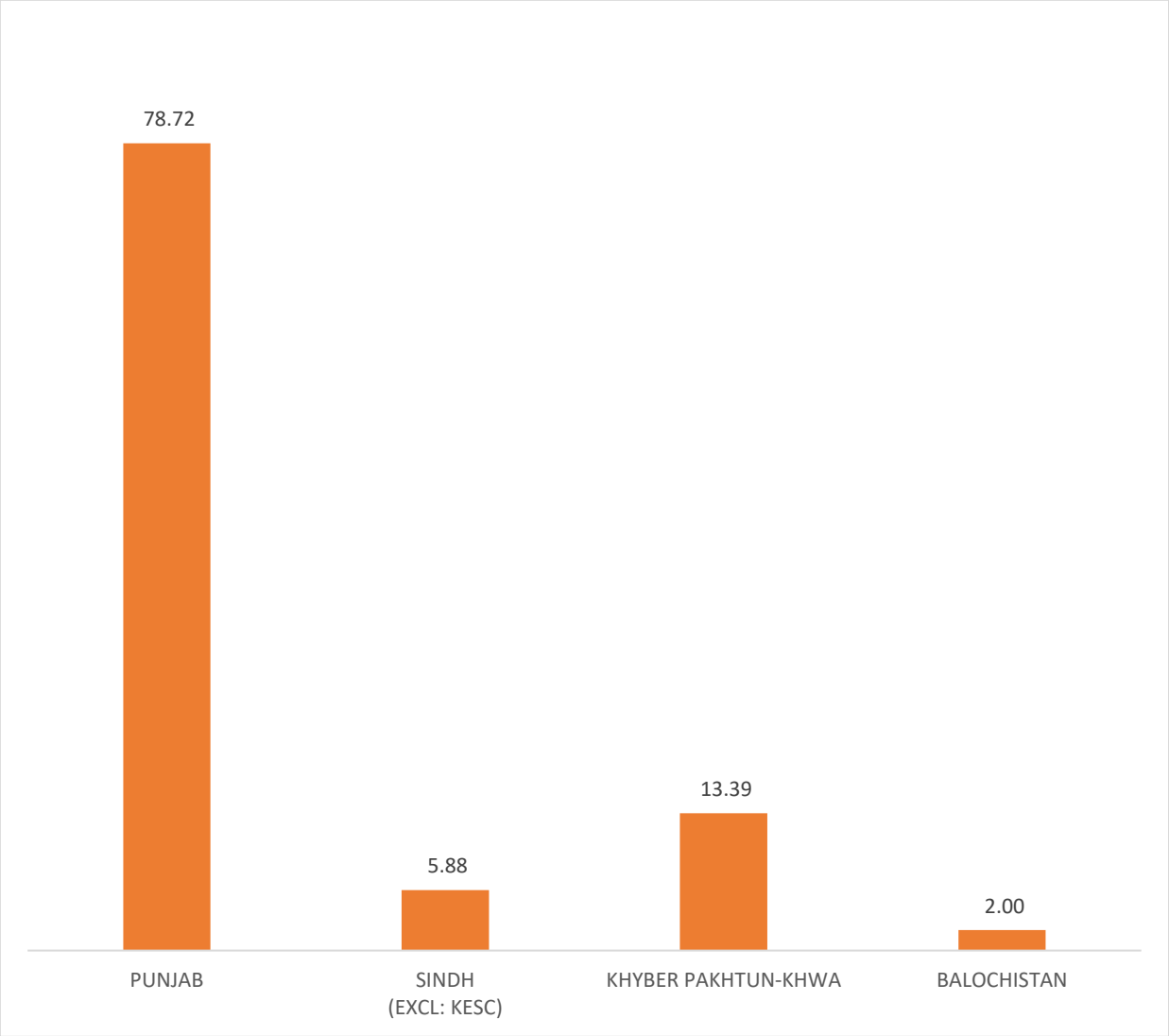

Figure 9.1 illustrates the percentage of consumers on WAPDA's system for 2022–23, The data reveals that Punjab accounts for the highest share of consumers at 78.72%, followed by Khyber Pakhtunkhwa (KPK) with 13.39%, and Sindh (including K-Electric) with 5.88%, while Balochistan has the lowest percentage at 2.01%. Overall, the figure indicates that the majority of WAPDA's consumers are concentrated in Punjab, reflecting its larger population base and higher demand for electricity compared to other provinces.

Table 9.2 Percentage of Electricity Consumers in Balochistan 2022-23

Year	Domestic	Commercial	Industrial	Agriculture	Others
2022-23	74	19.4	0.5	4.3	1.8

Figure 9.2 Percentage of Electricity Consumers in Balochistan 2022-23

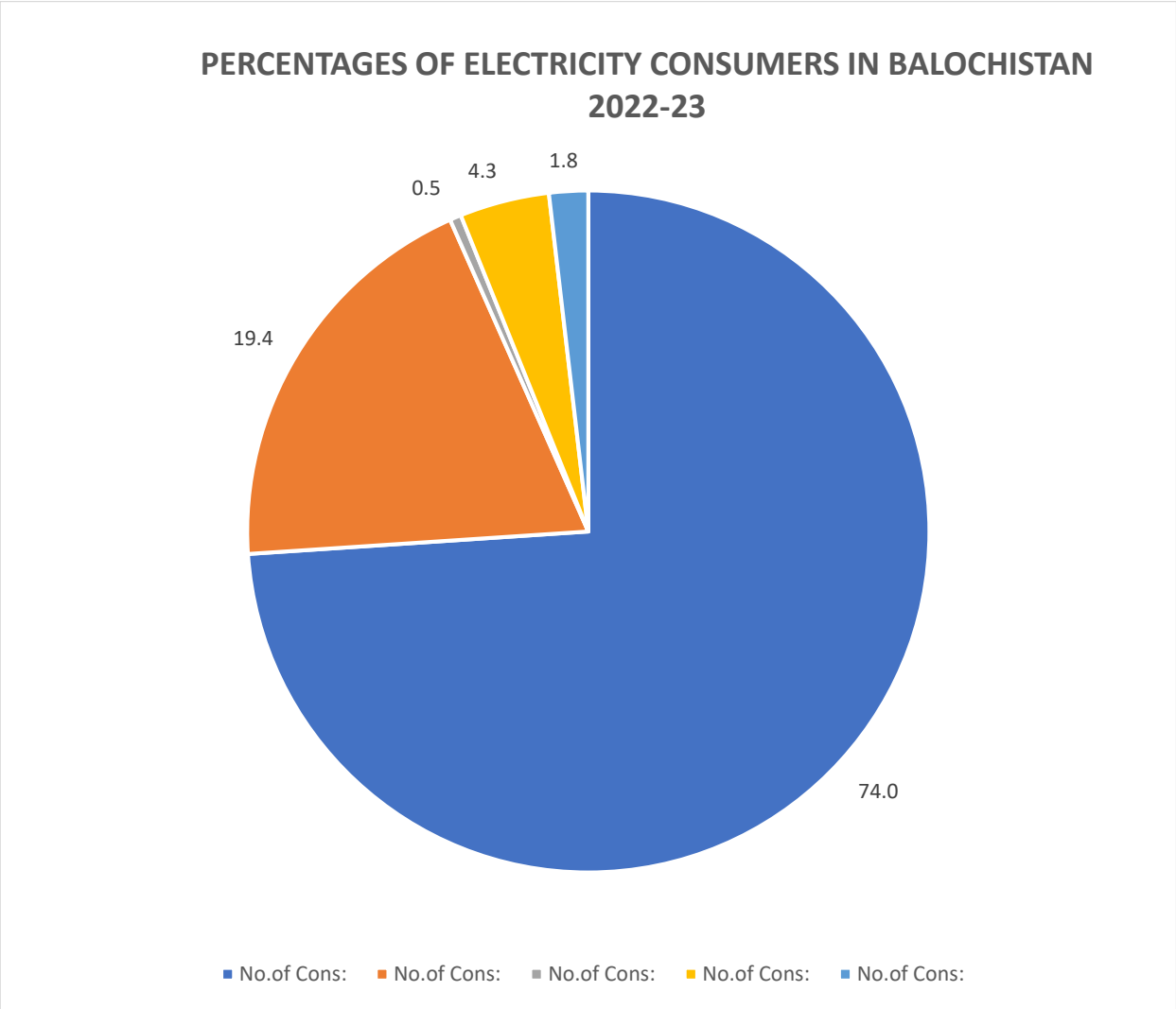

Figure 9.1 illustrates the percentage share of electricity consumers in Balochistan for 2022–23**.** The data show that the domestic category constitutes the largest share, accounting for 74% of the total consumers. The agriculture sector follows with 19.4%**,** while the commercial sector represents 4.3%**.** The industrial and others categories have comparatively smaller shares of 0.5% and 1.8%**,** respectively. This distribution indicates that domestic consumers form the majority of electricity users in Balochistan, underscoring the importance of electricity in fulfilling the province's household energy requirements.

Table 9.3 Percentage of Electricity Consumption in Balochistan 2022-23

Year	Domestic	Commercial	Industrial	Agriculture	Others
2022-23	12.7	2.4	3.6	71.5	9.8

Figure 9.3 Percentage of Electricity Consumption in Balochistan 2022-23

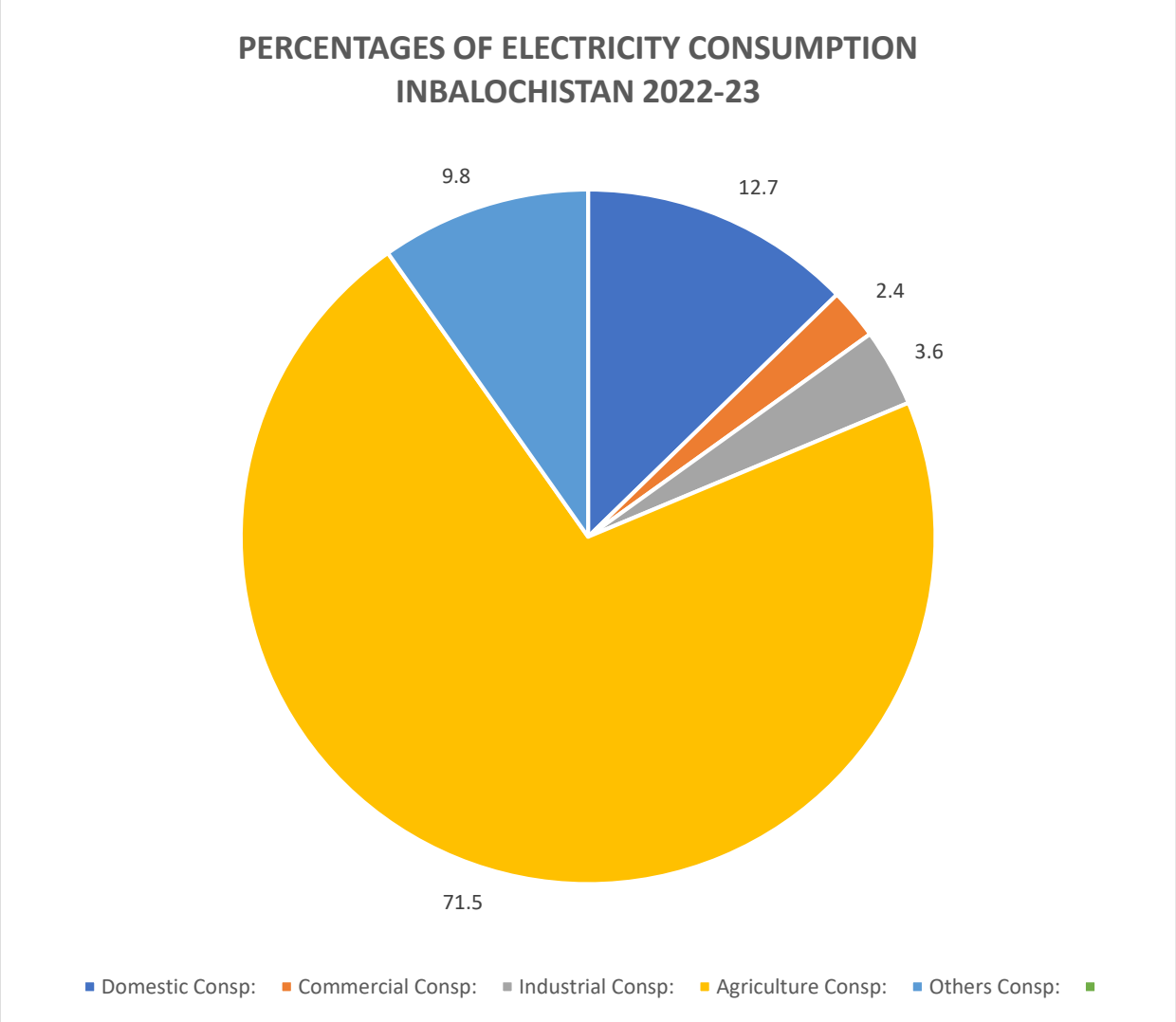

Figure 9.3 illustrates the percentage share of electricity consumption in Balochistan for 2022–23. The data indicate that the agriculture sector accounts for the largest share of electricity consumption at 71%**,** followed by the domestic sector with 13%**.** The industrial and commercial sectors contribute 4% and 2%**,** respectively, while the remaining 10% is utilized by other sectors. This sectoral distribution highlights the dominant role of agriculture in electricity consumption across Balochistan, reflecting the province's strong dependence on this sector for its energy needs.

Chapter 10

LABOR

OVERVIEW OF LABOR SECTOR IN BALOCHISTAN

The labor sector in Balochistan exhibits both potential and persistent challenges. According to the data, the province has a labor force participation rate of 40.4%, slightly below the national average, but it boasts the lowest unemployment rate in the country at 10.7%. This suggests that while fewer people are formally part of the labor force, those who are tend to find employment, likely in informal, agriculture-based, or subsistence sectors. The employment rate of 29.6% is relatively high, indicating that Balochistan's labor market, though limited in scale, is relatively absorptive.

However, the province also faces significant structural issues. A high dependency ratio (59.6%) reflects a large non-working population, and the labor market is heavily skewed toward agriculture, livestock, and fisheries, i.e sectors that are vulnerable to climate variability and lack of infrastructure. The industrial and service sectors remain underdeveloped, and gender disparities are stark, with female labor force participation notably low due to cultural, educational, and infrastructural barriers. Despite these challenges, Balochistan's labor sector holds promise, particularly through investments in the blue economy, mining, and vocational training. With strategic planning and targeted interventions, the province could harness its demographic potential and natural resource base to drive inclusive economic growth.

Key Insights

Labor Force Participation: 40.4% (slightly below national average).

Employment Rate: 29.6% (second-highest after Sindh).

Unemployment Rate: Lowest among provinces at 10.7%.

Overall: Strong labor potential, especially in agriculture and fisheries.

Table 10. 1 Province Wise Data on Labor Force

	Total	Employed	Unemployed	Dependent population
Pakistan	44.9	27.1	17.8	55.1
Punjab	47.3	26.5	20.8	52.6
Sindh	43.8	30.6	13.3	56.2
KPK	39.5	24.9	14.7	60.5
Balochistan	40.4	29.6	10.7	59.6

Source: Labor Force Survey and Provincial Development Statistics

Figure 10.1 Labor Force comparison of Pakistan

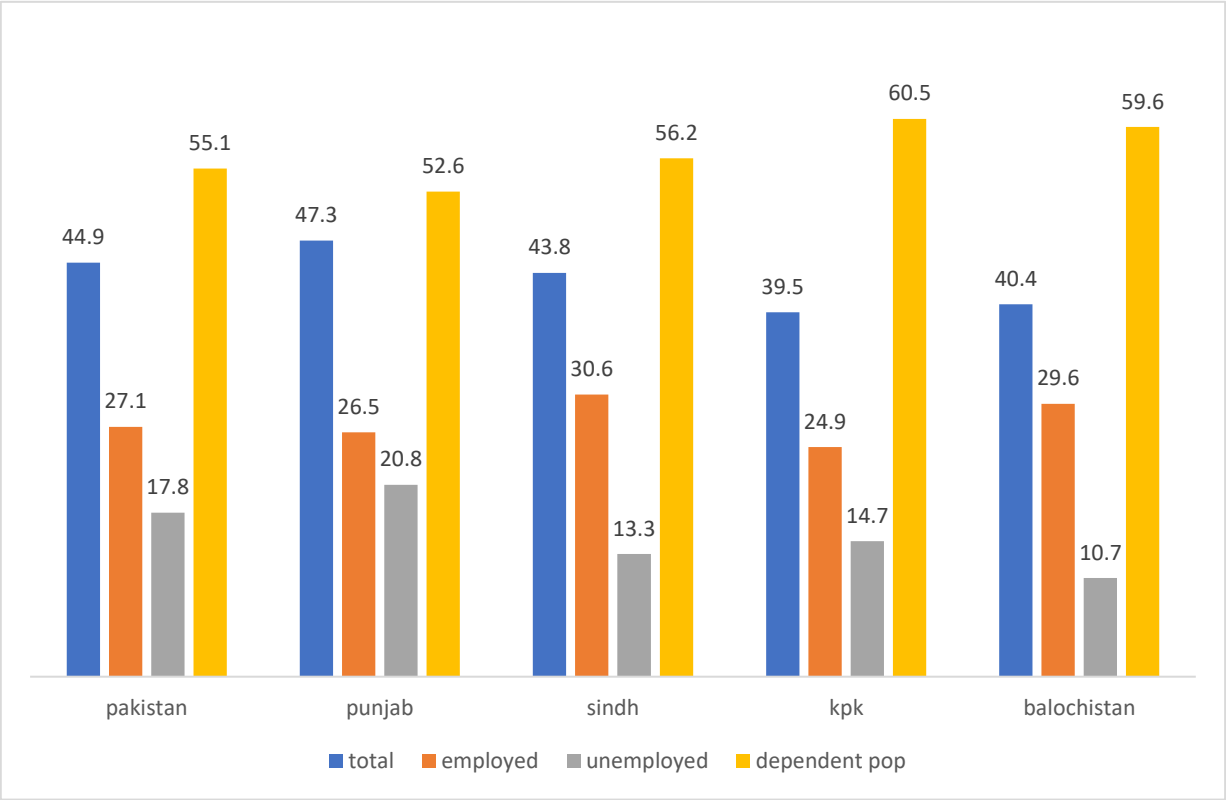

Figure 10.1 illustrates the labor force comparison of Pakistan**.** The figure compares various labor force indicators across the provinces. The data reveal that the dependent population in Pakistan constitutes 55.1%**,** indicating that a significant portion of the population remains economically inactive. The unemployment rate stands at 17.8% of the total labor force, reflecting persistent job scarcity in the country. Among the provinces, Sindh records the highest employment rate at 30.6%**,** while Khyber Pakhtunkhwa (KPK) shows the lowest at 24.9%**.** Punjab has the highest unemployment rate at 20.8%**,** whereas Balochistan records the lowest at 10.7%**.** Furthermore, KPK has the largest share of the dependent population**,** indicating regional disparities in employment and labor force participation across Pakistan.

Chapter 11

BANKING AND FINANCE

OVERVIEW OF BANKING AND FINANCE SECTOR IN BALOCHISTAN

The banking and finance sector in Balochistan remain underdeveloped compared to other provinces. In terms of public finance, Balochistan recorded the lowest total provincial expenditure in 2023 at Rs. 613.6 billion, significantly trailing behind Punjab (Rs. 2 trillion) and Sindh (Rs. 1.2 trillion). A large portion of Balochistan's budget - over 59% - was allocated to current revenue expenditure, with education receiving the highest share. However, this investment has not translated into proportional improvements in educational outcomes, indicating inefficiencies in spending or delivery challenges.

On the revenue side, Balochistan generated the lowest provincial tax revenue, collecting only Rs. 30 billion in 2022–23 (Rs. 1.98 billion in direct taxes and Rs. 28 billion in indirect taxes). In contrast, Sindh collected over Rs. 966 billion in the same period. This stark disparity highlights the province's limited fiscal capacity and reliance on federal transfers. The low tax base is likely a reflection of the province's informal economy, limited industrial activity, and underutilized potential in sectors like mining and fisheries. Strengthening institutional capacity, expanding the formal economy, and improving financial inclusion are critical for enhancing Balochistan's fiscal resilience and enabling more effective public investment.

Key Insights

Lowest Total Expenditure: Rs. 613 billion vs. Punjab's Rs. 2 trillion.

Education: Gets highest current expenditure, yet outcomes remain poor.

Tax Revenue: Lowest among provinces - Rs. 30 billion (vs. Sindh's Rs. 966 billion).

Overall: Fiscal capacity is limited; needs federal support and better revenue mobilization.

Table 11.1 Comparison of Provincial Expenditures 2023

Budget Estimated 2022-23	Balochistan	Punjab	Sindh	KPK
Development Expenditure	246,928	366,431	453,633	418,157
Current Revenue Expenditure	366,718	1,669,288	1,199,296	872,578
Total	**613,646**	**2,035,719**	**1,200,382**	**1,290,700**

(Rupees in million)

Figure 11.1 Comparison of Provincial Expenditures 2023

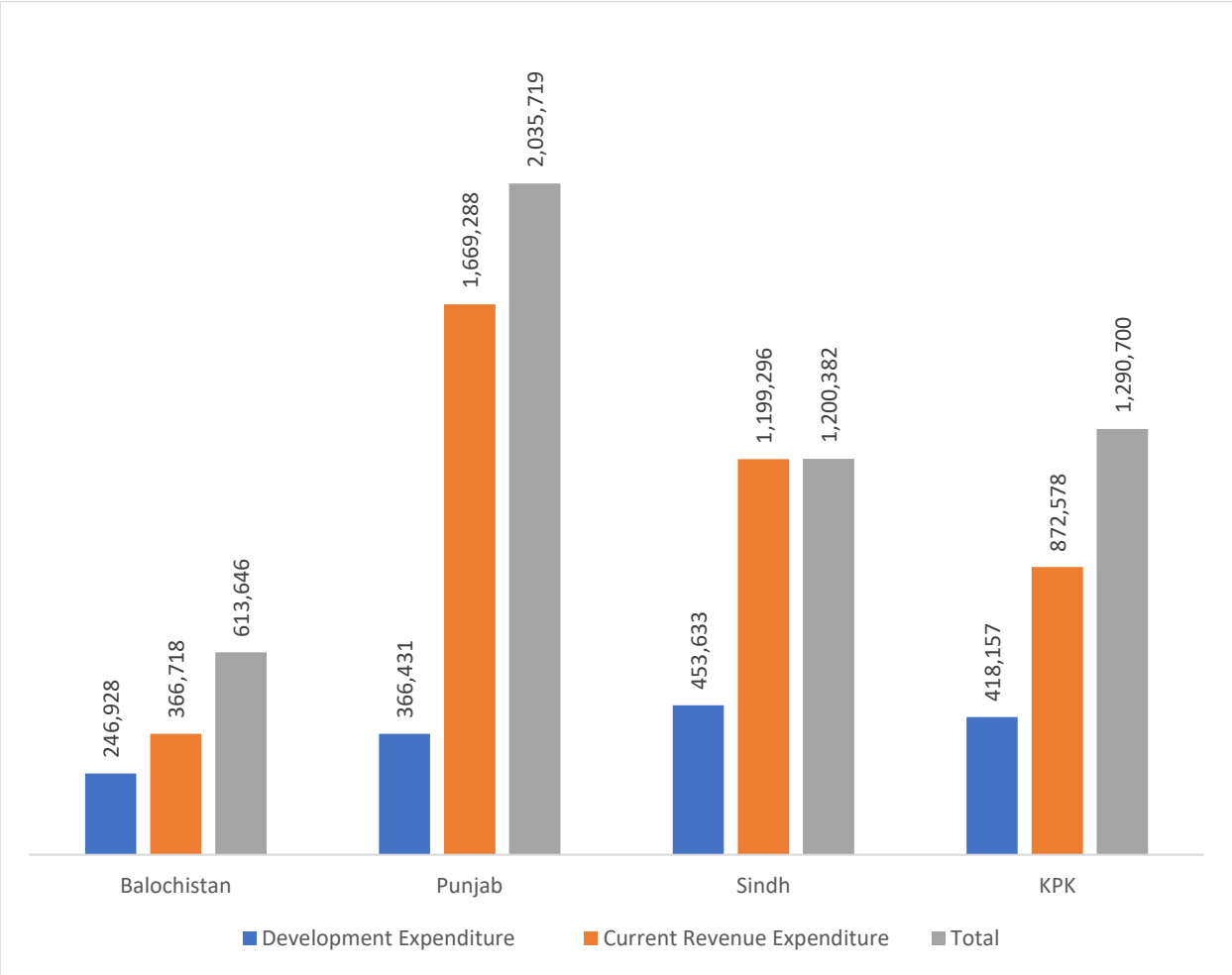

Figure 11.1 illustrates the comparison of provincial expenditures for 2023**.**The data indicate that Punjab recorded the highest total expenditure at Rs. 2,035,719 million, primarily driven by a substantial current revenue expenditure. In contrast, Balochistan registered the lowest total expenditure at Rs. 613,646 million among all provinces. Across all provinces, current revenue expenditure remains considerably higher than development expenditure**,** reflecting a greater allocation towards operational and maintenance **costs** as compared to new development initiatives**.**

Table 11.2 Comparison of Estimated Current Expenditure 2022-23

Budget Estimated 2022-23	Balochistan	Punjab	Sindh	KPK
General Public Services	80,564.66	10,39,054.00	3,41,559.16..	4,38,578.00
Public Orders & Safety Affairs	56,021.83	208,675.00	148,191.44	110,515.00
Economic Affairs	66,871.44	151,357.00	154,850.01	50,964,00
Environment Protection	490.42	632	1,395.55	264
Housing & Community Amenities	27,074.44	94,450.00	11,921.42	19,007.00
Health	43,813.86	188,914.00	198,942.37	161,169.00
Recreation, Culture & Religion	3,660.22	5,340.00	16,921.66	6,531.00
Education Affairs & Services	83,211.48	88,574.00	296,559.00	55,692.00
Social Protection	5,009.27	19,937.00	28,848.50	29,498.00
Total Expenditure	**366,717.61**	**1,669,288.00**	**1,199,296.60**	**872,543.00**

Figure 11.2.1 Comparison of Estimated Current Expenditure 2022-23

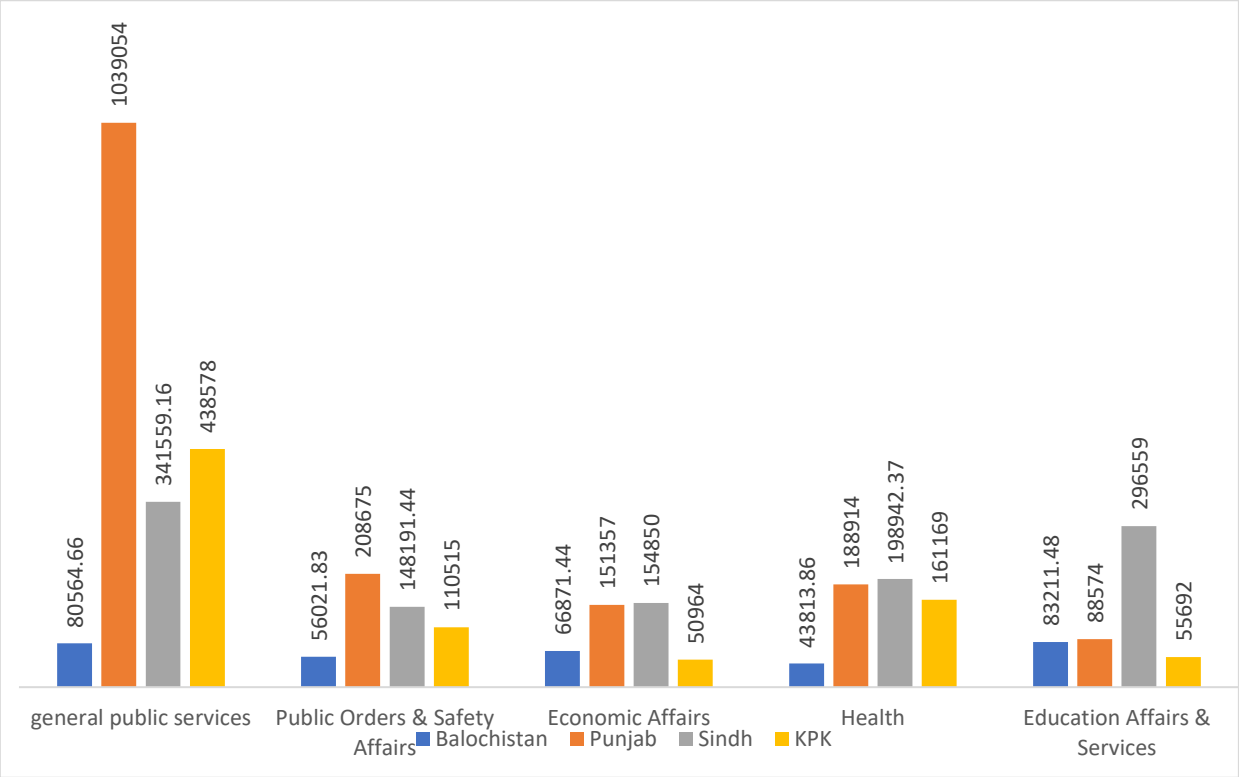

Figure 11.2.1 illustrates the comparison of estimated current expenditure for 2022–23. The data reveal that Punjab recorded the highest expenditure in General Public Services Rs. 1,039,054 million, followed by significant allocations in Public Order and Safety Affairs Rs. 206,875 million and Health Rs. 188,914 million. In the Health sector, however, Sindh reported the highest expenditure among the provinces, amounting to Rs. 198,942.37 million, while also recording a substantial allocation of Rs. 296,259 million in Education Affairs and Services. Balochistan, on the other hand, reflects comparatively lower expenditure across most sectors. Overall, the bar graph highlights that the major share of the provincial budgets is devoted to General Public Services, indicating a continued emphasis on administrative and governance-related functions.

Figure 11.2.2 Comparison of Budget Estimates 2022-23

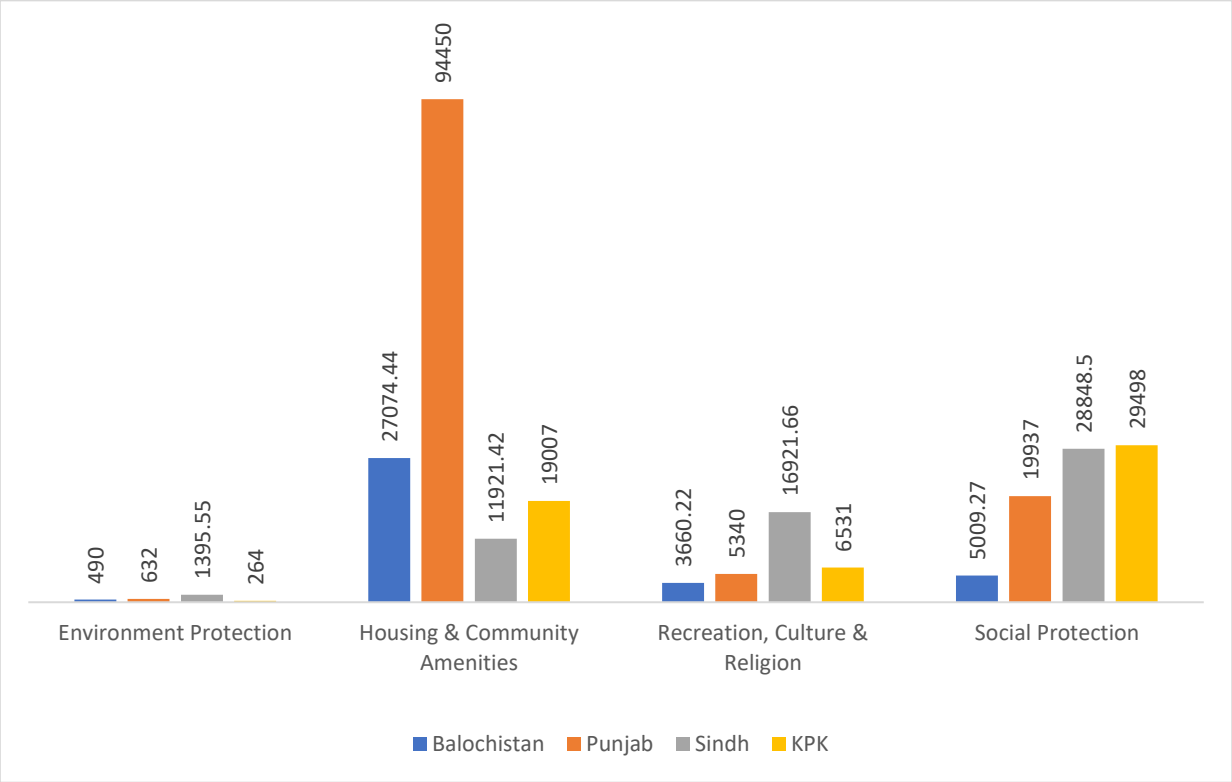

Figure 11.2.2 illustrates the comparison of budget estimates for 2022–23 across provinces, including Balochistan, Punjab, Sindh, and Khyber Pakhtunkhwa (KPK). The data show that Punjab has the highest budget estimate in Housing and Community Amenities, amounting to Rs. 94,450 million. In the category of Recreation, Culture, and Religion, Sindh leads with an allocation of Rs. 16,921.66 million, while in Social Protection, KPK records the highest budget estimate at Rs. 29,498 million. Balochistan, however, exhibits comparatively lower budget allocations across all sectors. Overall, the data highlight provincial variations in budget priorities, reflecting differing development focuses among the provinces.

Figure 11.2.3 Total Expenditure

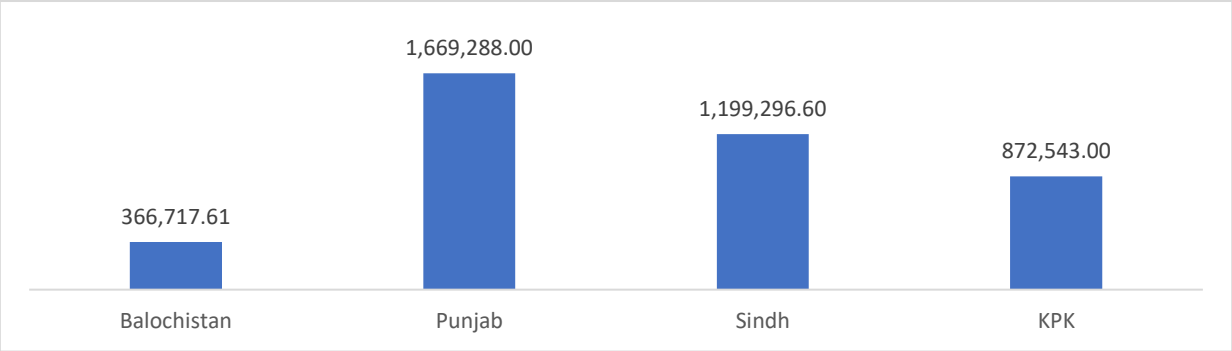

Figure 11.2.3 illustrates the total expenditure across provinces in Pakistan. The data indicate that Punjab recorded the highest total expenditure at Rs. 1,669,288.00 million, followed by Sindh with Rs. 1,199,296.60 million**.** Khyber Pakhtunkhwa (KPK) reported a total expenditure of Rs. 872,543.00 million**,** while Balochistan registered the lowest total expenditure at Rs. 366,717.61 million**.** Overall, the data reflect a significant variation in total expenditures among the provinces, highlighting differences in fiscal priorities and resource allocations across Pakistan.

Table 11.3 Comparison of Provincial Tax Revenue 2022-23

(Rupees in million)

Tax	**Balochistan**	**Punjab**	**Sindh**	**KPK**
Direct	1,986.38	50,812.00	352,727.67	235,296.00
Indirect	28,012.68	272,473.00	613,547.15	215,481.00

Figure 11.3 Comparison of Provincial Tax Revenue 2022-23

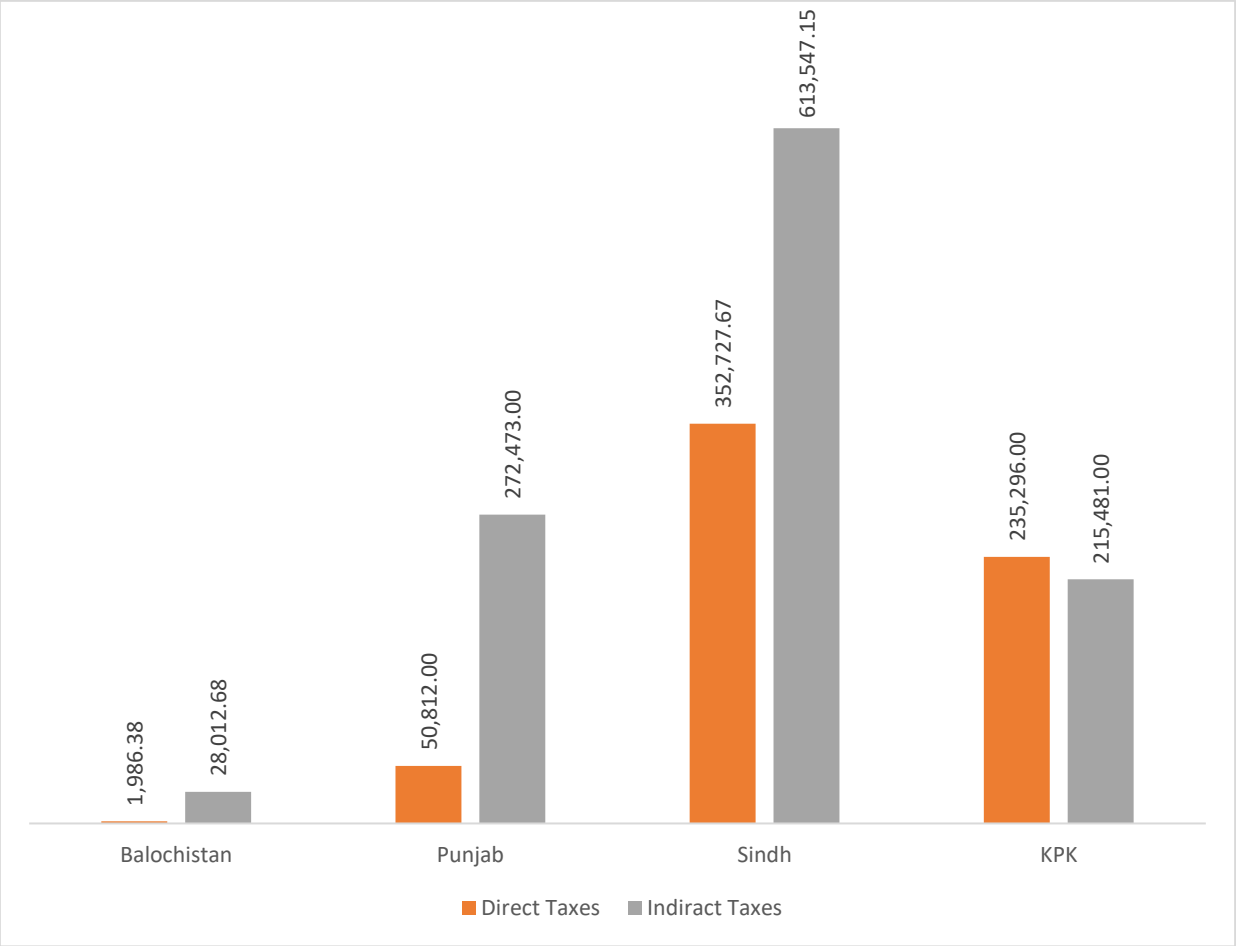

Figure 11.3 illustrates the comparison of provincial tax revenue for 2022–23**,** disaggregated into direct and indirect taxes**.** The data reveal that Sindh recorded the highest revenue in both categories, with Rs. 352,727.67 million in direct taxes and Rs. 613,547.15 million in indirect taxes, while Balochistan reported the lowest tax revenues in both categories. Overall, the data highlight provincial disparities in tax generation, with Sindh emerging as the leading contributor to provincial tax revenue among Balochistan, Punjab, Sindh, and Khyber Pakhtunkhwa (KPK)**.**

Chapter 12

ROAD

OVERVIEW OF ROADS IN BALOCHISTAN

The road infrastructure in Balochistan remains significantly underdeveloped compared to other provinces. The province has a total road length of 45,872 kilometers, which is the lowest among all provinces despite being the largest in terms of land area. Of this, 27,193 kilometers are high-type roads (paved and suitable for heavy traffic), while 20,374 kilometers are low-type roads (unpaved or basic roads), indicating a heavy reliance on rudimentary infrastructure. Notably, Balochistan lacks expressways and metro roads entirely, and its share of motorways and primary roads is minimal compared to Punjab and Sindh.

The road classification data further highlights the disparity: Balochistan has only 377 kilometers of motorways and 138 kilometers of primary roads, with the majority of its network comprising local roads (34,315 km). This limited and uneven distribution of road types reflects the broader challenges of connectivity and accessibility across the province's vast and sparsely populated terrain. The absence of expressways and metro infrastructure underscores the need for targeted investments in transport development. Improving road infrastructure is critical not only for enhancing mobility, accessibility, and service delivery but also for unlocking economic potential in sectors like agriculture, mining, and tourism.

Key Insights

Total Road Length: 45,872 km (lowest among provinces).

High-Type Roads: 27,193 km; Low-Type Roads: 20,374 km (highest proportionally).

Infrastructure Gaps: No expressways or metro roads.

Overall: Infrastructure gaps are hindering connectivity and service delivery.

Table 12.1 Total Road Length Distribution by Province

Province	Road Length in kilometers
Balochistan	45872
Sindh	92141
KPK	58928
Punjab	280104

Source: National transport research Centre

Figure 12.1 Total Road Length Distribution by Province

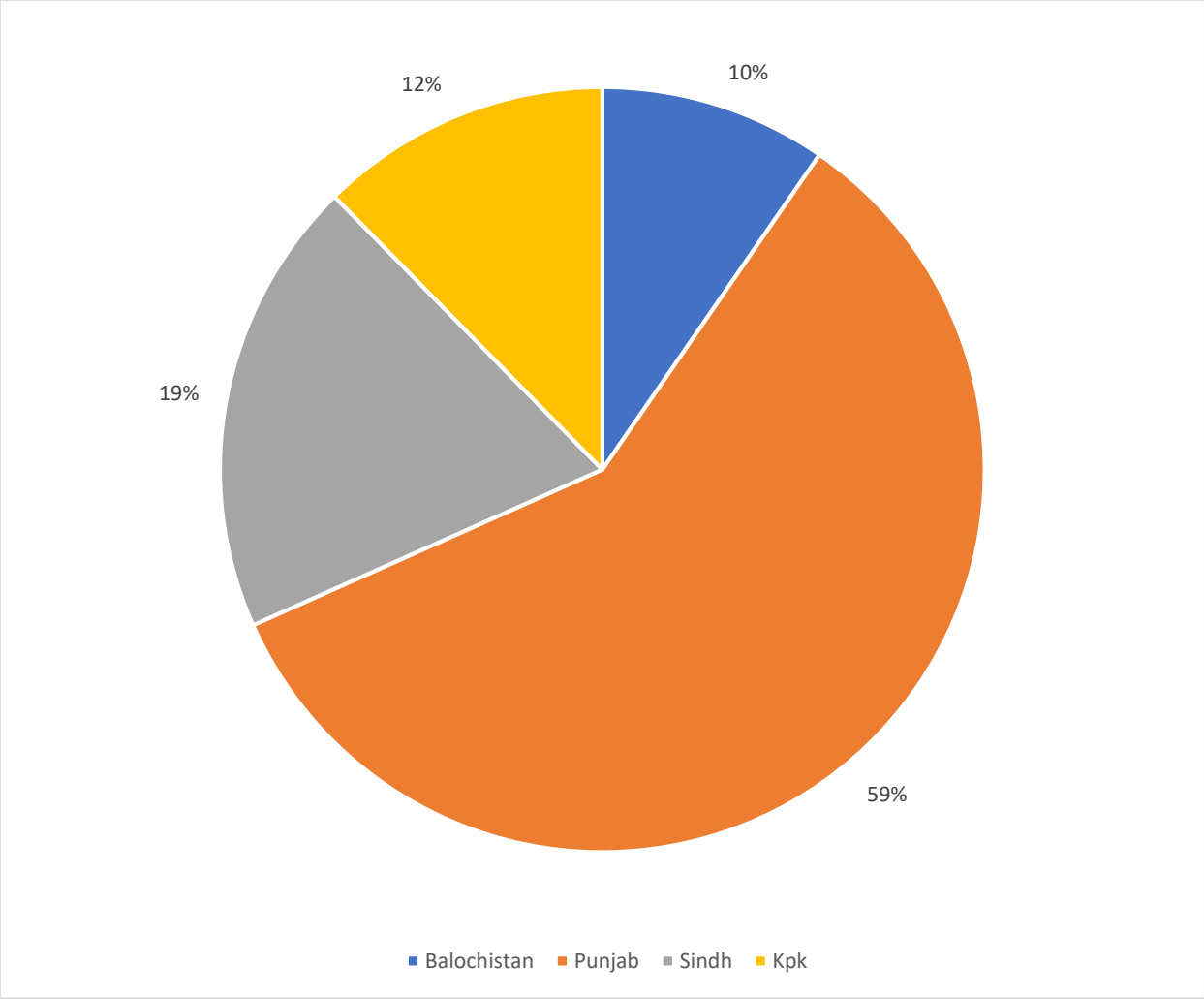

Figure 12.1 illustrates the distribution of total road length by province in Pakistan. Punjab accounted for the largest share at 59%, followed by Sindh with 19%, Khyber Pakhtunkhwa with 12%, and Balochistan with 10%. The data highlight regional disparities in road infrastructure, with Punjab having the most developed network.

Distribution of High-Type Roads by Province

High-type roads are well-constructed, paved roads such as motorways, expressways, and highways designed for smooth, fast and heavy traffic flow.

Table 12.2 Distribution of High-Type Roads by Province

Province	High-Type Roads in Kilometers
Balochistan	27193
KPK	24197
Punjab	85275
Sindh	30128

Source: Provincial Development Statistics

Figure 12.2 High Type Roads of Provinces in Km

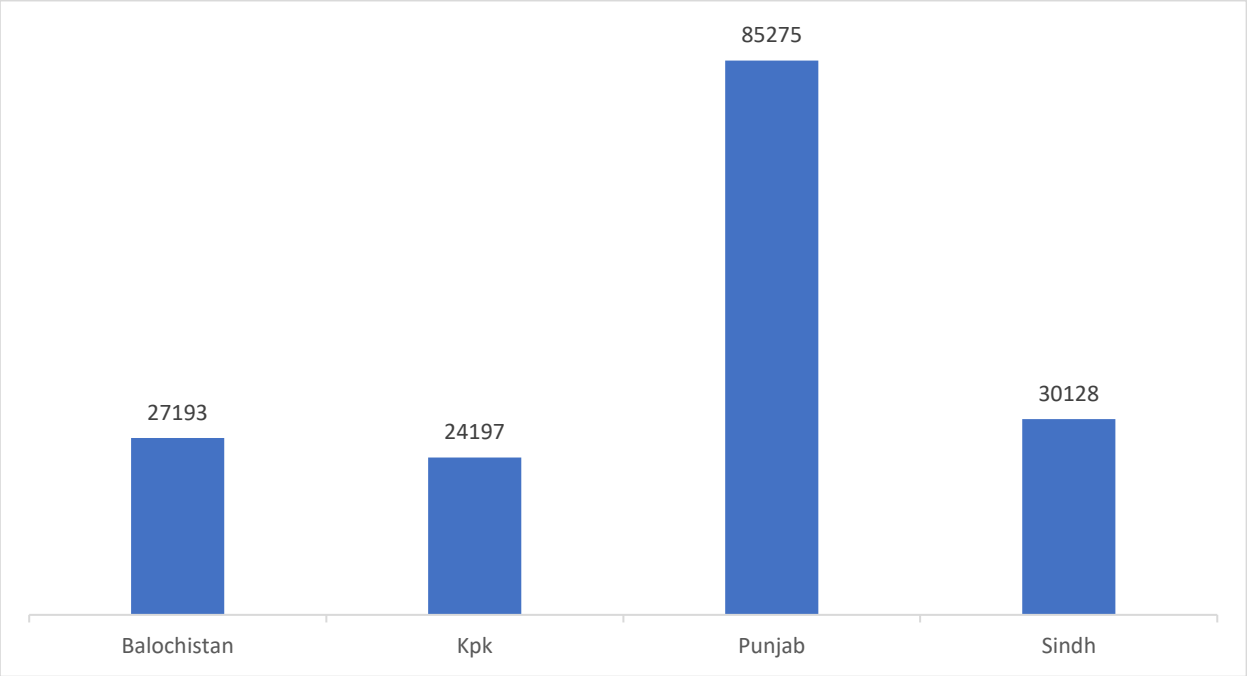

Figure 12.2 illustrates the Hi-Type Roads in Pakistan, Punjab's high-type road network stands at 85,275 km, far surpassing the other provinces, with Sindh and Balochistan having about one-third of this length, and KPK having the least, highlighting a critical need for upgrading road infrastructure in the latter provinces.

Distribution of Low-Type roads by Province

Low-Type roads are basic, often unpaved roads with lower construction standards, typically found in rural or less-developed areas and used for light or local traffic.

Table 12.3 Distribution of Low-Type roads by Province

Province	Low-Type Roads in Kilometers
Balochistan	20374
KPK	5906
Punjab	3673
Sindh	NA

Source: Provincial Development Statistics

Figure 12.3 Low-Type Roads in Km

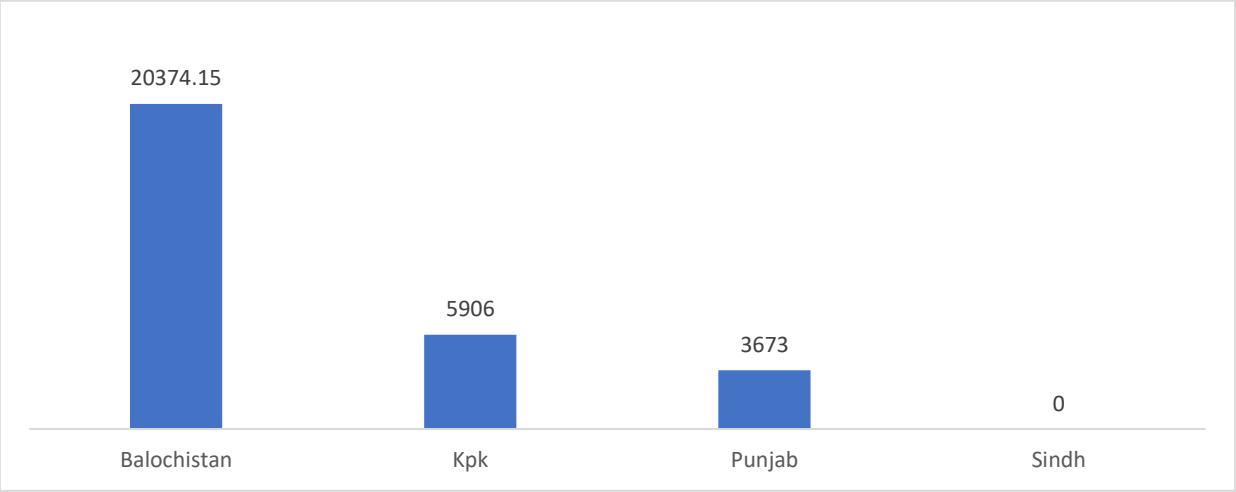

The figure 12.3 illustrates that the distribution of low-type roads across Pakistan shows significant variation. Balochistan leads with 20374 km, reflecting its reliance on underdeveloped infrastructure. KPK follows with 5906 km, while Punjab reports 3673 km, indicating better infrastructure. The data pertaining to low-type roads in Sindh is currently not available.

Road Classification by Type

Motorways: High speed, fully access-controlled roads designed for long distance inter-city travel.

Expressways: Limited access roads allowing high-speed travel with fewer entry and exit points.

Highways: Major public roads connecting cities, towns and regions allowing mixed traffic access.

Primary Roads: Roads that connects major cities and serves as main routes within a province.

Secondary Roads: Roads that links smaller town and villages to main roads.

Local Roads: Roads providing access within cities, towns or villages for local traffic.

Metro Roads: Roads used for public transport within busy city areas.

Table 12.4 Distribution of Road Type by province in Km

Province	Motorways	Expressways	Highways	Primary Roads	Secondary Roads	Local Roads	Metro Roads	Total
Balochistan	377	0	5076	138	5966	34315	0	45872
Punjab	1291	185	14556	2343	46997	214685	46	280108
Sindh	591	37	5819	1456	16662	67564	12	92141
KPK	200	149	4587	217	12914	40860	0	58928

Source: National Transport and research center

Figure 12.4.1 Distribution of Road Type by province in Km

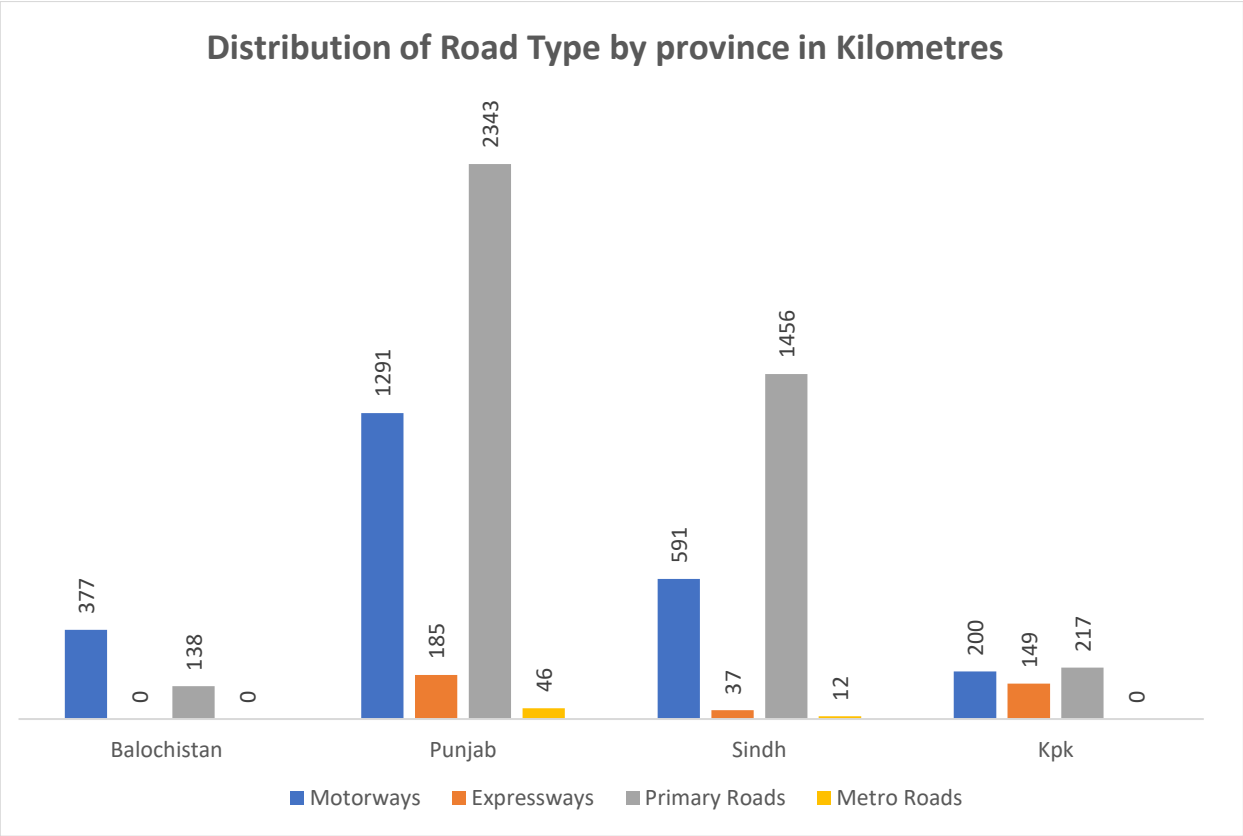

Figure 12.4.1 illustrates the distribution of Road type by province. Punjab stands out with the most extensive network, particularly in motorways (1,291 km) and primary roads (2,343km). Sindh follows with moderate development, including 591 km of motorways and 1,456. 31 km of primary roads, though its expressways (37 km) and metro roads (12 km) are limited. Khyber Pakhtunkhwa (KPK) presents a modest yet fairly balanced distribution, with 200 km of motorways, 149 km of expressways, and 217 km of primary roads, but it lacks metro road infrastructure. In contrast, Balochistan shows the least development, with no expressways or metro roads, and only 377 km of motorways and 138 km of primary roads, highlighting a significant infrastructure gap in the province.

Figure 12.4.2 Distribution of Road Type by province in Km

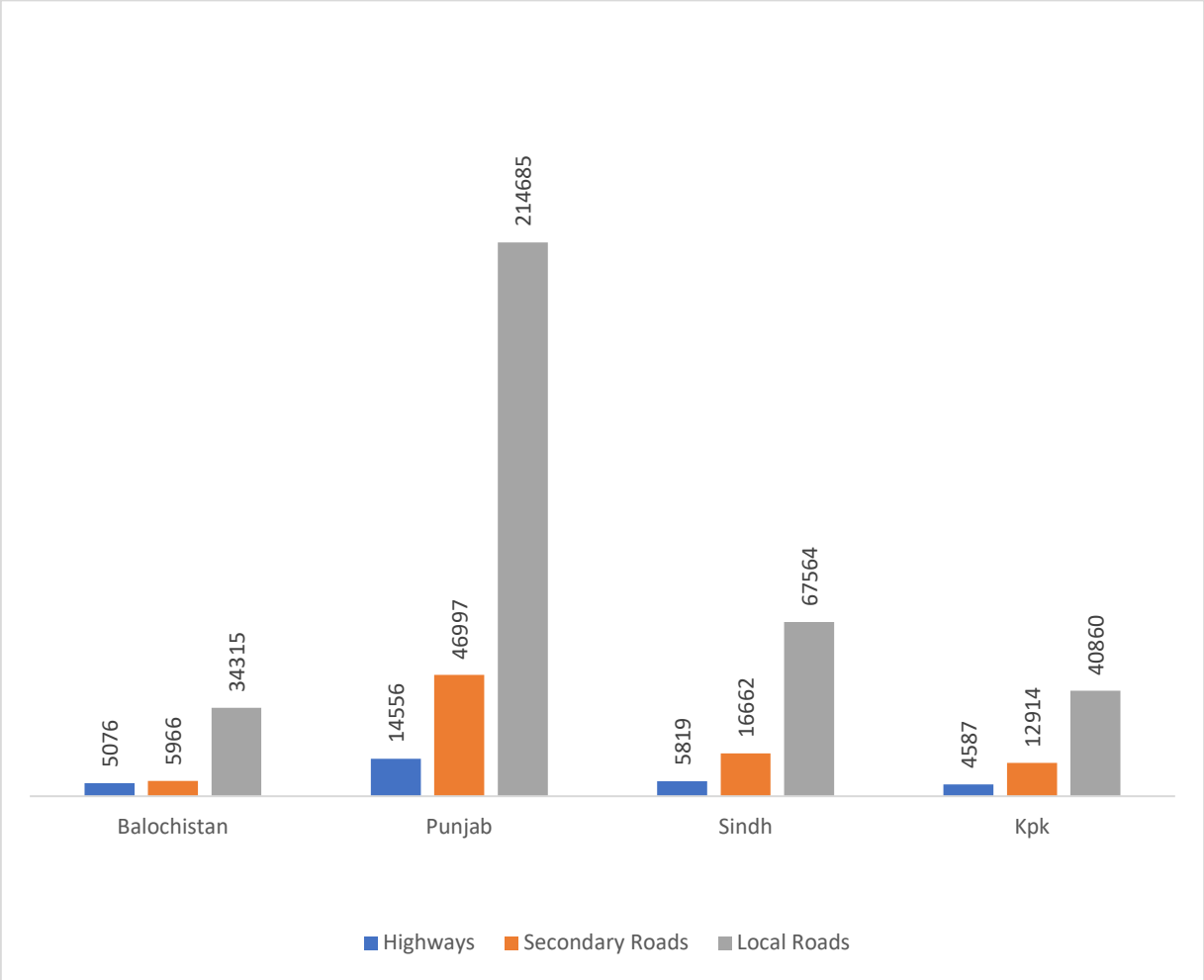

Figure 12.4.2 illustrates the distribution of road type by province, Punjab has the most extensive road network, largely driven by its substantial length of local roads, totaling 214,685 kilometers. In contrast, Balochistan has the smallest overall road network. Sindh stands out for having a relatively large share of secondary roads, whereas KPK's road infrastructure is primarily composed of highways and local roads. Overall, the graph effectively highlights the regional disparities in road infrastructure across Pakistan's provinces.

Chapter 13

TRANSPORT

OVERVIEW OF THE TRANSPORT SECTOR OF BALOCHISTAN

The transport sector in Balochistan is characterized by low vehicle density and limited model diversity. In 2023, the province had a total of 657,439 registered vehicles, which was the lowest among all provinces. Motorcycles dominate the fleet with over 426,000 units, reflecting the rural and low-income nature of much of the population. Other vehicle types such as motorcars, jeeps, buses, and trucks are present in significantly smaller numbers compared to Punjab and Sindh. For instance, Balochistan had only 44,828 registered cars and 9,896 buses, compared to Punjab's 2 million cars and 110,000 buses.

The data also highlights a limited presence of public and commercial transport infrastructure. Rickshaws, trucks, and tractors are present but in modest numbers, and there is no mention of electric vehicles, suggesting that the province is yet to begin transitioning toward sustainable transport. The relatively low number of registered vehicles, especially in categories like buses and trucks, points to challenges in both passenger and freight mobility. This underlines the need for targeted investments in public transport systems, road safety, and vehicle regulation to improve connectivity and economic integration across Balochistan's vast and often remote terrain.

Insights

Registered Vehicles: 657,439 (lowest among provinces).

Main source of Mobility: Motorcycles dominate (426,946), indicating rural mobility.

Overall: Low vehicle ownership reflects affordability and infrastructure issues.

Table 13.1 Province Wise Registered Motor Vehicles for the Year 2023

	Balochistan	Punjab	Sindh	KPK
Type of Vehicles	**2023**	**2023**	**2023**	**2023**
Motor car ,Jeep & Wagons	44,828	2,068,000	1,550,384	**186,017**
Motor Cycle	426,946	18,434,000	6,259,783	1,452,656
Rickshaws	15,020	603,000	341,785	**92,571**
Buses/Mini Buses	9,896	110,000	28,016	**46,395**
Trucks	35,578	84,000	68,249	60,732
Tractors	19,655	531,000	56,871	52,585
Others	105,516	373,000	427,395	435,295
Total	**657,439**	**22,203,000**	**8,732,483**	**2,326,251**

Figure 13.1.1 Province Wise Number of Total Registered Vehicles in 2023

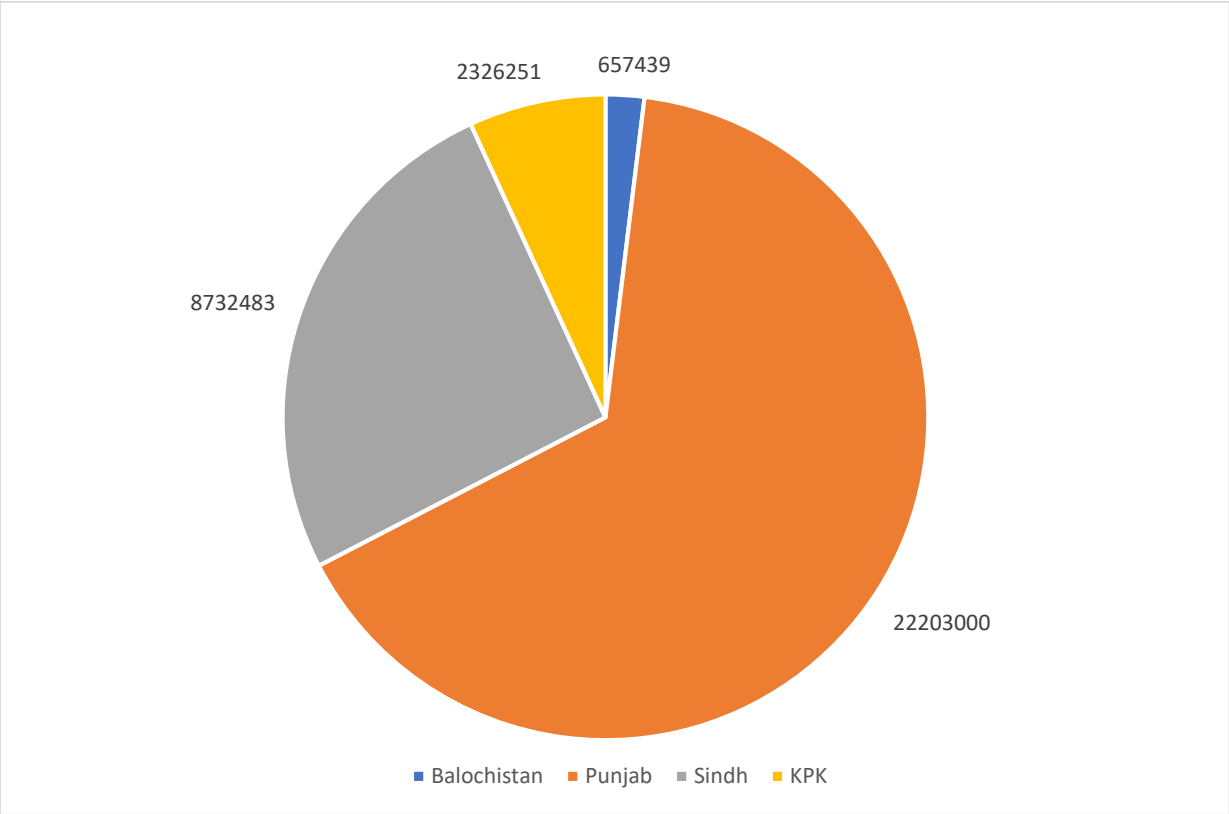

Figure 13.1.1 illustrates the province-wise number of total registered vehicles in Pakistan in 2023. Punjab has the highest number of registered vehicles with 22,030,000, followed by Sindh with 8,732,483. Khyber Pakhtunkhwa (KPK) has 2,326,551 registered vehicles, Balochistan has 657,439.

Figure 13.2 Province Wise Number of Vehicle Type in 2023

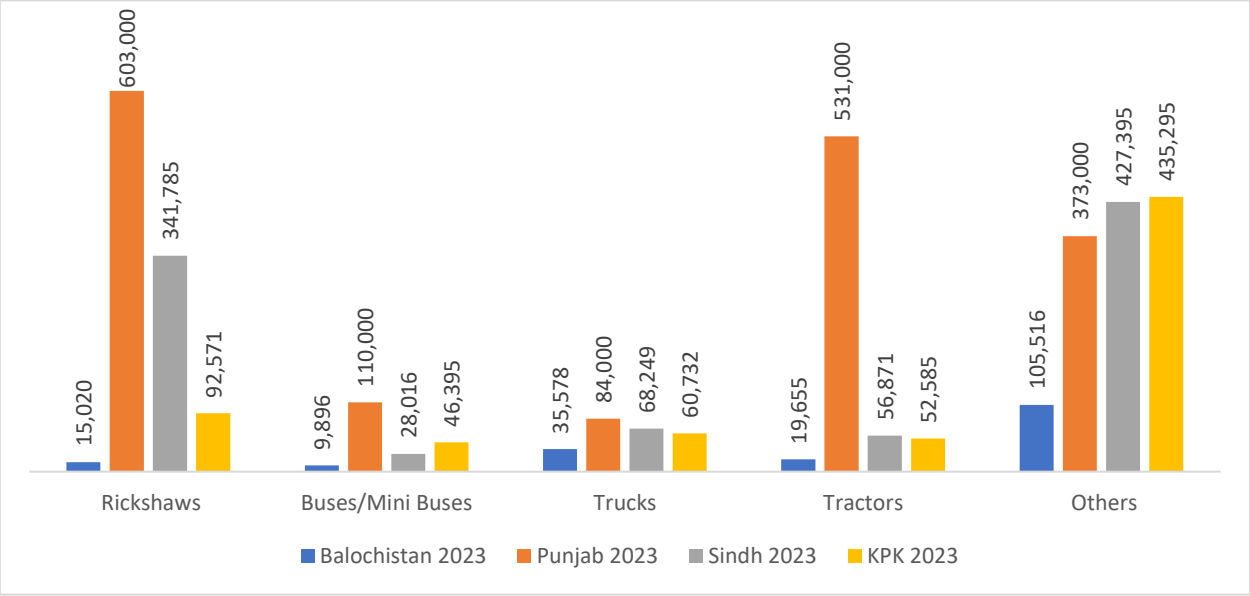

Figure 13.1.2 illustrates the province-wise number of vehicle types in 2023. Punjab recorded the highest numbers of Rickshaws (603,000), Tractors (531,000), and Others (373,000). Sindh had 341,785 Rickshaws and 105,516 Others, while Khyber Pakhtunkhwa had 435,295 Others. The data indicate that Punjab has the largest number of vehicles overall, followed by Sindh and Khyber Pakhtunkhwa.

Figure 13.1.3 Province wise Lightweight Transport Vehicle (LTV) Comparison 2023

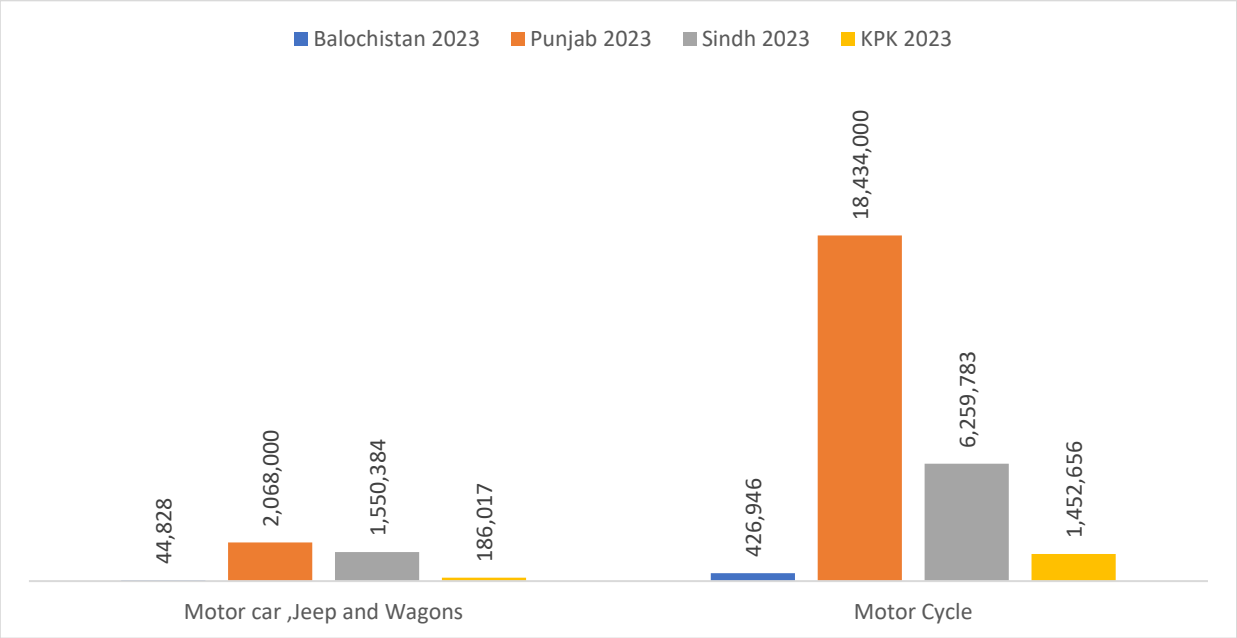

Figure 13.1.3 shows the province-wise number of registered vehicle types in Pakistan for 2023. Motorcycles have the highest number of registrations overall, followed by motor cars, jeeps, and wagons. Punjab leads in vehicle registrations across almost all categories, while Balochistan has the lowest number of registered vehicles.

Chapter 14

CRIMES AND ACCIDENTS

OVERVIEW OF CRIMES AND ACCIDENTS IN BALOCHISTAN

Balochistan reports the lowest overall crime rates in the country, both in terms of crimes against persons and property. In 2023, Balochistan recorded 2,091 cases of crimes against persons and 2,029 cases of crimes against property, accounting for just 3.3% and 0.37% of the national totals, respectively. This includes 949 cases of murder, 485 attempted murders, and 260 kidnappings or abductions. While the overall crime volume is low, the murder rate is relatively high in proportion to the province's population, suggesting localized violence or conflict in specific areas.

In terms of property-related crimes, Balochistan reported low figures across categories such as dacoities, vehicle theft, and burglary. However, it had a notable share in motorcycle theft/snatching (6.07% of the national total) and fatal accidents (7.11%). These figures may reflect both underreporting due to limited law enforcement coverage and the province's vast, sparsely populated geography. The data suggests that while Balochistan is relatively safer in terms of reported crime, there are critical areas, such as particularly violent crime and road safety, that require targeted interventions. Strengthening policing capacity, improving road infrastructure, and enhancing community-based safety mechanisms could help address these challenges more effectively.

Key Insights

Crime Rate: Lowest crime rates in both person and property categories. However, **murder rate is relatively high (8.72% of national total).**

Overall: While overall crime is low, targeted interventions are needed in high-risk areas.

Table 14.1 Crime Against Person Statistics

Description	Balochistan	Punjab	Sindh	KPK	Pakistan	Bal %age
Against Persons	**2091**	**42757**	**10141**	**8407**	**63396**	**3.3**
Murder	949	5028	1465	3437	10879	8.72
Attempt to murder	485	8829	2103	3898	15315	3.17
Rioting	326	2	2633	454	3415	9.55
Rape/Zina Biljaber	63	4152	273	297	4785	1.32
Kidnapping/Abduction	260	24746	3207	218	28431	0.91
Kidnapping for Ransom	8		116	25	149	5.37
Child Lifting	0		344	78	422	0

Figure 14.1 Crimes Against Person

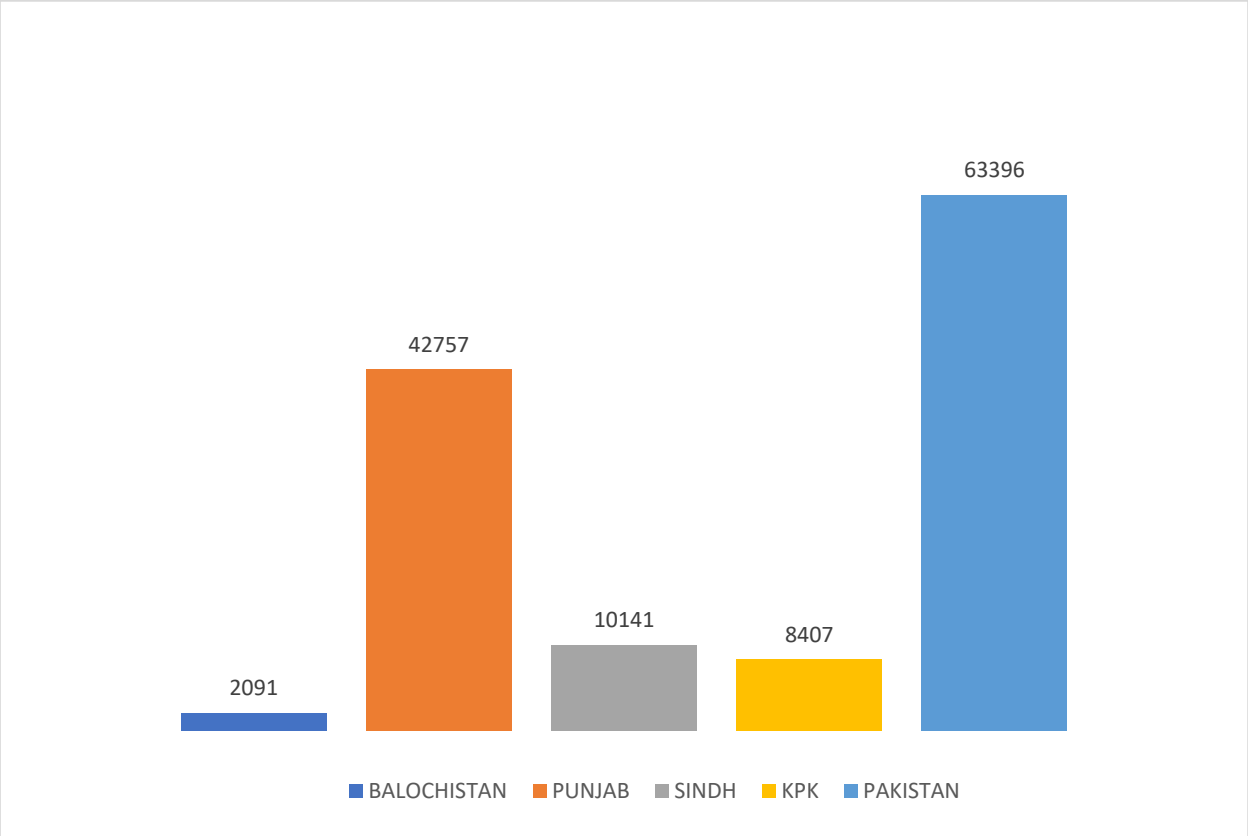

Figure 14.1 illustrates the number of crimes against person across different provinces in Pakistan**.** The data reveal that Punjab recorded the highest number of crimes against person**,** amounting to 42,757 cases**,** followed by Sindh with 10,141 cases**,** Khyber Pakhtunkhwa (KPK) with 8,407 cases**,** and Balochistan with 2,091 cases. Overall, Pakistan reported a total of 63,396 crimes against person. The data highlight significant provincial variations, with Punjab accounting for the largest share of such crimes among all provinces.

Table 14.2 Crime Statistics Comparison Across provinces

Description	Balochistan	Punjab	Sindh	KPK	Pakistan	Bal %age
Against Property.	**2029**	**519271**	**24421**	**9721**	**555442**	**0.37**
Dacoities/ Robberies	446	102740	4643	1077	108906	0.41
Motor Vehicle Theft/ Snatching	148	116917	1657	430	119152	0.12
Motor Cycle Theft/ Snatching	830	-	11483	1357	13670	6.07
Burglary (Excluding Motor Vehicle)	112	33767	2304	1584	37767	0.3
Other theft	185	244096	3460	1991	249732	0.07
Cattle theft	17	21751	354	-	22122	0.08
Fatal Accident	291	-	520	3282	4093	7.11
Total	**4120**	**562028**	**34562**	**18128**	**618838**	**0.67**

Figure 14.2 Crimes Against Property

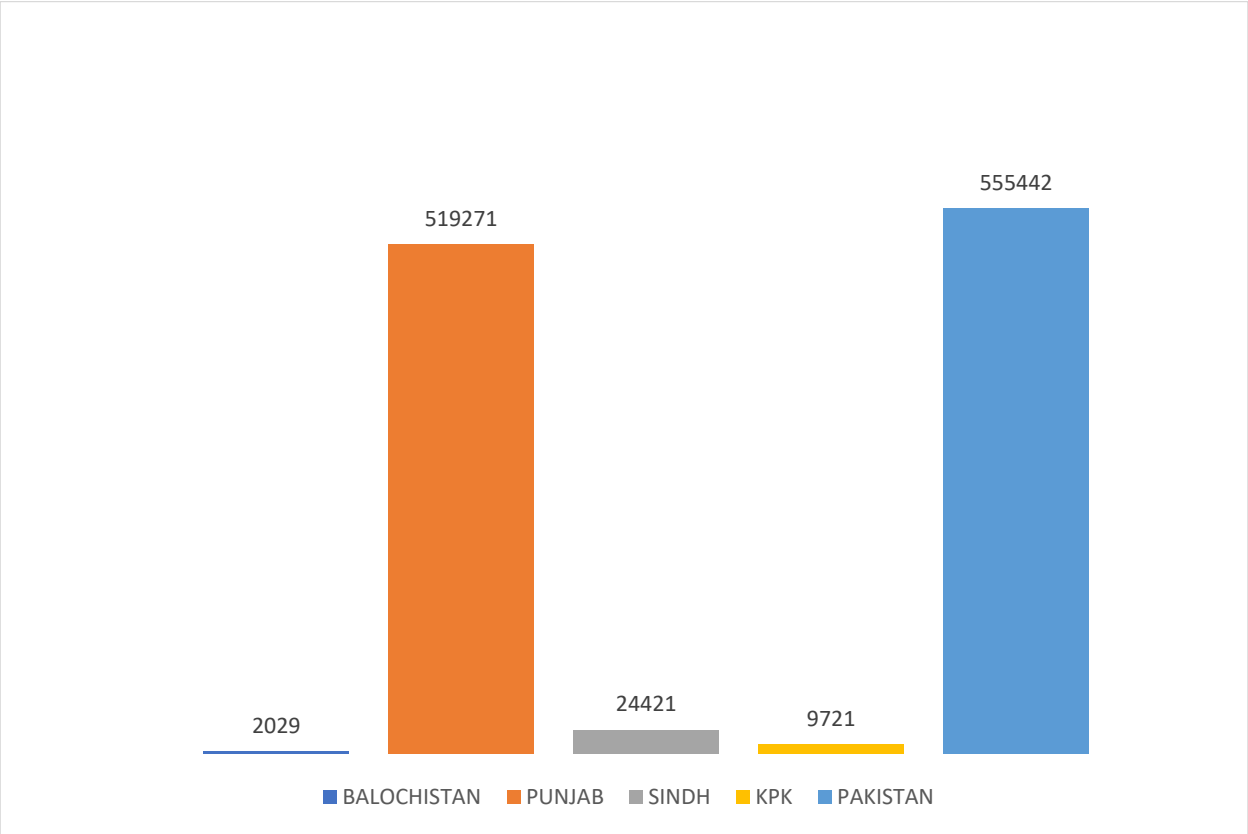

Figure 14.2 illustrates the number of crimes against property across different provinces in Pakistan**.** The data reveals that Punjab recorded **the** highest number of crimes against property, amounting to 519,271 cases**,** followed by Sindh with 24,471 cases, Khyber Pakhtunkhwa (KPK**)** with 9,721 cases**,** and Balochistan with 2,029 cases**.** Overall, Pakistan registered a total of 555,463 crimes against property**.** The data reflect pronounced provincial disparities, with Punjab accounting for the largest share of property-related crimes among all provinces.

Figure 14.3 Total Crimes (Person and Property)

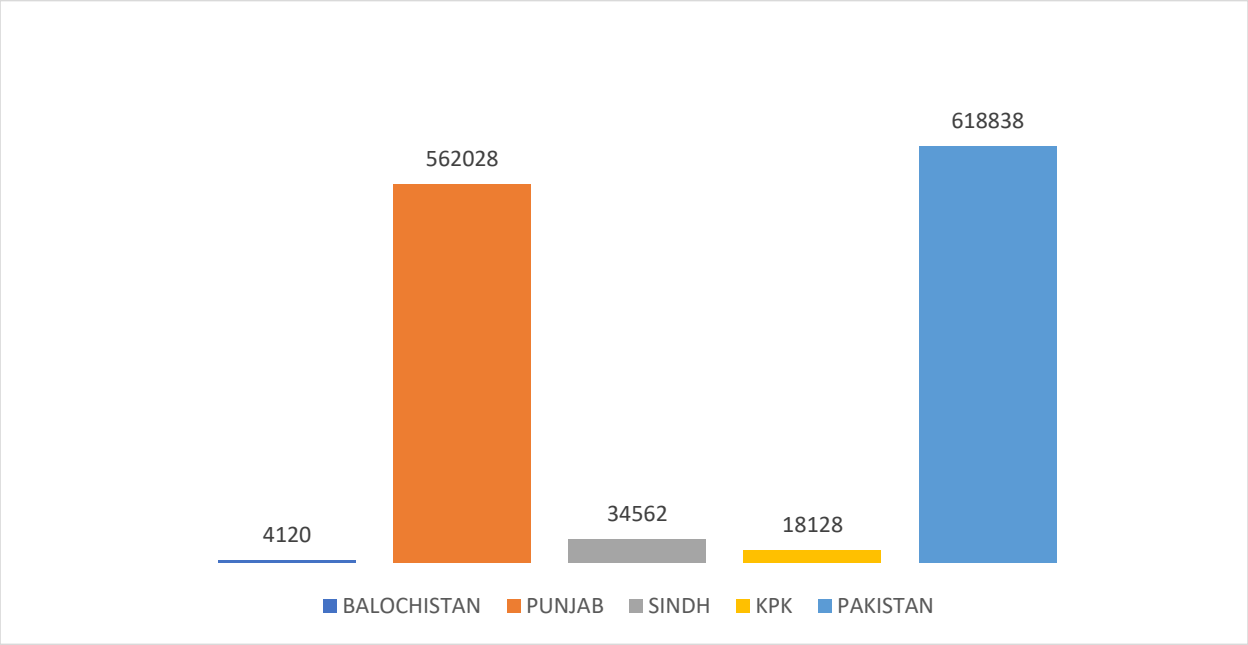

Figure 14.3 illustrates the Total Crimes (Person and Property) across different provinces in Pakistan. Punjab has the highest number of total crimes at 562028 among the provinces shown. Balochistan has 4120, Sindh has 34562, and KPK has 18128 total crimes. The data compares the total incidence of crimes across provinces like Balochistan, Punjab, Sindh, KPK, and the total for Pakistan.

Chapter 15

POST OFFICE

OVERVIEW OF POST OFFICES IN BALOCHISTAN

The postal office infrastructure in Balochistan is notably sparse and underdeveloped. The province has only 81 post offices, which is the lowest among all provinces by a significant margin. In comparison, Punjab has 2,475, Sindh has 1,836, and Khyber Pakhtunkhwa (KPK) has 1,242. This stark disparity highlights the limited reach of formal communication and postal services across Balochistan's vast and often remote terrain.

The limited number of post offices reflects broader infrastructural and service delivery challenges in the province. Given Balochistan's large geographic area and dispersed population, the lack of postal facilities severely restricts access to essential services such as mail delivery, financial transactions, and government correspondence, particularly in rural and underserved areas. Expanding the postal network, integrating digital services, and leveraging mobile post office models could play a critical role in improving connectivity, inclusion, and administrative outreach across the province.

Key Insights

Presence: Only 81 post offices in the entire province (vs. Punjab's 2,475).

Overall: Severe communication infrastructure gap; digital and postal connectivity should be prioritized.

Table 15.1 Total Number of Post Offices in Pakistan

Total No. of post-Offices	Balochistan	Punjab	Sindh	KPK
	81	2475	1836	1242

Figure 15.1 Total Number of Post Offices in Pakistan

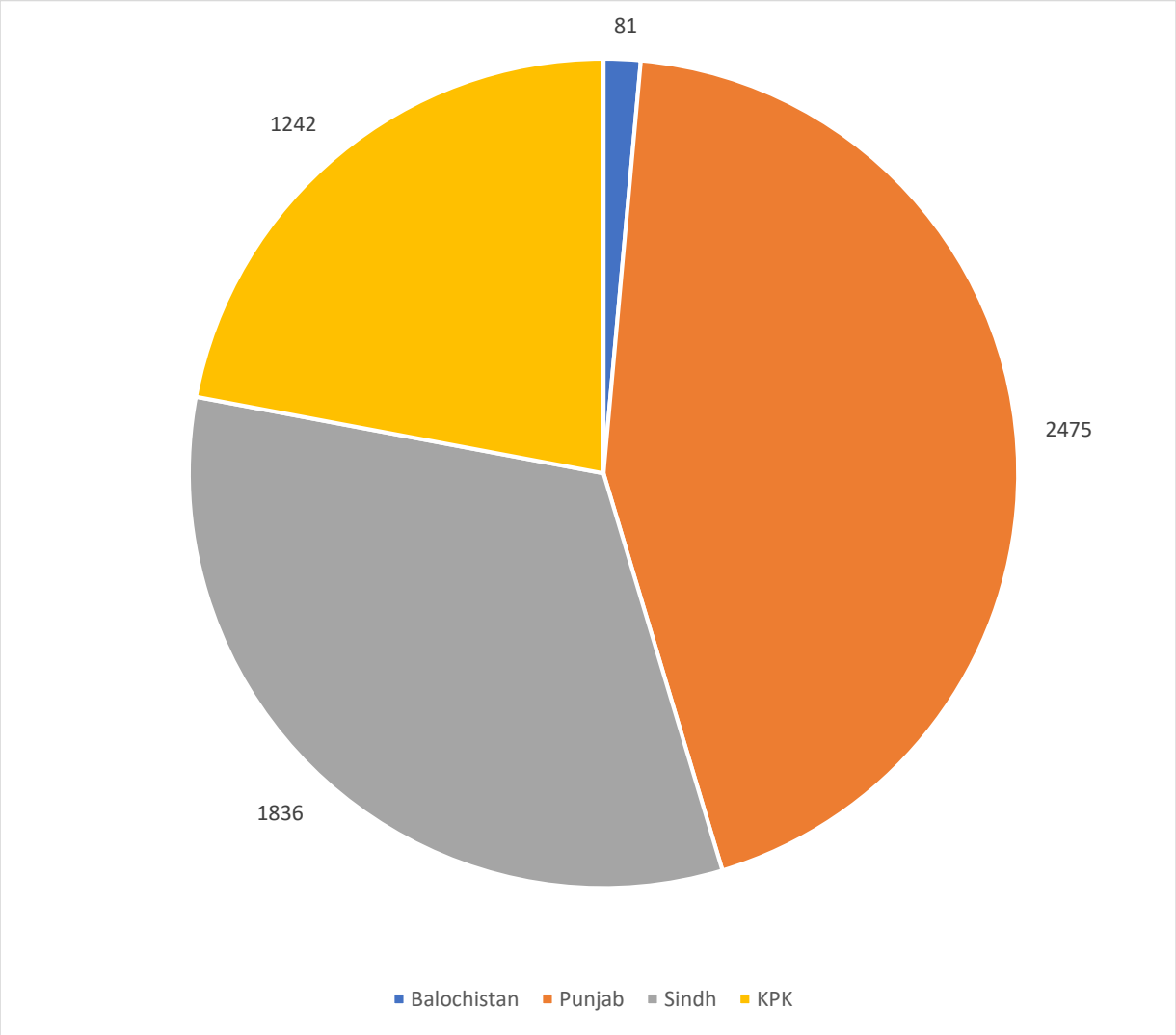

Figure 15.1 illustrates the total number of post offices in Pakistan across different provinces. The data reveal that Punjab has the highest number of post offices, totaling 2,475**,** followed by Sindh with 1,836 and Khyber Pakhtunkhwa (KPK) with 1,242 post offices. Balochistan records the lowest number**,** with only 81 post offices**.** Overall, the data highlight significant provincial disparities in the distribution of postal facilities, with Punjab maintaining the most extensive postal network in the country.

Chapter 16

DIGITAL DEVELOPMENT IN BALOCHISTAN

DIGITAL DEVELOPMENT IN BALOCHISTAN

In Balochistan, Quetta and Pishin emerge as relatively better-performing districts in terms of digital development. However, the majority of districts in the province fall into the low (seven districts) and very low (nineteen districts) categories, underscoring the urgent need to strengthen digital infrastructure across the region. Balochistan's overall weak performance in digital development is primarily attributed to inadequate digital infrastructure, particularly limited cellular and broadband connectivity.[1]

Nationwide, nearly half of Pakistan's districts (60 in total) are categorized as having low digital development, with Digital Development Index (DDI) values ranging between 0.200 and 0.100. Additionally, 38 districts fall into the very low category, with DDI values below 0.100 - almost half of which are located in Balochistan.

It is noteworthy that the top-performing districts are predominantly major urban centers characterized by high levels of economic activity. This highlights a strong link between urbanization, economic prosperity, and digital advancement. Key factors contributing to higher digital development include the presence of educational institutions such as universities and research centers, proximity to major transport networks and airports, robust infrastructure, government and military establishments, and a focus on industry, trade, and entrepreneurship.

Conversely, districts with predominantly rural characteristics (marked by limited infrastructure, lower economic activity, restricted access to education, and poor connectivity) tend to lag in digital development. To address these disparities, targeted district-level interventions and strategic investments are essential to promote equitable digital growth across provinces. Moreover, effective collaboration between public and private sectors, along with active engagement from community stakeholders, is vital for the successful rollout of digital development initiatives.

Table 16.1 DDI Score (Digital Development)

Digital Development Index and its Components at national, provincial, and urban/rural levels 2020						
Regions	**Digital Development Index (DDI)**	**Access Index**	**Usage Index**	**Attainment Index**	**Transformation Index**	**Digital Development Status**
	Value	Value	Value	Value	Value	
	2020	2020	2020	2020	2020	
Pakistan	0.205	0.459	0.197	0.129	0.152	Moderate Digital Development
Rural	0.134	0.404	0.127	0.076	0.083	Low Digital Development
Urban	0.313	0.545	0.310	0.215	0.263	High Digital Development
Punjab	0.213	0.471	0.212	0.139	0.148	Moderate Digital Development
Rural	0.142	0.417	0.140	0.082	0.086	Low Digital Development
Urban	0.320	0.559	0.326	0.231	0.247	High Digital Development

[1] UNDP, Islamabad, 2024, *National Human Development Report 2023/2024 on Digital Transformation in Pakistan*.

Sindh	0.209	0.443	0.196	0.115	0.189	Moderate Digital Development
Rural	0.081	0.338	0.072	0.035	0.051	Very Low Digital Development
Urban	0.303	0.528	0.295	0.180	0.299	High Digital Development
Khyber Pakhtunkhwa	0.196	0.467	0.172	0.141	0.130	Low Digital Development
Rural	0.163	0.444	0.143	0.108	0.103	Low Digital Development
Urban	0.346	0.587	0.309	0.301	0.262	High Digital Development
Balochistan	0.135	0.398	0.136	0.063	0.099	Low Digital Development
Rural	0.098	0.372	0.103	0.035	0.069	Very Low Digital Development
Urban	0.222	0.470	0.221	0.134	0.174	Moderate Digital Development
Azad Jammu and Kashmir	0.209	0.496	0.227	0.108	0.157	Moderate Digital Development
Gilgit Baltistan	0.207	0.461	0.205	0.164	0.118	Moderate Digital Development
Definitions *Digital Development Index (DDI) - A composite index measuring average achievement in four dimensions of digital development -- access, usage, attainment, and transformation. See Technical Note 2 (this report) for details on how the DDI is calculated.*						
Main Data Sources *Columns 1-5: UNDP calculations are based on micro data of PSLM survey for the years 2019-20.*						

Figure 16.1 DDI Score (Digital Development)

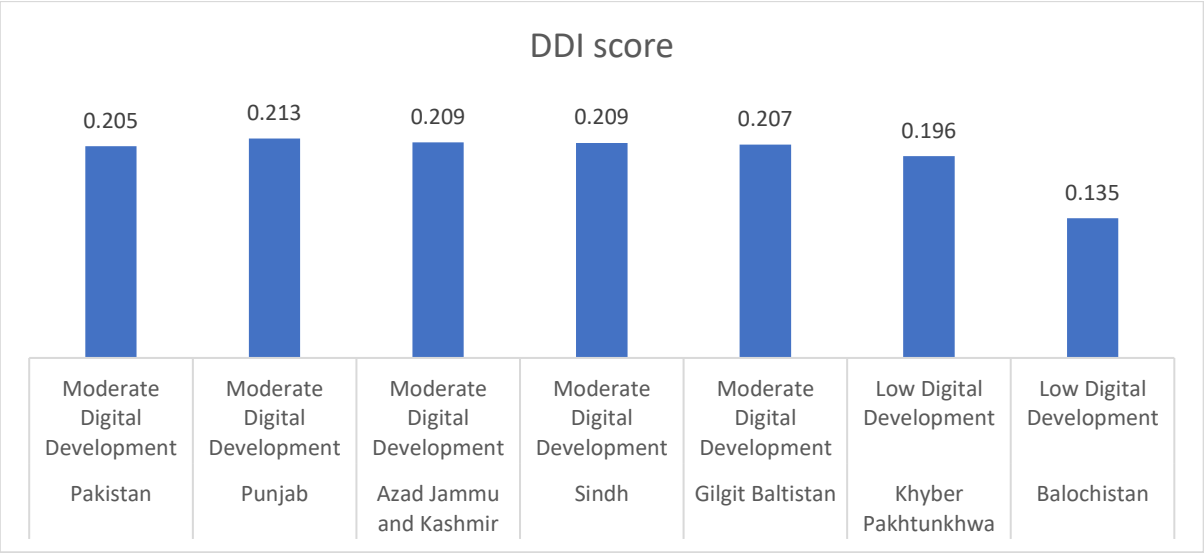

Chapter 17

STATUS OF HUMAN DEVELOPMENT IN BALOCHISTAN

STATUS OF HUMAN DEVELOPMENT IN BALOCHISTAN

Human development is the process of enhancing ordinary people's freedom, opportunities, and well-being, which enables them to decide who they want to be, what they want to do, and how they want to live. It plays a crucial role in achieving sustainable economic growth and development. In the past, many developing countries have invested in their human development and achieved economic sustainability. Pakistani economist Mahbub ul Haq introduced this concept after the failure of GDP to adequately portray the true essence of well-being. To measure the extent of human development, economists use the Human Development Index (HDI), which takes into account health, education, and standard of living when calculating the index score. The HDI emphasizes the fact that people and their needs should be the ultimate criteria for assessing a country's development, rather than economic growth alone. Countries or districts that fall under 0.800 or above are considered to have a very high HDI, with 0.700-0.799 being high, 0.555-0.699 being medium, and 0.400-0.554 being low. Anything below 0.400 is considered very low.

In this context, Balochistan is the largest province in Pakistan in terms of area and has a population of over 12 million. Unfortunately, despite its size, it has the lowest HDI score in the country among the provinces. The province consists of 32 districts, and none of them fall under the very high or high category. Only the capital city of Quetta, with an HDI of 0.630, falls under the medium category. A few other districts such as Pishin (0.573), Mastung (0.542), Kohlu (0.535), and Gwadar (0.606) show relatively better performance and fall in the low-medium category. The remaining districts fall either in the low or very low categories. Districts such as Shaheed Sikandarabad (0.109), Sherani (0.108), Khuzdar (0.106), and Awaran (0.118) are among the lowest-ranked in the country. [2]

Figure 17.1 Human Development Index Trends (2005-2020)

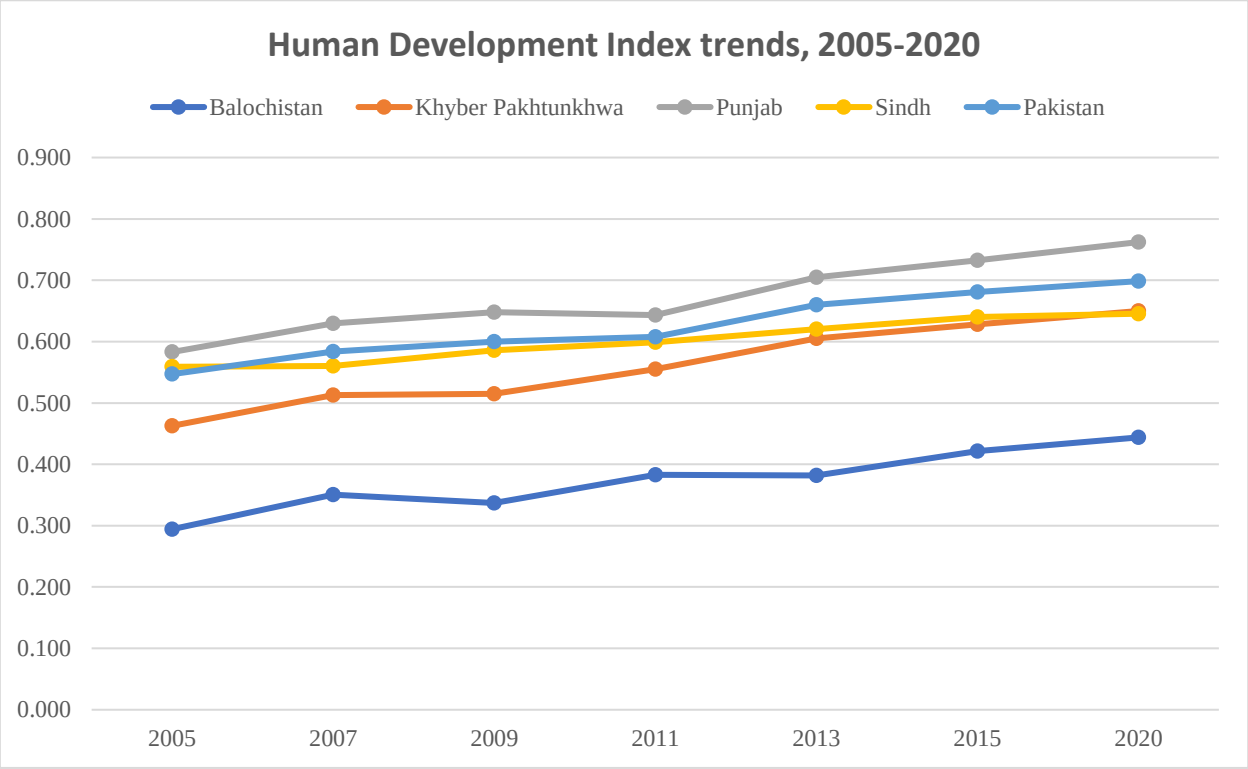

[2] UNDP, Islamabad, 2024, *National Human Development Report 2023/2024 on Digital Transformation in Pakistan*.

Table 17.1 Human Development Index and its components

Human Development Index and its Components sorted by name of region										
		Human Development Index (HDI)	**Immunization rate**	**Satisfaction with health facility**	**Expected years of schooling**	**Mean years of schooling**	**Living Standard**	**Human Development Index (HDI)**	**Change in rank**	**Human Development Status**
		Value	Percentage	Percentage	Years	Years	Percentage	Value		
HDI rank		2020	2020	2020	2020	2020	2020	2015[a]	2015-2020	
Balochistan										
118	Awaran	0.118	74.5	1.0	4.9	0.9	2.1	0.173	-4	Very Low Human Development
101	Barkhan	0.363	72.1	92.3	6.0	1.9	19.8	0.237	6	Low Human Development
107	Bolan/Kachhi	0.307	49.2	59.0	6.1	3.0	15.2	0.345	-12	Low Human Development
..	Chaghi[c]	..	..	..	..	..	..	0.210	..	..
116	Dera Bugti	0.236	72.6	8.5	3.1	0.8	22.8	0.271	-13	Very Low Human Development
94	Duki	0.405	68.8	0.5	7.3	3.0	48.6	..	..	Low Human Development
55	Gawadar	0.606	84.5	59.7	8.7	4.3	61.1	0.443	23	Medium Human Development
108	Harnai	0.307	34.2	84.2	4.7	2.5	17.4	0.184	4	Low Human Development
99	Jaffarabad	0.377	58.9	42.6	6.0	2.6	32.1	0.345	-5	Low Human Development
..	Jhal Magsi[c]	..	..	..	..	..	..	0.183	..	..
105	Kalat	0.333	79.7	84.5	5.6	1.6	16.6	0.405	-17	Low Human Development
84	Kech/Turbat	0.509	86.9	77.1	7.5	3.0	40.3	..	..	..
110	Kharan	0.298	67.4	26.5	8.8	2.5	13.5	0.290	-8	Very Low Human Development
121	Khuzdar	0.106	37.3	12.0	4.3	0.6	2.8	0.412	-35	Very Low Human Development
115	Killa Abdullah	0.236	14.8	62.3	5.6	1.7	12.5	0.238	-9	Very Low Human Development

114	Killa Saifullah	0.241	42.6	35.6	7.2	2.5	9.8	0.422	-30	Very Low Human Development
79	Kohlu	0.535	1.0	68.8	7.5	5.4	84.2	0.267	25	Low Medium Human Development
93	Lasbela	0.412	29.2	47.6	6.4	3.1	49.4	0.416	-8	Low Human Development
86	Loralai	0.495	40.6	71.9	8.4	3.8	46.1	0.381	3	Low Human Development
78	Mastung	0.542	90.3	89.4	8.4	4.1	36.5	0.459	-3	Low Medium Human Development
..	Musakhail[c]	..	..	..	..	..	..	0.368	..	..
109	Naseerabad	0.300	42.5	37.4	4.6	1.7	28.3	0.311	-11	Low Human Development
96	Noshki	0.398	69.5	23.0	10.5	3.1	27.1	0.441	-17	Low Human Development
..	Panjgur[c]	..	..	..	..	..	..	..	..	..
67	Pishin	0.573	79.2	38.9	9.0	3.6	66.6	0.482	6	Low Medium Human Development
52	Quetta	0.630	59.9	58.4	8.6	4.9	79.3	0.664	-14	Medium Human Development
119	Shaheed Sikandarabad	0.109	90.9	62.8	2.8	0.7	1.3	..	..	Very Low Human Development
120	Sherani	0.108	18.9	3.4	5.6	1.0	4.9	0.295	-19	Very Low Human Development
91	Sibi	0.447	32.8	69.8	6.4	3.4	45.4	0.441	-11	Low Human Development
102	Sohbatpur	0.351	81.8	63.4	7.1	3.6	14.3	..	..	Low Human Development
111	Washuk	0.290	33.6	53.7	7.1	3.3	14.0	0.188	0	Very Low Human Development
..	Zhob[c]	..	..	..	..	..	..	0.295	..	..
117	Ziarat	0.208	33.3	48.5	5.6	2.4	7.2	0.301	-18	Very Low Human Development
Islamabad Capital Territory										
1	Islamabad	0.924	95.6	84.7	12.6	9.3	99.0	0.875	1	High Human Development
Khyber Pakhtunkhwa										
10	Abbottabad	0.800	90.1	68.4	12.1	5.6	94.0	0.761	3	High Medium Human Development
103	Bajur	0.349	72.8	42.7	5.9	1.2	28.6	..	..	Low Human Development

60	Bannu	0.591	54.2	63.6	8.2	3.8	76.0	0.613	-5	Low Medium Human Development
80	Battagram	0.524	76.9	26.9	7.7	2.1	77.1	0.505	-10	Low Medium Human Development
63	Buner	0.581	80.2	88.0	8.2	2.1	61.8	0.528	3	Low Medium Human Development
37	Charsadda	0.717	94.7	81.2	10.0	3.6	82.2	0.666	-1	High Medium Human Development
45	Chitral	0.659	87.8	59.4	10.3	4.2	70.1	0.674	-10	Medium Human Development
59	Dera Ismail Khan	0.594	63.4	78.4	8.1	3.0	70.2	0.496	12	Low Medium Human Development
64	Hangu	0.581	52.8	79.1	7.9	1.9	83.1	0.594	-7	Low Medium Human Development
31	Haripur	0.729	86.5	43.1	11.8	5.3	91.1	0.732	-13	High Medium Human Development
47	Karak	0.655	40.6	74.1	9.7	5.1	84.8	0.615	7	Medium Human Development
65	Khyber	0.580	81.9	68.2	7.8	2.8	65.4	..	..	Low Medium Human Development
44	Kohat	0.663	73.0	71.6	9.1	3.6	83.4	0.650	1	Medium Human Development
112	Kohistan	0.285	50.5	54.1	5.1	1.6	17.9	0.229	-4	Very Low Human Development
74	Kurram	0.553	77.5	70.3	7.9	2.0	62.4	..	..	Low Medium Human Development
58	Lakki Marwat	0.598	47.9	69.6	8.5	4.1	74.5	0.577	1	Low Medium Human Development
53	Lower Dir	0.627	75.3	76.8	9.3	3.3	67.9	0.600	3	Medium Human Development
24	Malakand	0.751	100.0	63.9	10.5	4.6	89.2	0.690	8	High Medium Human Development
29	Mansehra	0.734	76.5	79.3	10.5	4.1	91.5	0.676	5	High Medium Human Development
28	Mardan	0.735	83.5	82.1	10.6	3.9	87.5	0.703	1	High Medium Human Development
100	Mohmand	0.364	71.0	73.2	5.7	1.4	26.1	..	..	Low Human Development

90	North Waziristan	0.448	38.0	48.4	6.6	2.8	58.1	..	..	Low Human Development
30	Nowshera	0.732	76.0	88.1	10.1	4.0	88.9	0.697	1	High Medium Human Development
89	Orakzai	0.458	86.6	74.9	7.7	2.4	31.7	..	..	Low Human Development
20	Peshawar	0.764	83.4	83.4	10.0	5.0	91.4	0.756	-6	High Medium Human Development
83	Shangla	0.521	63.8	50.9	7.6	1.9	71.0	0.438	-1	Low Medium Human Development
97	South Waziristan	0.395	55.7	72.7	7.1	2.0	28.4	..	..	Low Human Development
40	Swabi	0.693	86.6	62.9	9.9	3.8	86.2	0.654	4	Medium Human Development
48	Swat	0.649	79.9	74.4	9.3	3.4	73.5	0.618	4	Medium Human Development
69	Tank	0.568	62.0	75.2	8.8	3.0	60.3	0.459	7	Low Medium Human Development
92	Tor Ghar	0.436	45.5	81.4	5.7	1.1	53.0	0.240	13	Low Human Development
71	Upper Dir	0.558	67.7	68.2	8.6	2.7	60.8	0.375	21	Low Medium Human Development
Punjab										
9	Attock	0.815	86.2	83.4	12.0	5.2	96.8	0.786	0	High Human Development
50	Bahawalnagar	0.632	80.5	58.8	8.8	3.4	78.4	0.630	-1	Medium Human Development
35	Bahawalpur	0.720	89.9	88.0	9.0	3.6	87.6	0.645	11	High Medium Human Development
43	Bhakkar	0.674	88.3	66.2	9.6	3.3	82.2	0.628	7	Medium Human Development
6	Chakwal	0.841	95.6	73.6	12.3	6.3	97.2	0.792	2	High Human Development
36	Chiniot	0.719	95.0	93.0	9.6	3.2	83.0	0.657	6	High Medium Human Development
56	Dera Ghazi Khan	0.601	89.0	87.5	7.8	2.8	61.6	0.535	8	Medium Human Development
13	Faisalabad	0.798	94.5	81.4	10.6	5.3	93.2	0.782	-3	High Medium Human Development
7	Gujranwala	0.824	89.4	80.3	11.5	5.9	97.4	0.769	4	High Human Development

3	Gujrat	0.853	99.4	87.1	11.9	5.8	97.4	0.795	4	High Human Development
17	Hafizabad	0.780	93.8	84.2	10.8	4.3	92.5	0.705	11	High Medium Human Development
34	Jhang	0.722	91.5	69.1	10.2	4.0	86.6	0.682	-1	High Medium Human Development
11	Jhelum	0.798	85.1	62.3	12.3	6.1	96.6	0.829	-5	High Medium Human Development
26	Kasur	0.739	77.8	79.7	10.7	3.8	93.3	0.714	-2	High Medium Human Development
39	Khanewal	0.705	83.3	73.8	9.4	3.9	88.0	0.699	-9	High Medium Human Development
25	Khushab	0.743	95.3	77.0	10.5	4.1	86.1	0.706	1	High Medium Human Development
5	Lahore	0.847	81.9	83.9	11.5	7.1	98.8	0.877	-4	High Human Development
22	Layyah	0.760	98.2	81.7	11.0	3.9	86.7	0.729	-3	High Medium Human Development
42	Lodhran	0.676	87.1	79.9	8.2	3.1	85.9	0.659	-1	Medium Human Development
12	Mandi Bahauddin	0.798	92.1	86.6	11.3	4.8	91.7	0.716	11	High Medium Human Development
33	Mianwali	0.722	97.4	67.1	9.8	4.3	84.2	0.645	14	High Medium Human Development
32	Multan	0.724	75.8	79.7	9.5	4.7	88.4	0.718	-11	High Medium Human Development
57	Muzaffargarh	0.600	82.9	72.9	7.3	2.4	76.7	0.584	1	Medium Human Development
16	Nankana Sahib	0.780	84.5	90.6	10.7	4.6	92.3	0.740	0	High Medium Human Development
8	Narowal	0.816	94.6	70.3	12.5	5.7	94.0	0.748	7	High Human Development
21	Okara	0.761	84.3	75.8	10.6	4.4	95.8	0.705	6	High Medium Human Development
41	Pakpattan	0.679	74.5	72.5	9.3	3.1	92.1	0.660	-2	Medium Human Development
49	Rahimyar Khan	0.642	89.2	61.0	7.8	3.2	83.9	0.625	2	Medium Human Development
72	Rajanpur	0.557	91.4	93.0	6.7	2.3	54.8	0.506	-3	Low Medium Human Development

2	Rawalpindi	0.862	92.9	75.5	12.3	7.4	97.1	0.871	1	High Human Development
27	Sahiwal	0.739	86.6	67.5	9.8	4.5	94.9	0.710	-2	High Medium Human Development
19	Sargodha	0.766	95.9	67.7	11.1	4.9	89.3	0.728	1	High Medium Human Development
14	Sheikhupura	0.795	89.7	91.9	10.7	4.6	94.7	0.738	3	High Medium Human Development
4	Sialkot	0.848	94.7	74.6	12.4	6.5	97.5	0.834	1	High Human Development
18	Toba Tek Singh	0.776	97.2	70.8	10.9	4.7	92.5	0.763	-6	High Medium Human Development
38	Vehari	0.714	98.3	89.1	9.1	3.2	83.5	0.655	5	High Medium Human Development
Sindh										
98	Badin	0.385	61.8	61.7	5.1	2.3	32.3	0.412	-11	Low Human Development
54	Dadu	0.617	92.6	73.3	7.8	2.9	69.7	0.632	-6	Medium Human Development
62	Ghotki	0.584	87.4	92.3	6.0	3.0	63.2	0.514	6	Low Medium Human Development
23	Hyderabad	0.755	85.9	73.4	9.0	6.0	90.0	0.716	-1	High Medium Human Development
68	Jacobabad	0.570	89.2	79.2	5.7	3.2	62.6	0.440	13	Low Medium Human Development
75	Jamshoro	0.547	72.3	59.6	7.2	3.5	59.3	0.572	-15	Low Medium Human Development
81	Kamber Shahdadkot	0.524	60.2	92.2	5.6	2.3	62.6	0.456	-4	Low Medium Human Development
15	Karachi	0.788	65.1	76.1	10.1	7.3	98.7	0.854	-11	High Medium Human Development
76	Kashmore	0.544	68.0	88.0	4.5	2.8	72.1	0.471	-2	Low Medium Human Development
77	Khairpur	0.543	86.6	74.8	6.8	3.6	48.9	0.556	-14	Low Medium Human Development
61	Larkana	0.586	88.9	92.7	5.2	2.6	72.9	0.618	-8	Low Medium Human Development
70	Matiari	0.563	81.4	67.2	7.0	3.7	57.6	0.569	-8	Low Medium Human Development
85	Mirpurkhas	0.498	66.2	91.1	6.4	3.2	42.0	0.430	-2	Low Human Development

51	Naushehro Feroze	0.631	87.6	65.2	7.1	3.5	79.5	0.665	-14	Medium Human Development
73	Nawabshah/ Shaheed Benazir Abad	0.554	84.7	71.9	7.0	2.9	57.0	0.572	-12	Low Medium Human Development
66	Sanghar	0.580	91.5	91.8	6.8	3.6	52.3	0.491	6	Low Medium Human Development
87	Shikarpur	0.479	63.9	58.1	5.3	3.0	55.0	0.520	-20	Low Human Development
106	Sujawal	0.308	50.5	44.8	4.6	2.0	24.2	0.326	-10	Low Human Development
46	Sukkur	0.656	89.1	83.3	7.0	4.3	72.8	0.659	-6	Medium Human Development
82	Tando Allahyar	0.524	73.7	56.4	6.9	3.1	57.5	0.528	-17	Low Medium Human Development
95	Tando Muhammad Khan	0.400	54.7	63.0	4.7	2.4	39.4	0.377	-4	Low Human Development
113	Tharparkar	0.251	34.8	95.7	5.5	1.6	9.2	0.227	-4	Very Low Human Development
104	Thatta	0.333	47.8	53.8	3.9	1.7	34.5	0.377	-14	Low Human Development
88	Umerkot	0.464	78.7	87.8	6.4	2.8	34.0	0.322	9	Low Human Development
	Azad Jammu & Kashmir	0.781	94.9	65.0	12.2	5.4	87.7	0.734		High Medium Human Development
	Federally Administered Tribal Areas	..	..	..	..	..	..	0.216		..
	Gilgit-Baltistan	0.631	80.3	66.6	10.9	4.2	59.4	0.523		Medium Human Development
	Balochistan	0.444	53.2	56.8	7.0	3.1	41.0	0.421		Low Human Development
	Khyber Pakhtunkhwa	0.650	76.9	73.1	9.1	3.7	75.2	0.628		Medium Human Development
	Punjab	0.762	88.8	78.7	10.2	4.9	89.9	0.732		High Medium Human Development

	Sindh	0.645	73.2	77.9	7.6	5.0	71.2	0.640		Medium Human Development
	Pakistan	**0.699**	**81.4**	**76.3**	**9.2**	**4.6**	**80.2**	**0.681**		**Medium Human Development**

Notes
a) Calculations are based on PSLM district level microdata for the year 2014/15. For Azad Jammu & Kashmir and Gilgit-Baltistan, due to unavailability of PSLM microdata for the year 2014/15, data for the year 2012/13 is used instead. The changes in HDI scores and ranks for these two regions are calculated using PSLM micro data for the years 2012/13 and 2010/11. For FATA, calculations are based on the FDIHS 2013/14 microdata.

c) Districts of Musakhail, Zhob, Chaghi, Jhal Magsi, Panjgur were dropped from the scope of the PSLM survey 2019/20.

Definitions

Human Development Index (HDI) - A composite index measuring average achievement in three basic dimensions of human development -- a long and healhy life, knowledge and a decent standard of living. See Technical Note 1 (this report) for details on how the HDI is calculated.

Immunization Rate - Percentage of fully immunized children between the age of 12 and 23 months based on record and recall.

Satisfaction with Health Facility - A household is regarded as deprived in 'satisfaction with health facility' if any of the household members did not use health care facility because it is costly, it does not suit, lacks tools or not enough facilities, or if any of the household member is not satisfied with the health facility.

Expected Years of Schooling - Number of years of schooling that a child of school entrance age can expect to receive if prevailing patterns of age-specific enrolment rates persist throughout the child's life.

Mean Years of Schooling - Average number of years of education received by people ages 25 and older, calculated from education attainment levels using official durations of each level.

Living Standard - A composite index based on six household indicators related to access and quality of public services, household infrastructure and assets' ownership. It is based on methodology proposed from the Multidimensional Poverty Index (MPI).

Main Data Sources

Columns 1-7: UNDP calculations are based on micro data of PSLM survey for the years 2010/11, 2012/13 and 2014/15, 2019-20, and the FDIHS 2013/14.

Column 8: Calculated based on data in columns 1 and 7.

In Balochistan, Quetta and Pishin emerge as relatively better-performing districts in terms of digital development. However, the majority of districts in the province fall into the low (seven districts) and very low (nineteen districts) categories, underscoring the urgent need to strengthen digital infrastructure across the region. Balochistan's overall weak performance in digital development is primarily attributed

Chapter 18

MEASURING THE MULTIDIMENSIONAL POVERTY INDEX (MPI) FOR BALOCHISTAN

MEASURING THE MULTIDIMENSIONAL POVERTY INDEX (MPI) FOR BALOCHISTAN

The Multidimensional Poverty Index (MPI) is a measure that captures the severe deprivations that each person experiences with respect to education, health, and standard of living. The index has been calculated using the Pakistan Social and Living Standards Measurements (PSLM) survey (with the last one being conducted in 2019-20) and is a product of two components:

- Incidence of poverty (H): the percentage of people who are identified as multidimensionally poor, or the poverty headcount.
- Intensity of poverty (A): the average percentage of dimensions in which poor people are deprived.

The MPI constitutes three dimensions - education, health, and standards of living - and further segregates them into a total of 14 weighted indicators.

Figure 18.1 Poverty Index

National	30.5%	48.0%	0.146
Punjab	19.9%	45.3%	0.090
Sindh	40.3%	49.7%	0.200
KPK	39.8%	48.5%	0.193
Balochistan	60.2%	50.4%	0.303

The headcount ratio (H) of multidimensional poverty is 30.5%. intensity of poverty (A), which reflects the share of deprivations each poor person experiences on average - their average deprivation score - is 48.0%. That is, each poor person is, on average, deprived in almost half of the weighted indicators. Since the MPI is the product of (H) multiplied by (A), it yields a value of 0.146. This means that multidimensionally poor people in Pakistan experience 14.6% of the total deprivations that would be experienced if all people were deprived in all indicators.

Balochistan has the highest level of multidimensional poverty in Pakistan, of the Multidimensional Poverty Index (MPI) Report 2019-20. Around 60.2% of the province's population is identified as multidimensionally poor, significantly above the national average of 30.5%. Moreover, the intensity of poverty (which reflects the average number of deprivations experienced by the poor) is also high at 50.4%, indicating that those who are poor in Balochistan face multiple, overlapping challenges in education, health, and living standards.

The province's poverty is largely rural, with stark disparities between rural and urban areas. Several districts in Balochistan, such as Khuzdar and Sherani, rank among the poorest in the country, with MPI values as high as 95.1%. The most significant contributors to poverty in the province include lack of school attendance, low years of schooling, inadequate access to electricity, poor sanitation, and substandard housing. Despite these challenges, Balochistan showed the fastest reduction in MPI between 2014-15 and 2019-20, suggesting that targeted development efforts may be starting to yield positive results.

Figure 18.2 MPI by National, Rural/Urban and Provincial Levels, 2019-20

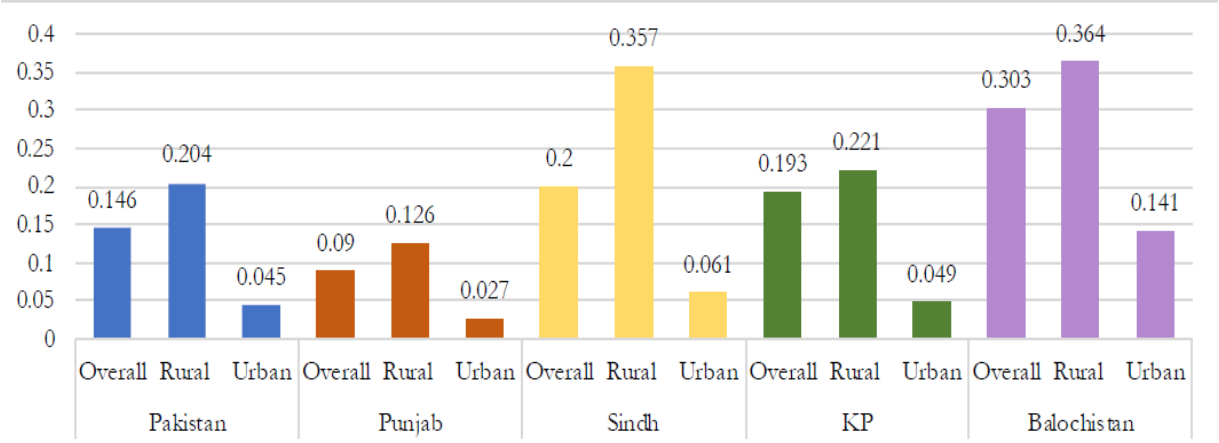

Figure 18.3 Headcount Ratio (H) by National, Rural/Urban and Province, 2019-20

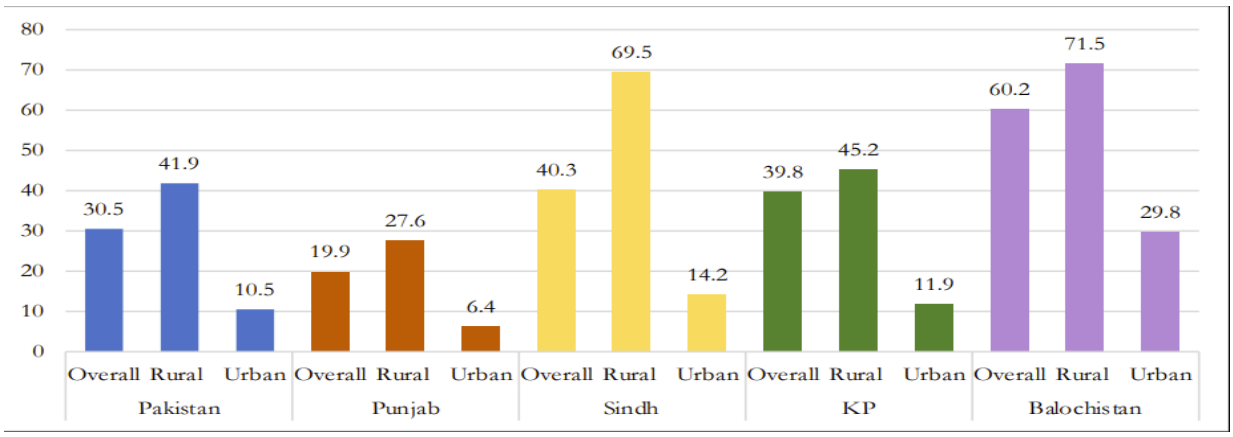

Figure 18.4 Intensity (A) by National, Rural/Urban and Provincial Levels, 2019-20

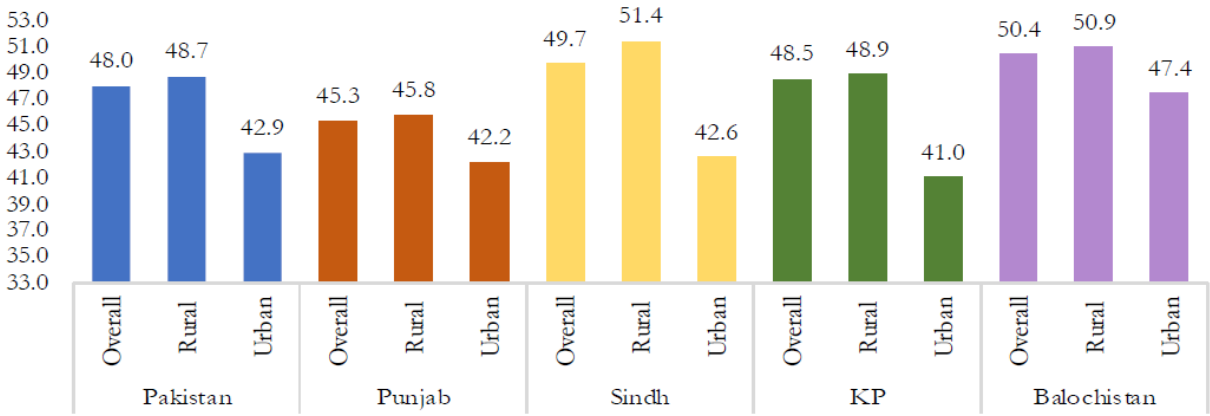

SOURCES / REFERENCES

- Pakistan Bureau of Statistics
- Development statistics of Balochistan
- Development statistics of Punjab
- Development statistics of Sindh
- Development statistics of Khyber Pakhtunkhwa
- UNDP (National Human Development report & PSLM)